Minnesota Department of Transportation - All Detector Report 2015

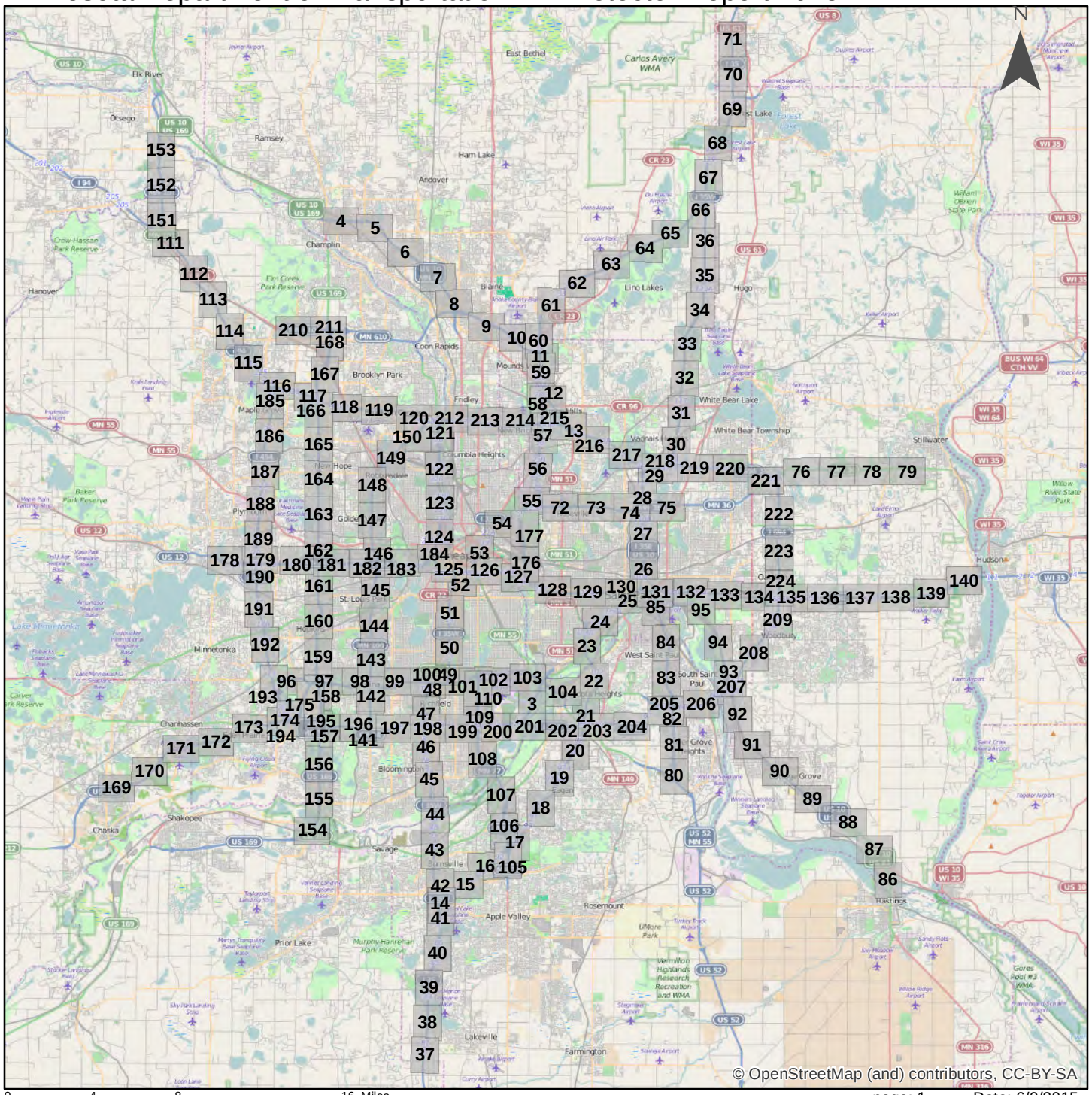

0 4 8 16 Miles

Date: 6/9/2015

Table of Contents

Legend	page 2
TH 5	page 3
TH 10	page 4-13
I-35E	page 14-36
I-35W	page 37-71
TH 36	page 72-79
US 52	page 80-85
TH 61	page 86-95
TH 62	page 96-104
TH 77	page 105-110
I-94	page 111-140
TH 100	page 141-150
TH 101	page 151-153
US 169	page 154-168
TH 212	page 169-175
TH 280	page 176-177
I-394	page 178-184
I-494	page 185-209
TH 610	page 210-211
I-694	page 212-224

PDF version of ADR:
* click on page number on map to navigate to that page
* or click on roadway in table of contents to navigate to the beginning of a roadway

Minnesota Department of Transportation All Detector Report

Detector Legend

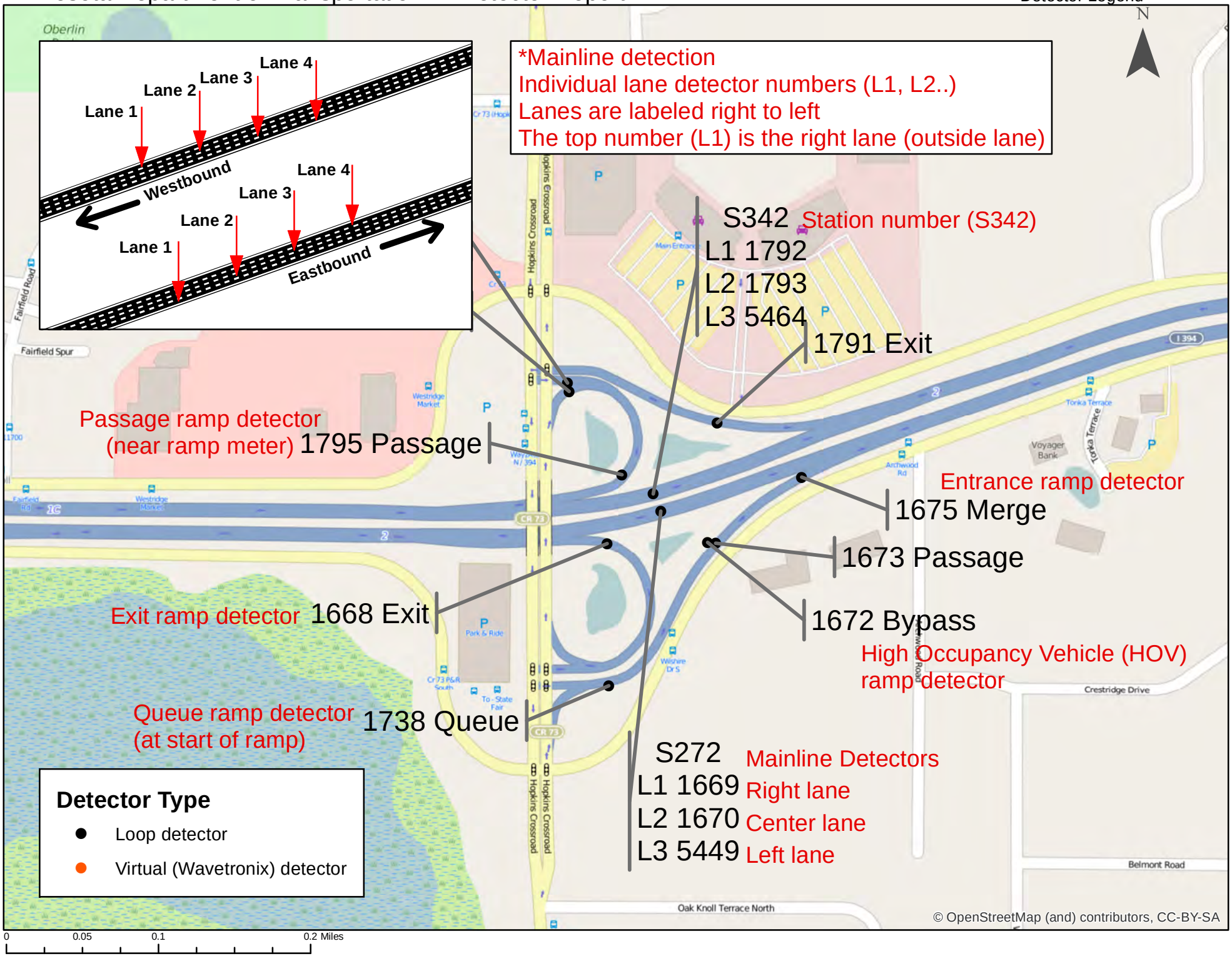

© OpenStreetMap (and) contributors, CC-BY-SA

Minnesota Department of Transportation All Detector Report 2015

Location: TH 5 & Glumack Dr

0 0.1 0.2 0.4 Miles

6/9/2015

Minnesota Department of Transportation All Detector Report 2015

Location: TH 10 & Ferry St

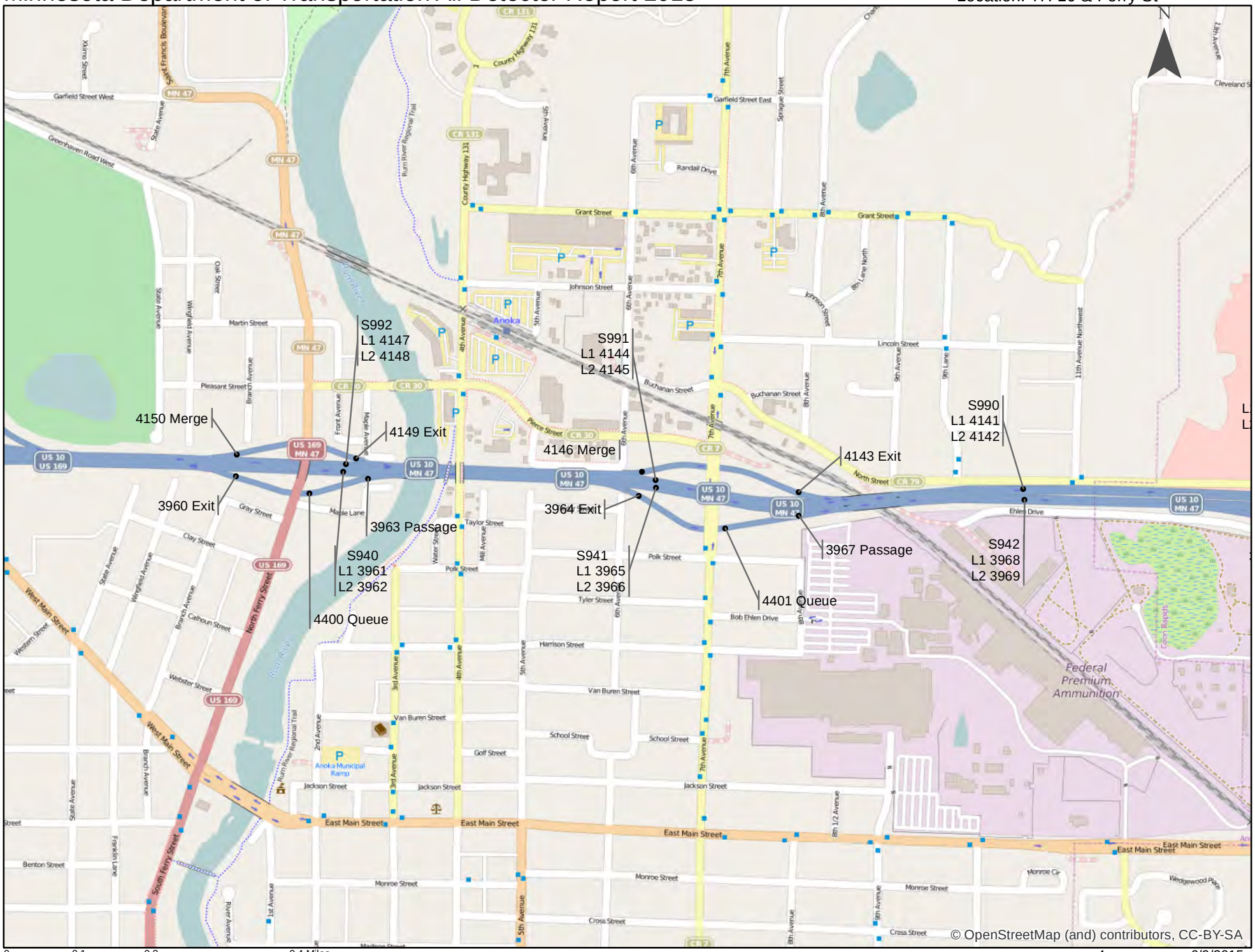

0 0.1 0.2 0.4 Miles

6/9/2015

Minnesota Department of Transportation All Detector Report 2015

Location: TH 10 & Round Lake Blvd

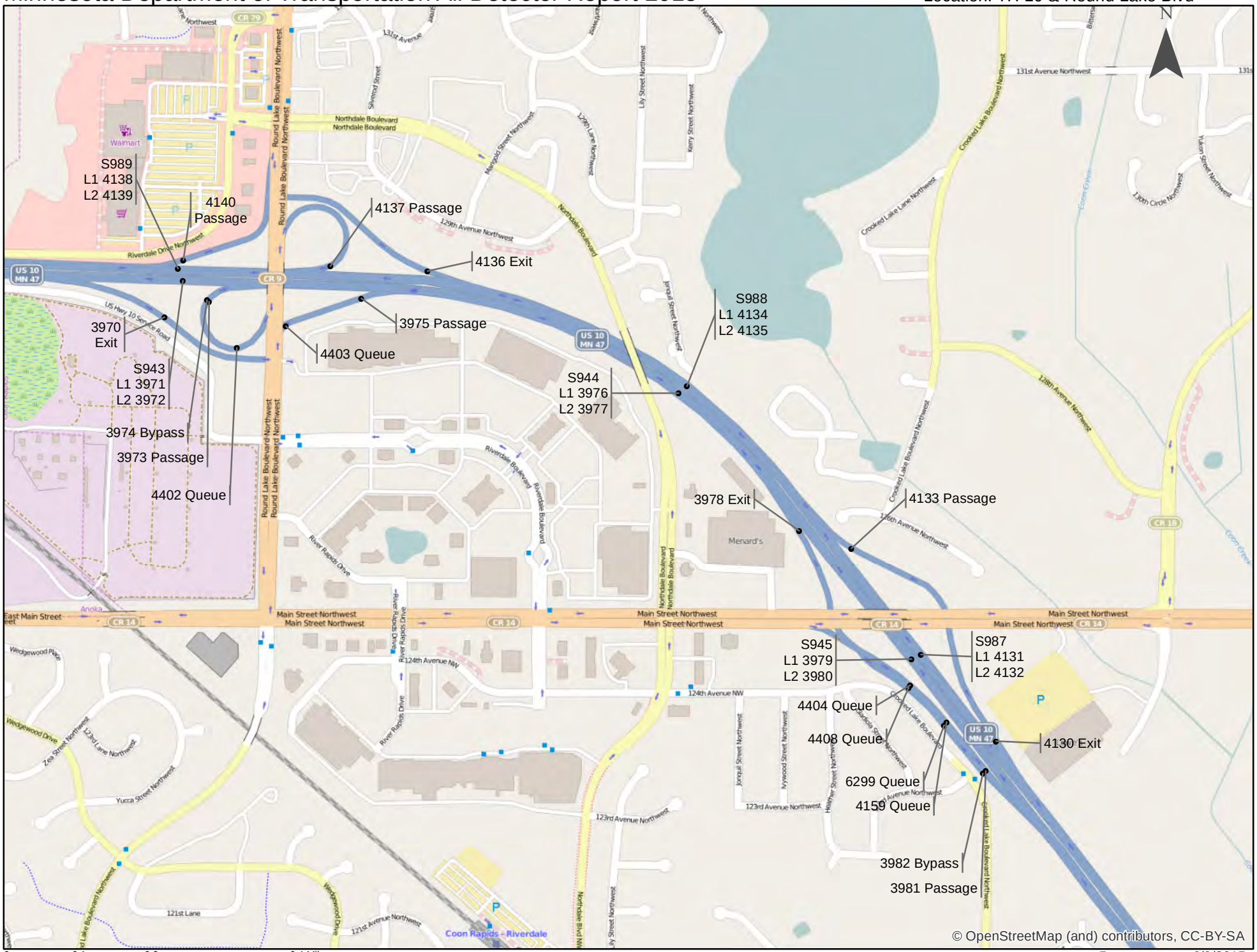

© OpenStreetMap (and) contributors, CC-BY-SA

0 0.1 0.2 0.4 Miles

Minnesota Department of Transportation All Detector Report 2015

Location: TH 10 & Hanson Blvd

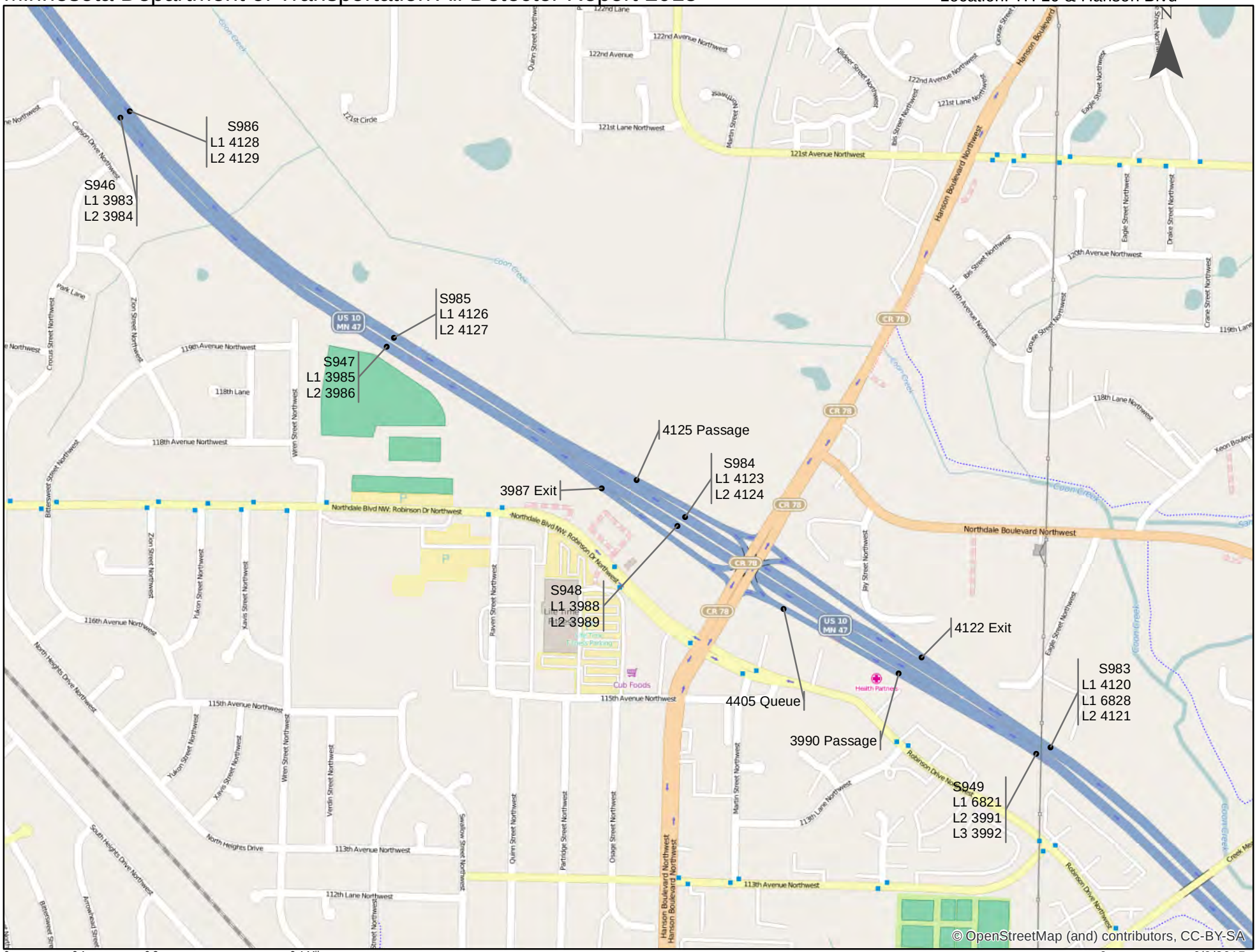

0 0.1 0.2 0.4 Miles

6/9/2015

Minnesota Department of Transportation All Detector Report 2015

Location: TH 10 & Egret Blvd

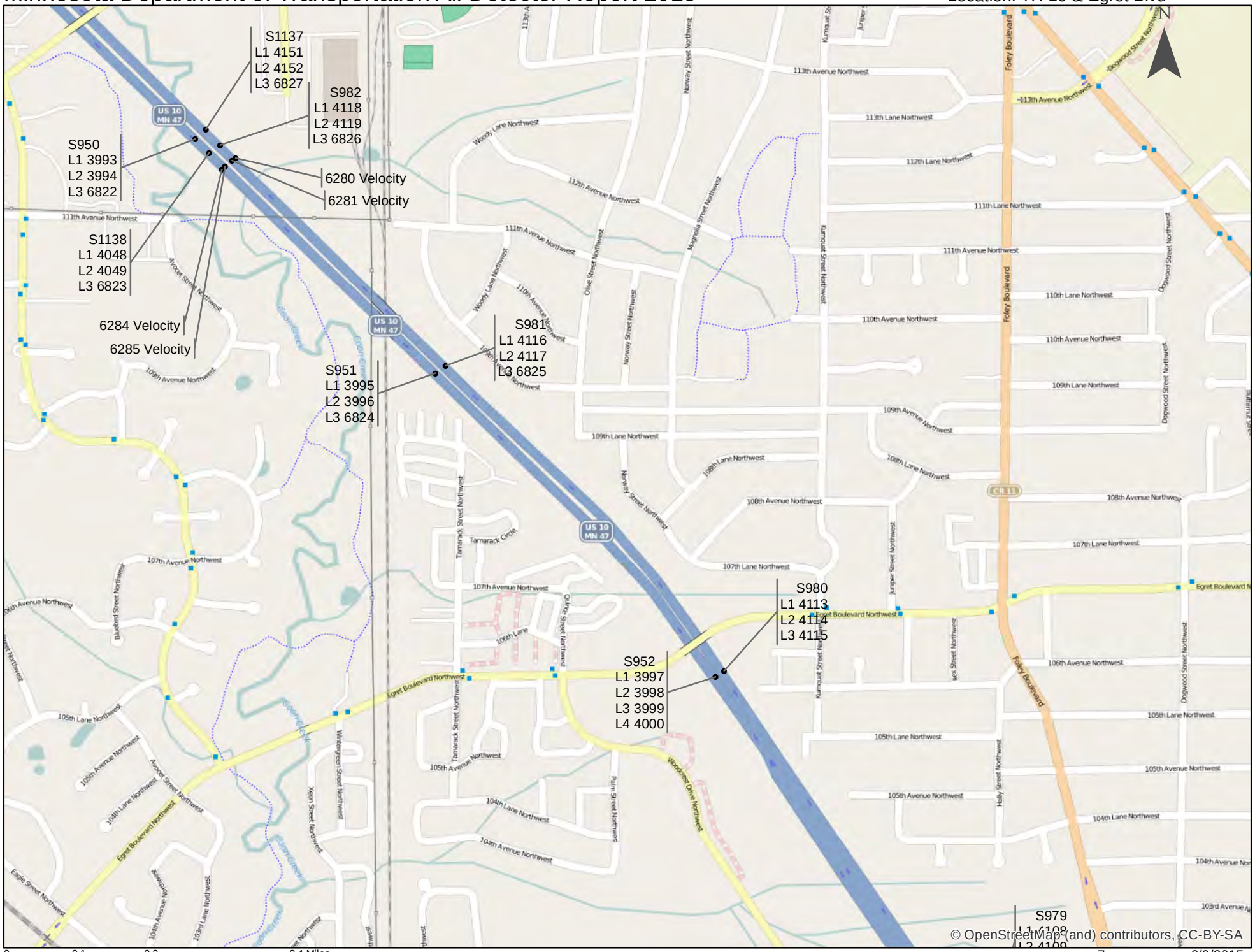

© OpenStreetMap (and) contributors, CC-BY-SA

0 0.1 0.2 0.4 Miles

6/9/2015

Minnesota Department of Transportation All Detector Report 2015

Location: TH 10 & TH 610 & TH 47

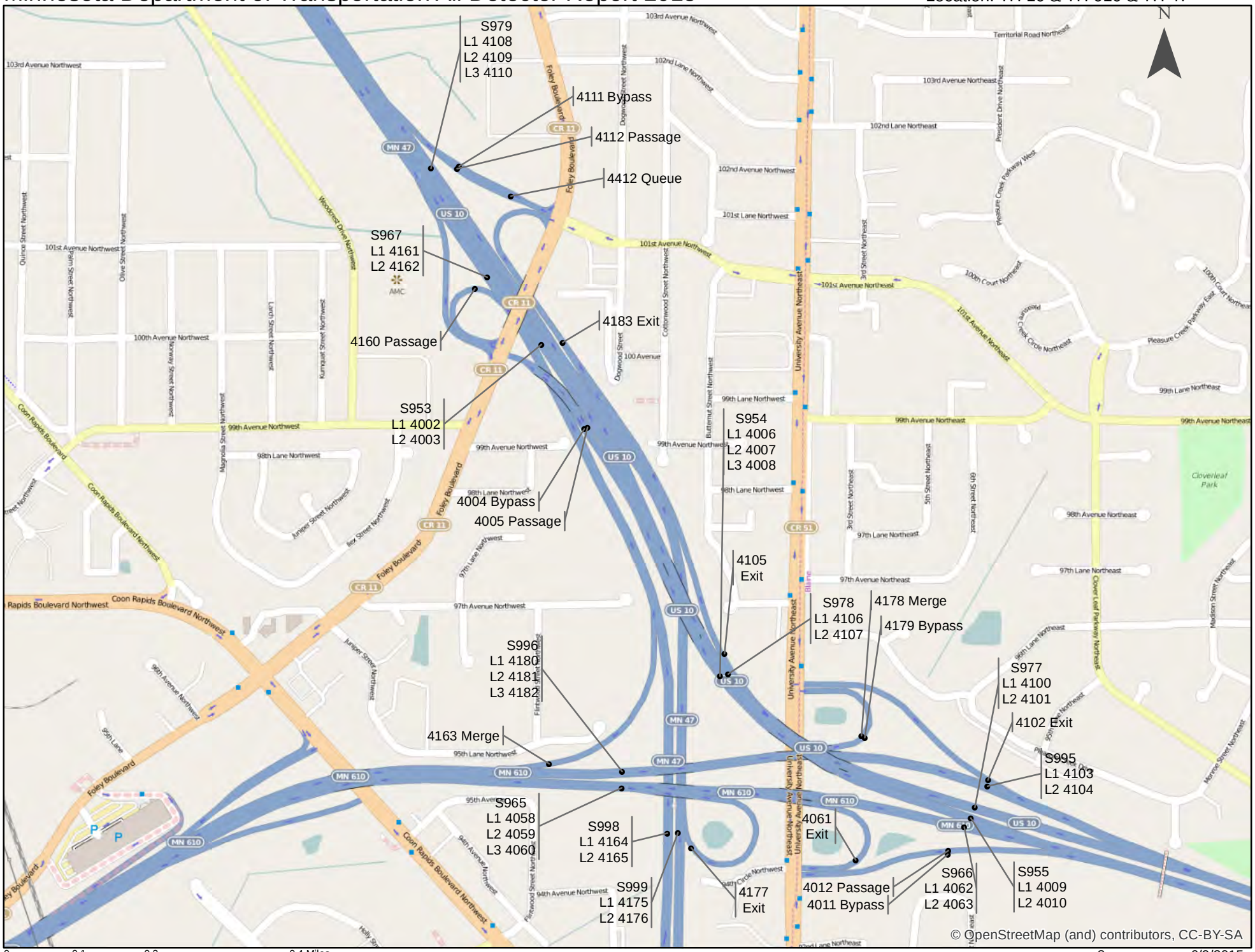

0 0.1 0.2 0.4 Miles

Location: Th 10 & TH 65

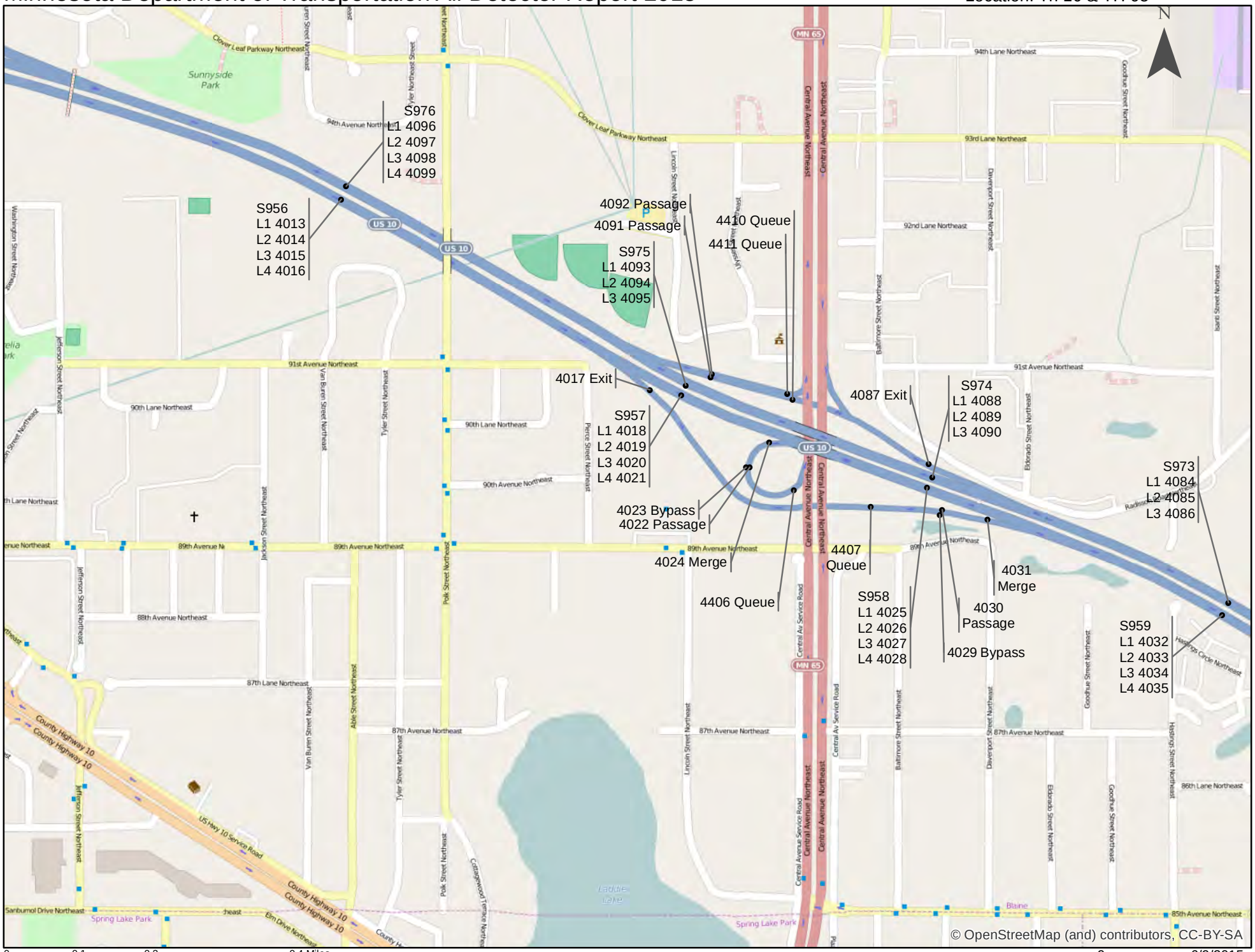

0 0.1 0.2 0.4 Miles

Minnesota Department of Transportation All Detector Report 2015

Location: TH 10 & 93rd Ln

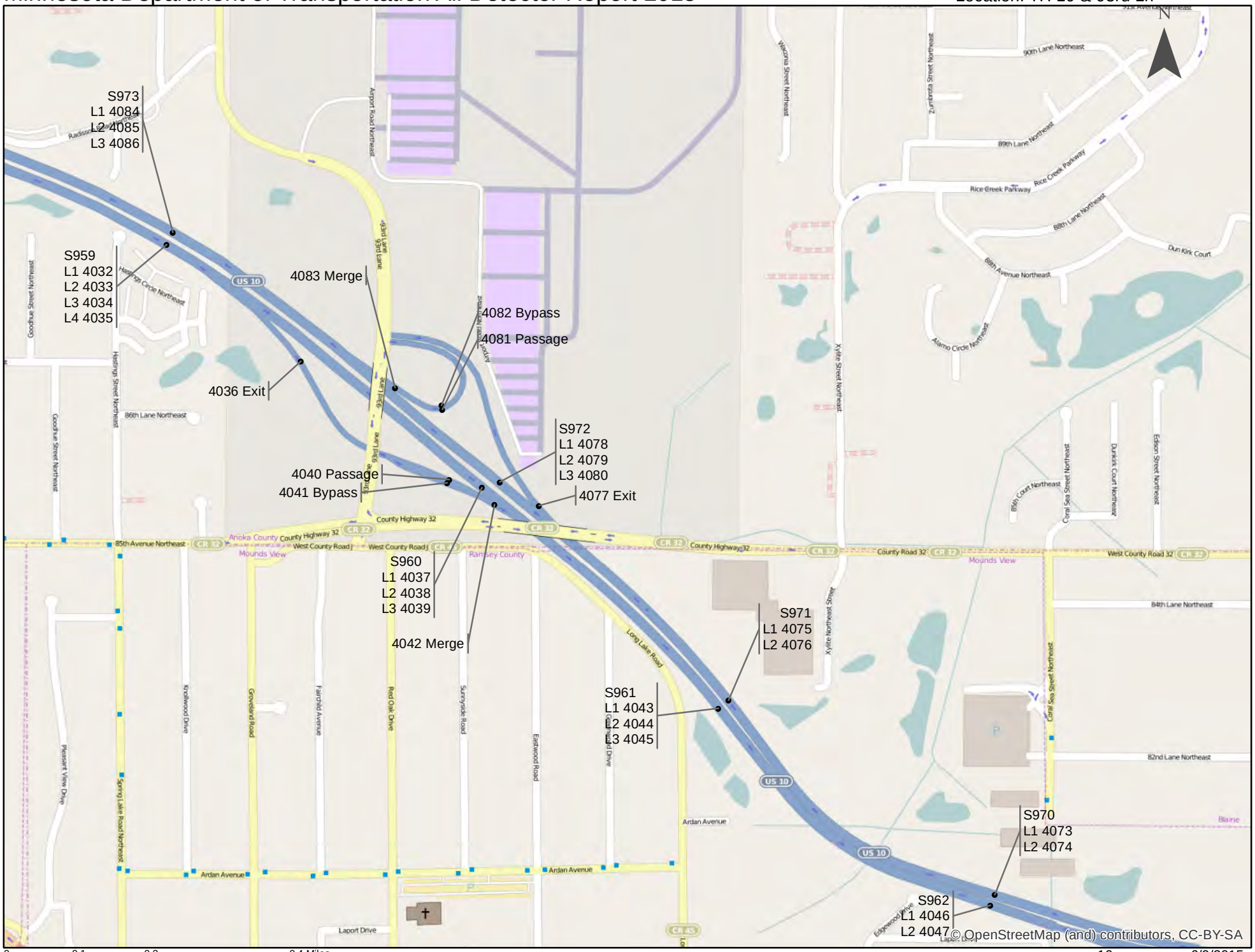

© OpenStreetMap (and) contributors, CC-BY-SA

0 0.1 0.2 0.4 Miles

6/9/2015

Minnesota Department of Transportation All Detector Report 2015

Location: TH 10 & I-35W

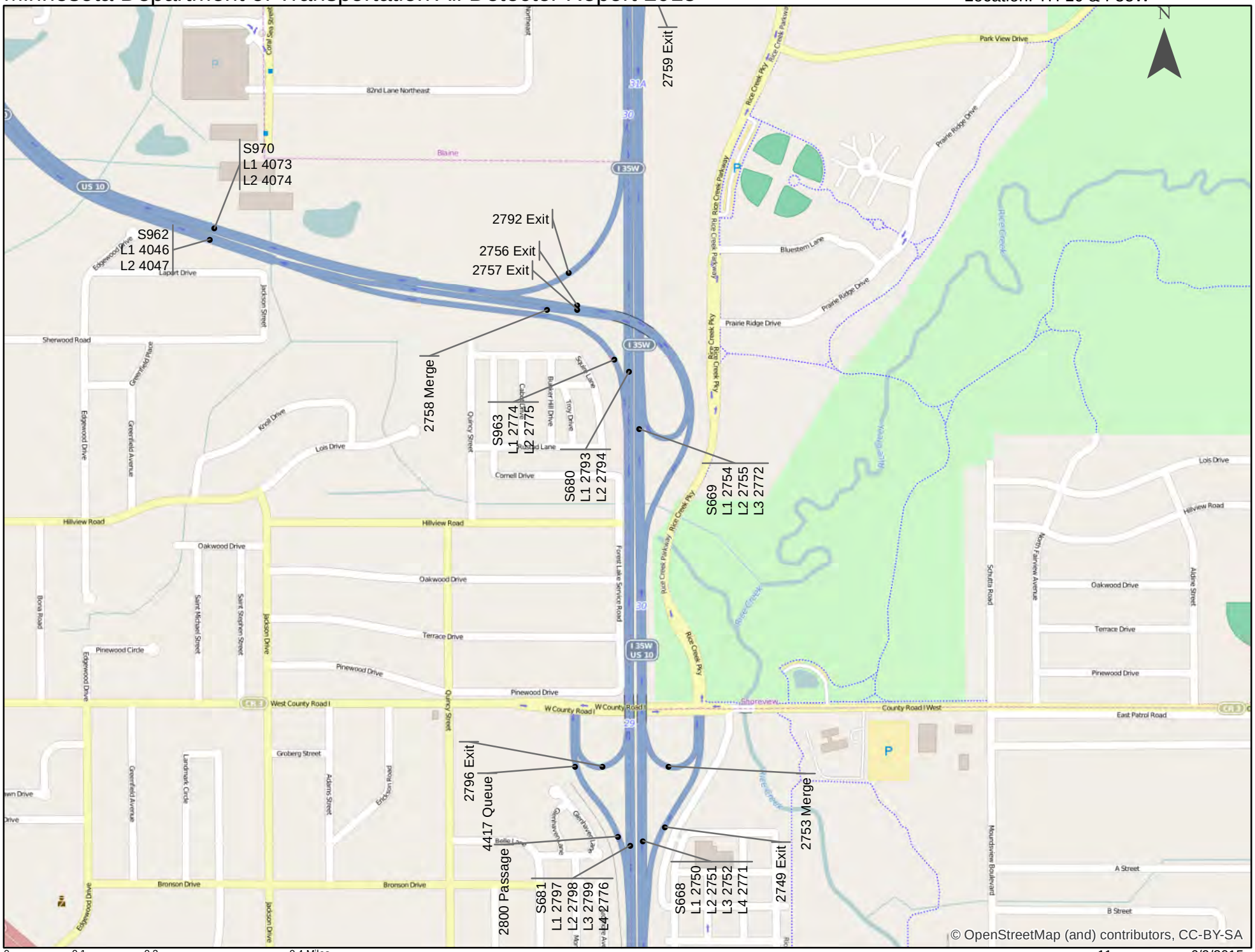

© OpenStreetMap (and) contributors, CC-BY-SA

Minnesota Department of Transportation All Detector Report 2015

Location: TH 10 & County Rd 96

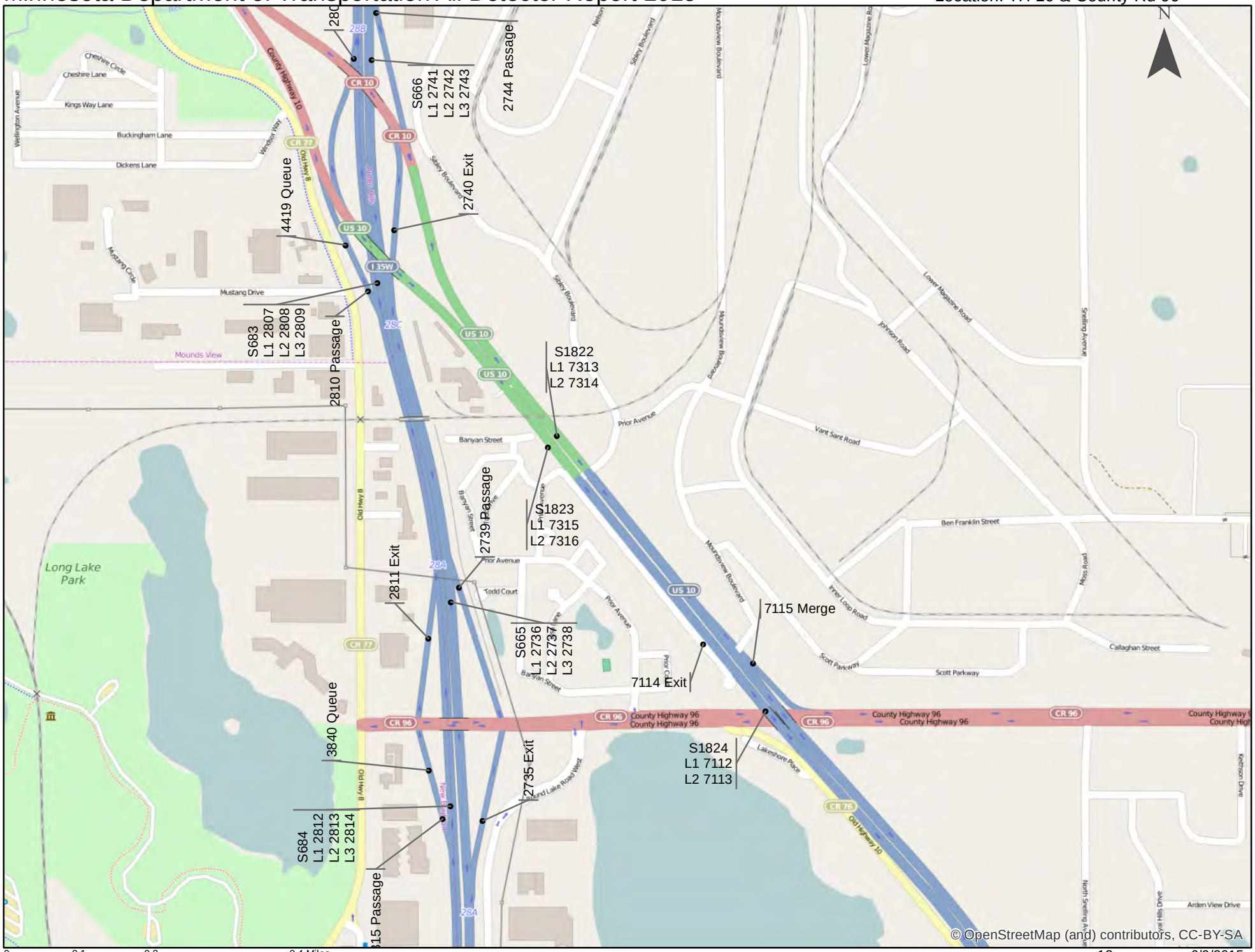

0 0.1 0.2 0.4 Miles

Minnesota Department of Transportation All Detector Report 2015

Location: TH 10 & I-694 / TH 51

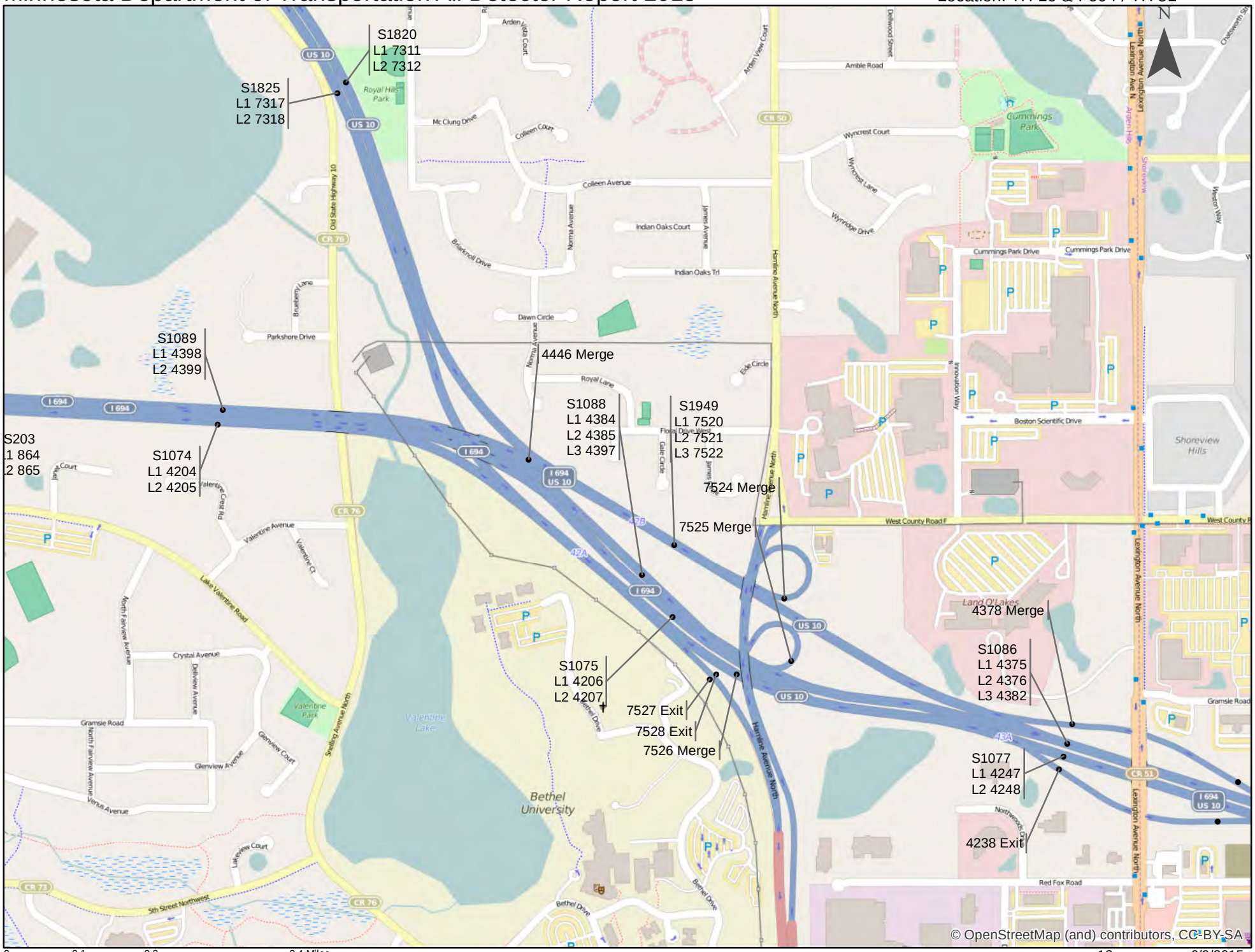

0 0.1 0.2 0.4 Miles

Location: I-35E & CR 42

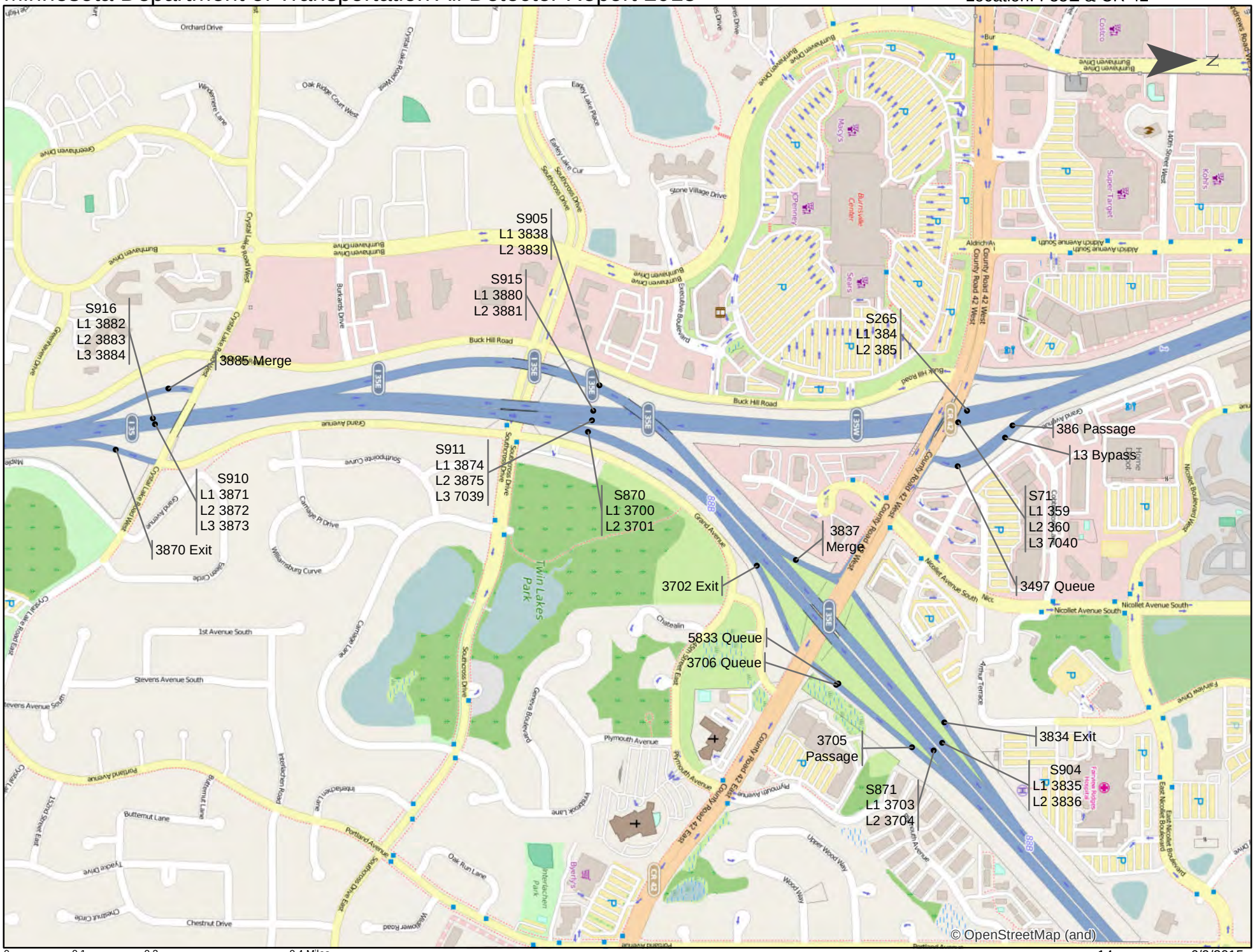

0 0.1 0.2 0.4 Miles

Location: I-35E & McAndrews Rd

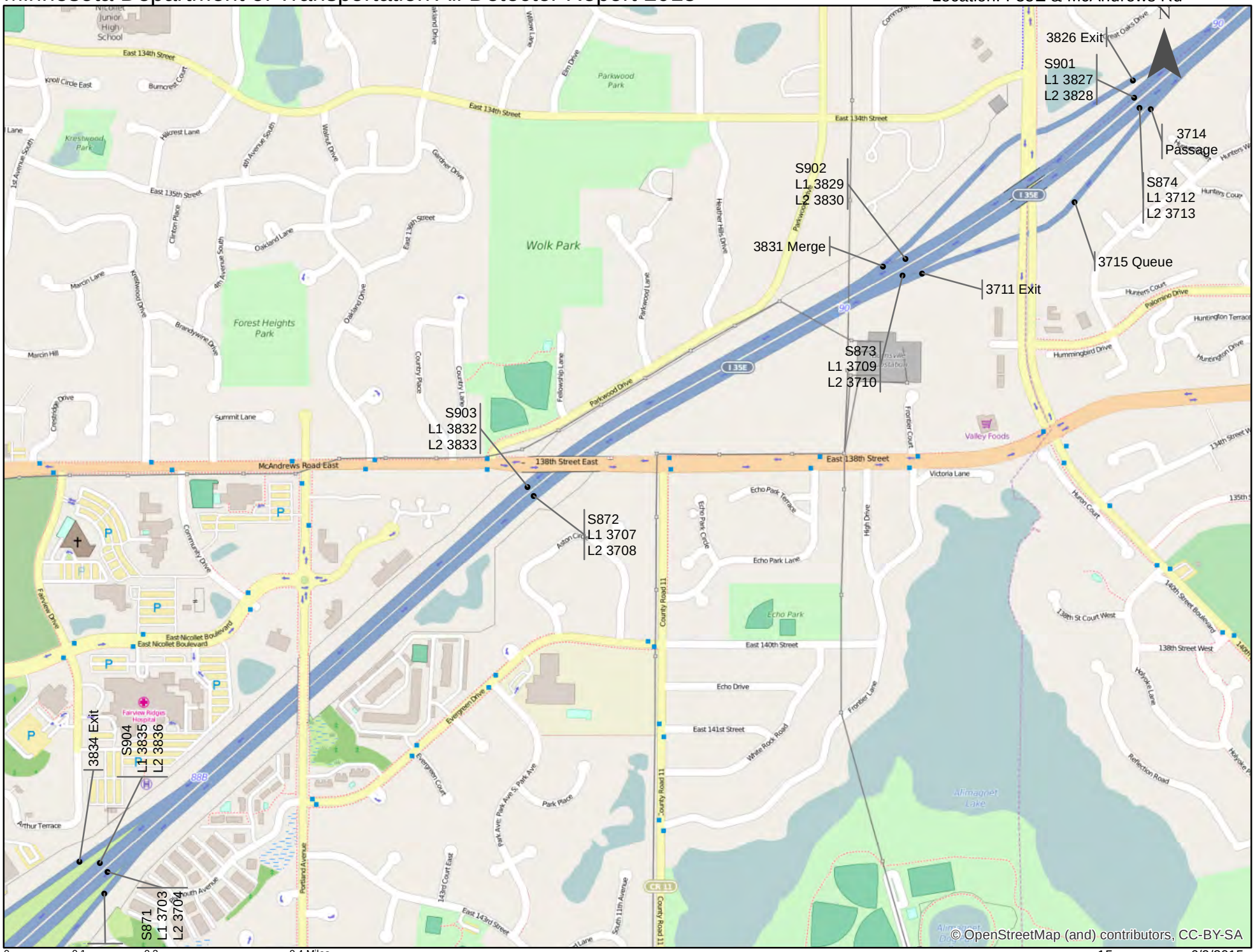

0 0.1 0.2 0.4 Miles

Location: I-35E & South of TH 77

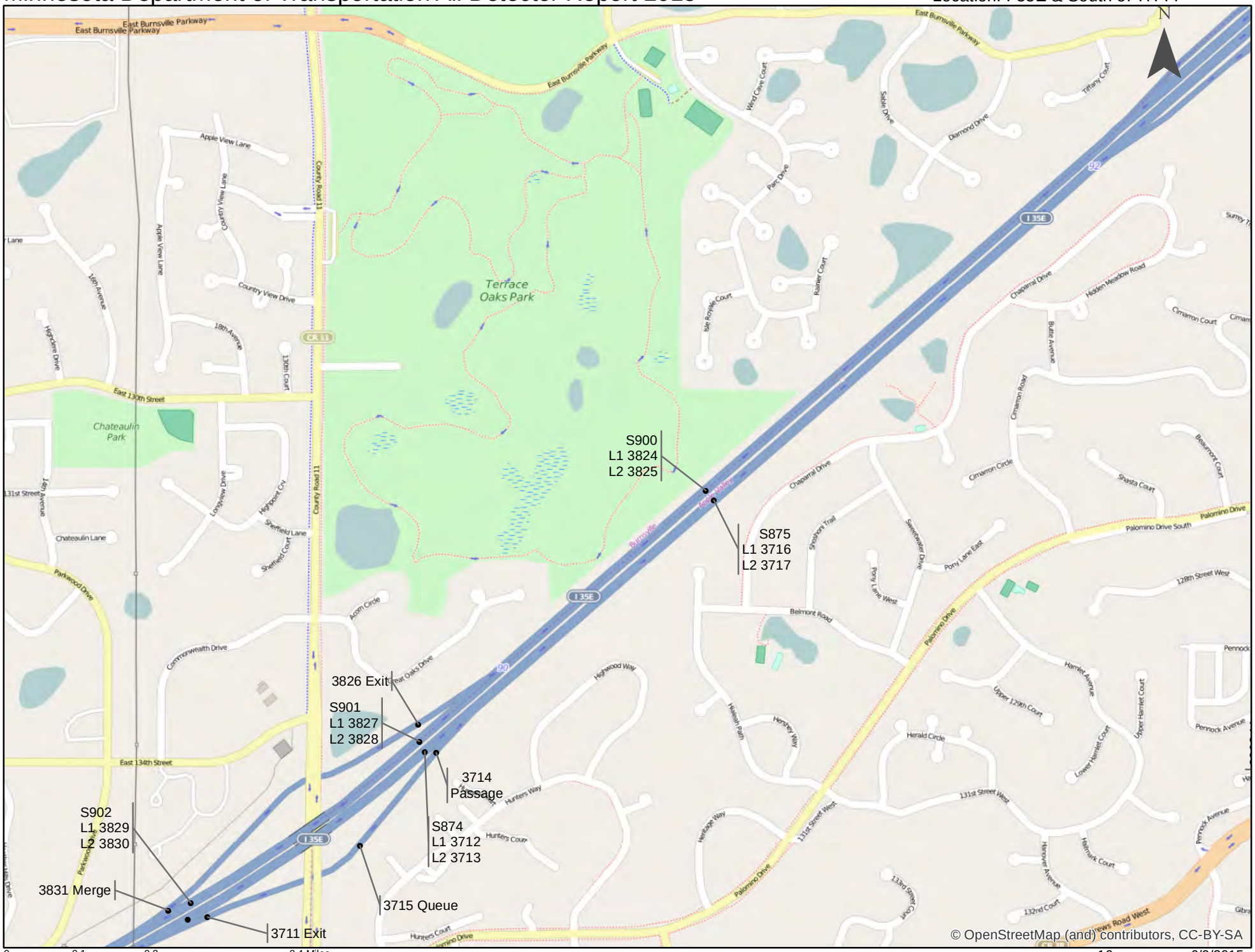

0 0.1 0.2 0.4 Miles

Minnesota Department of Transportation All Detector Report 2015

Location: I-35E & TH 77

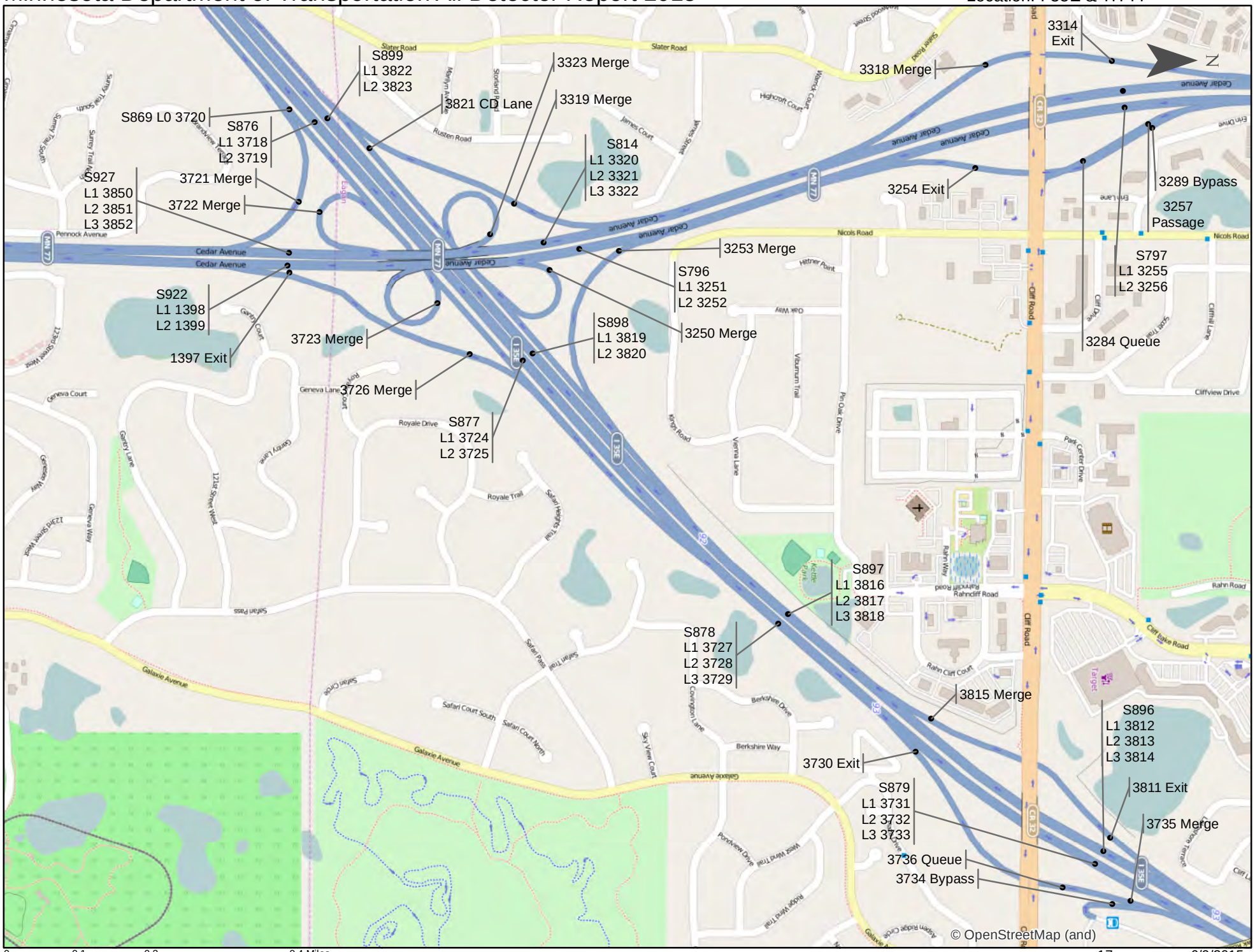

Minnesota Department of Transportation All Detector Report 2015

Location: I-35E & Diffley Rd

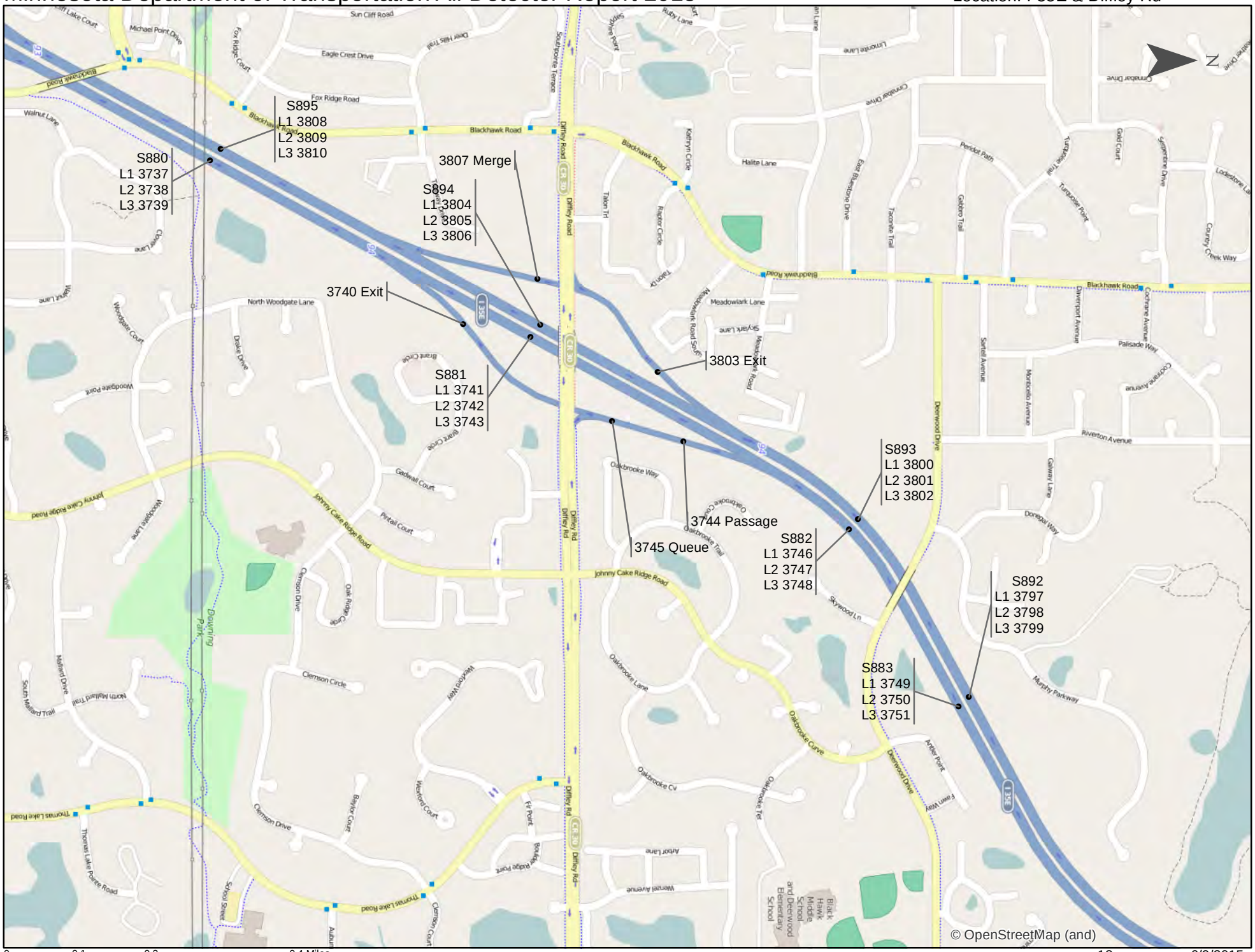

0 0.1 0.2 0.4 Miles

6/9/2015

Minnesota Department of Transportation All Detector Report 2015

Location: I-35E & Yankee Doodle Rd

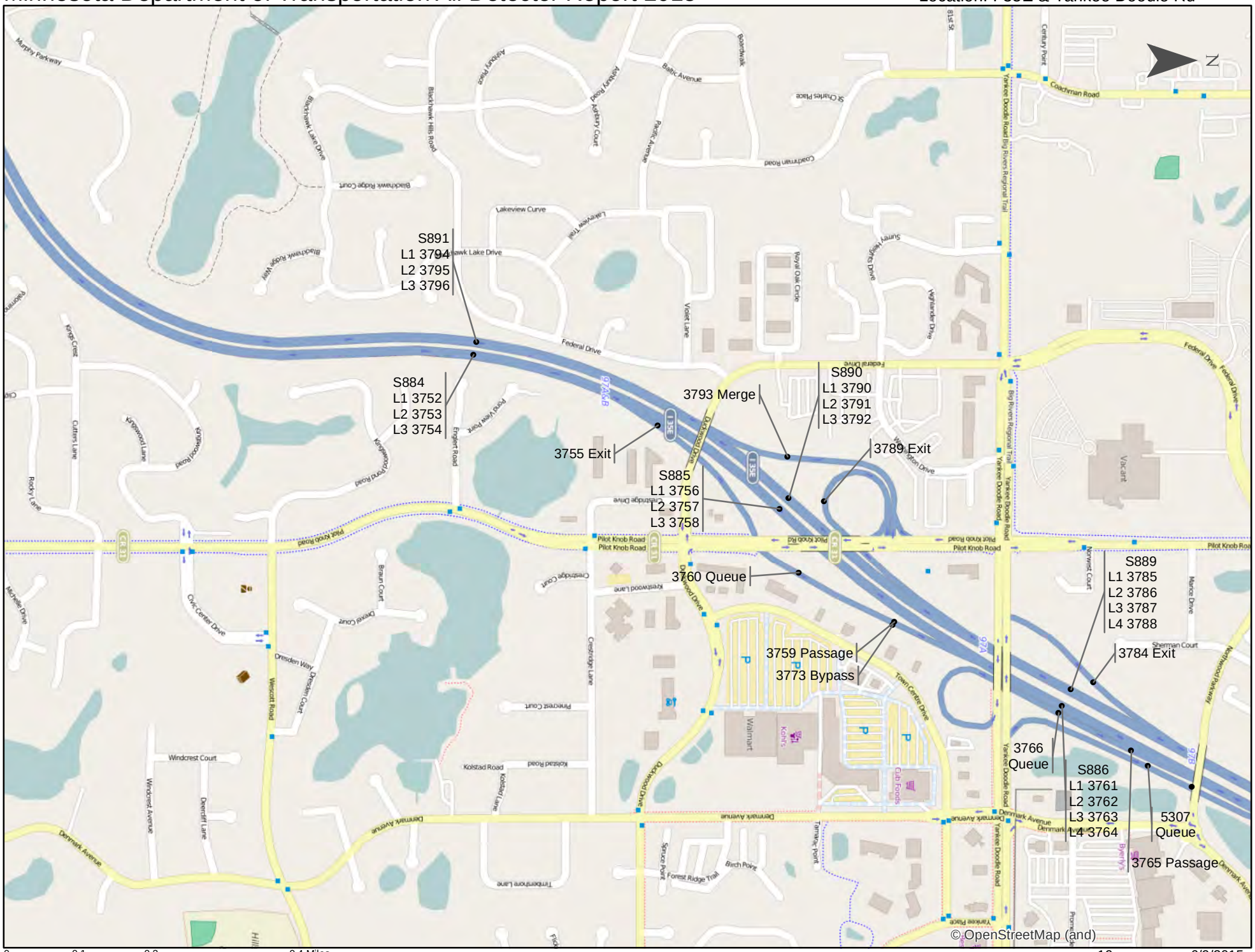

0 0.1 0.2 0.4 Miles

6/9/2015

Minnesota Department of Transportation All Detector Report 2015

Location: I-35E & Lone Oak Rd

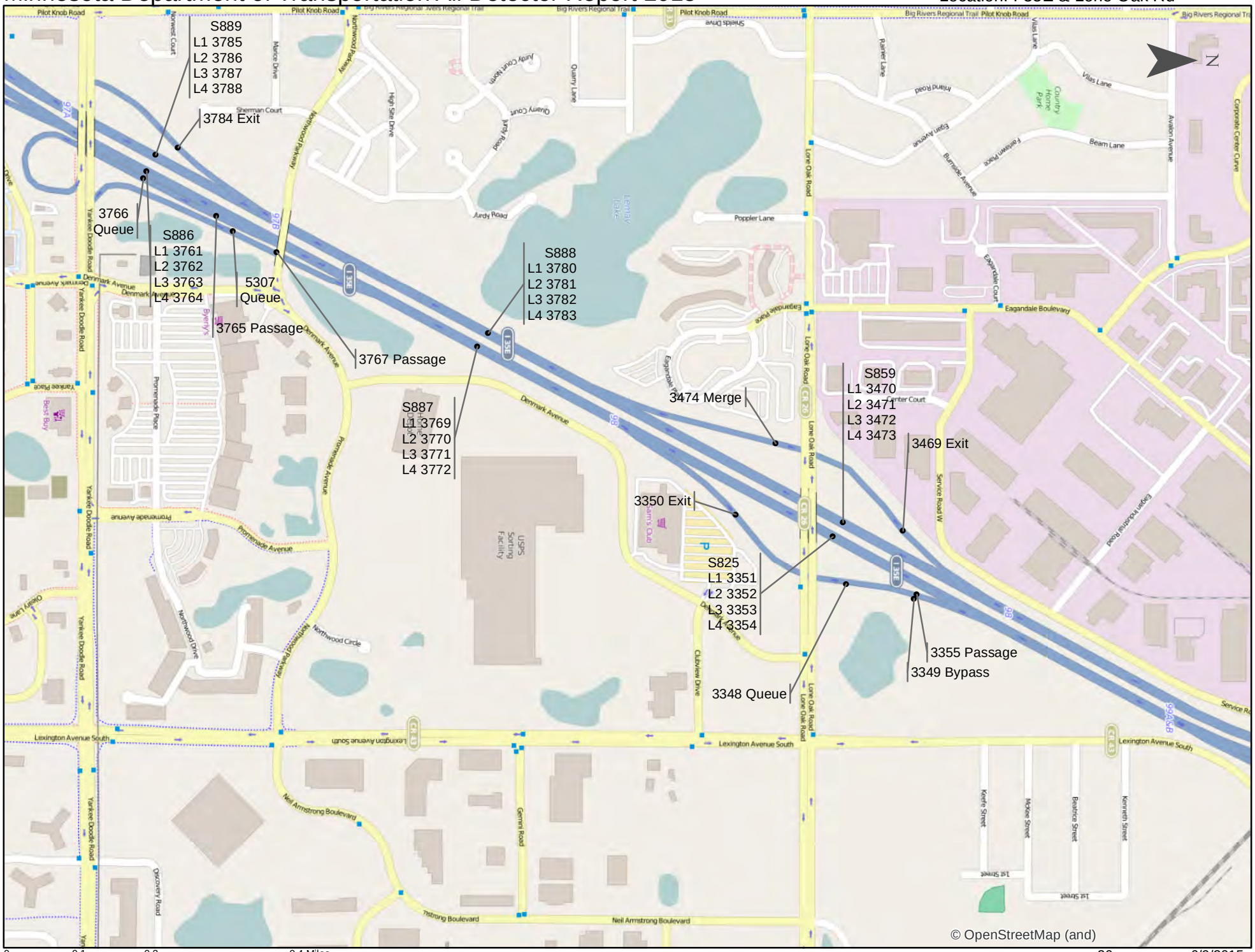

0 0.1 0.2 0.4 Miles

6/9/2015

Location: I-35E & I-494

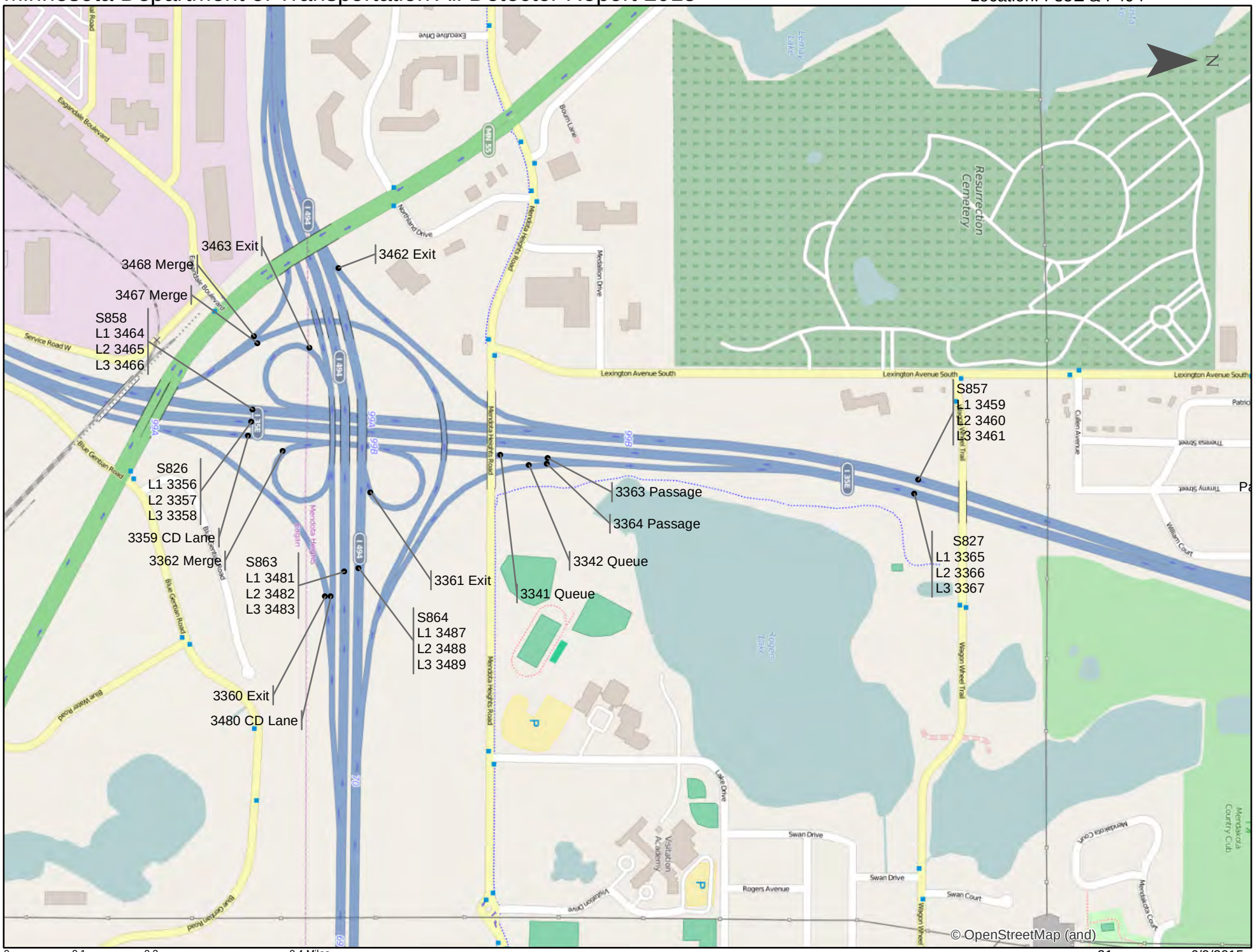

0 0.1 0.2 0.4 Miles

Location: I-35E & TH 110

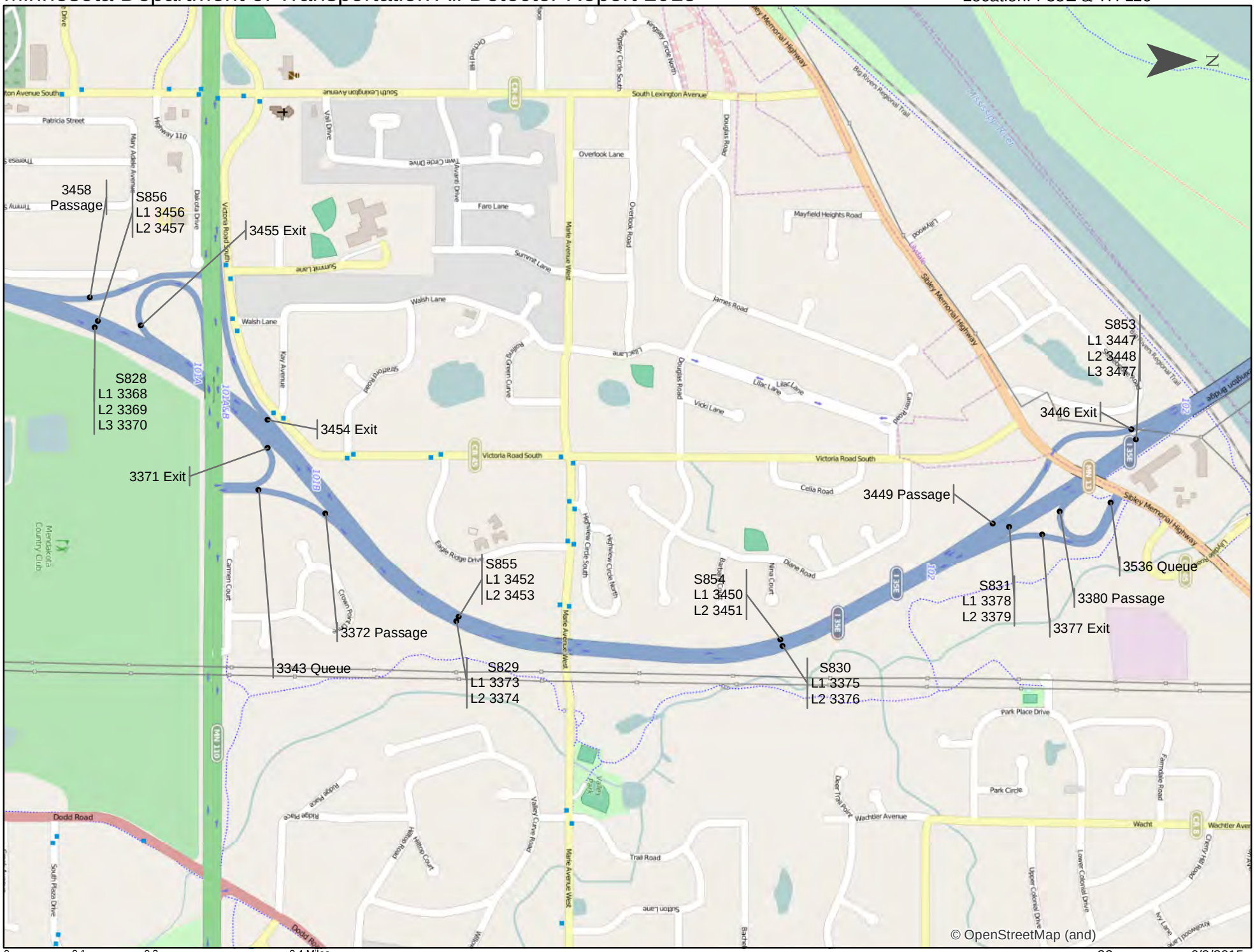

0 0.1 0.2 0.4 Miles

Minnesota Department of Transportation All Detector Report 2015

Location: I-35E & W 7th St

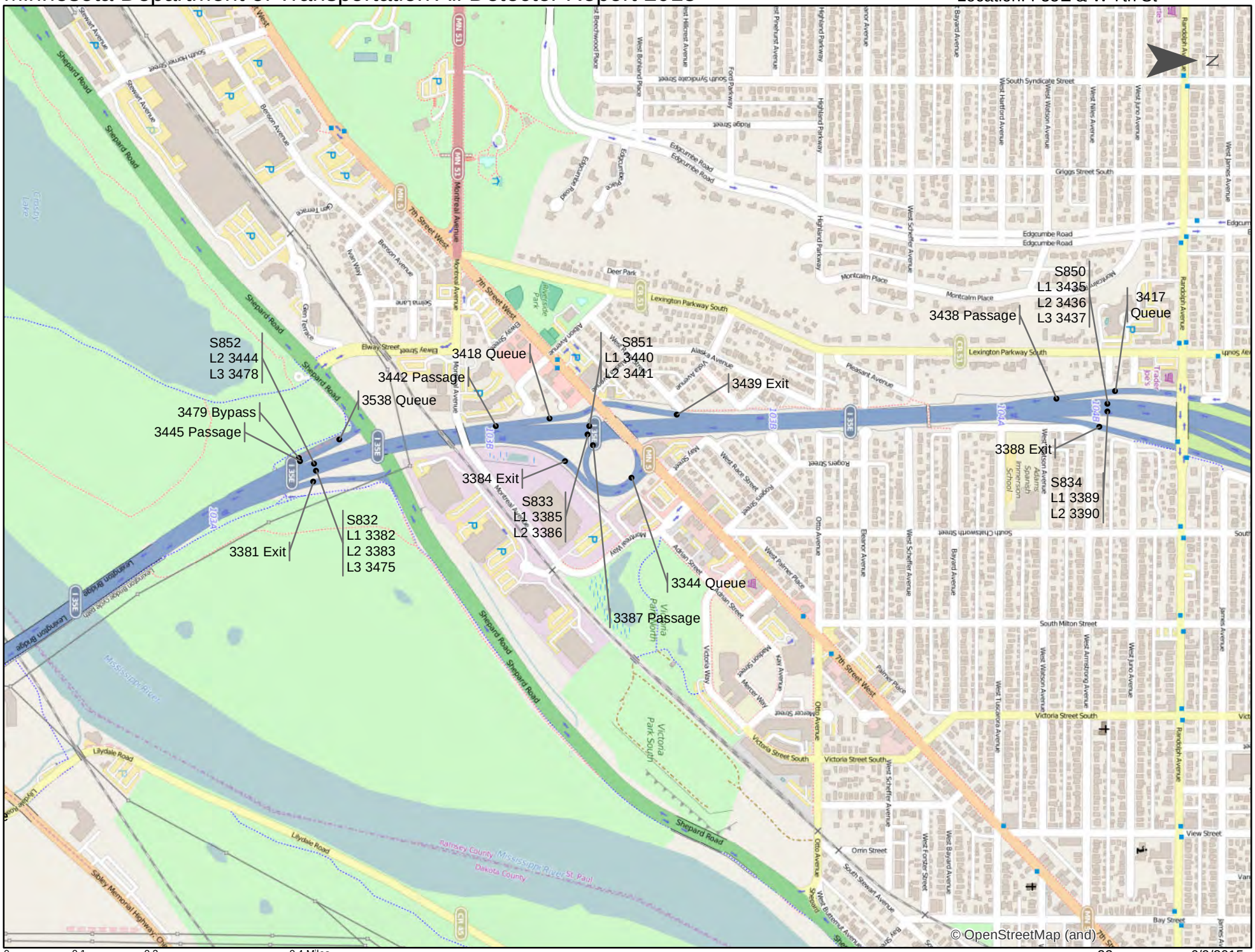

0 0.1 0.2 0.4 Miles

6/9/2015

Minnesota Department of Transportation All Detector Report 2015

Location: I-35E & Randolph Ave

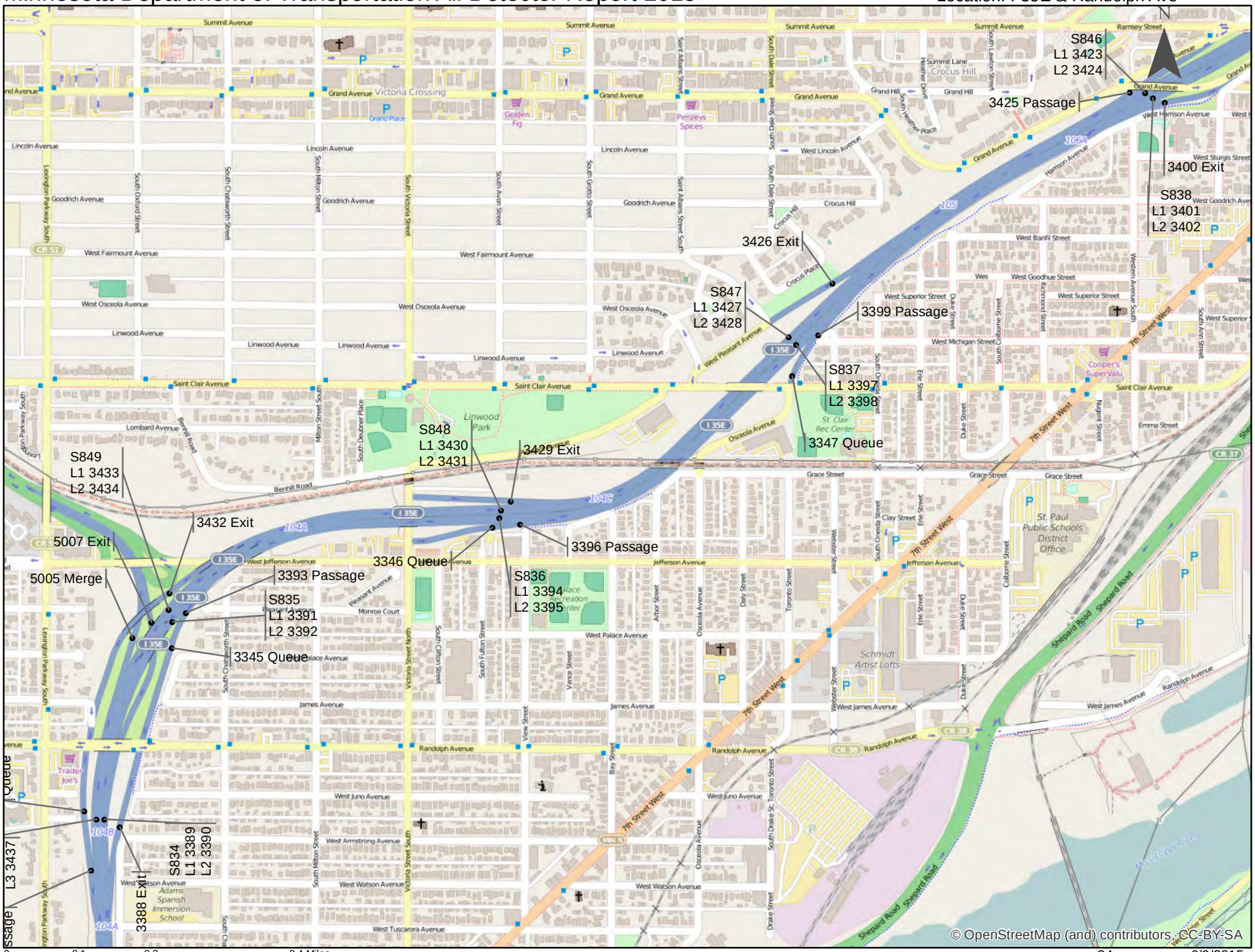

0 0.1 0.2 0.4 Miles

Minnesota Department of Transportation All Detector Report 2015

Location: I-35E & I-94

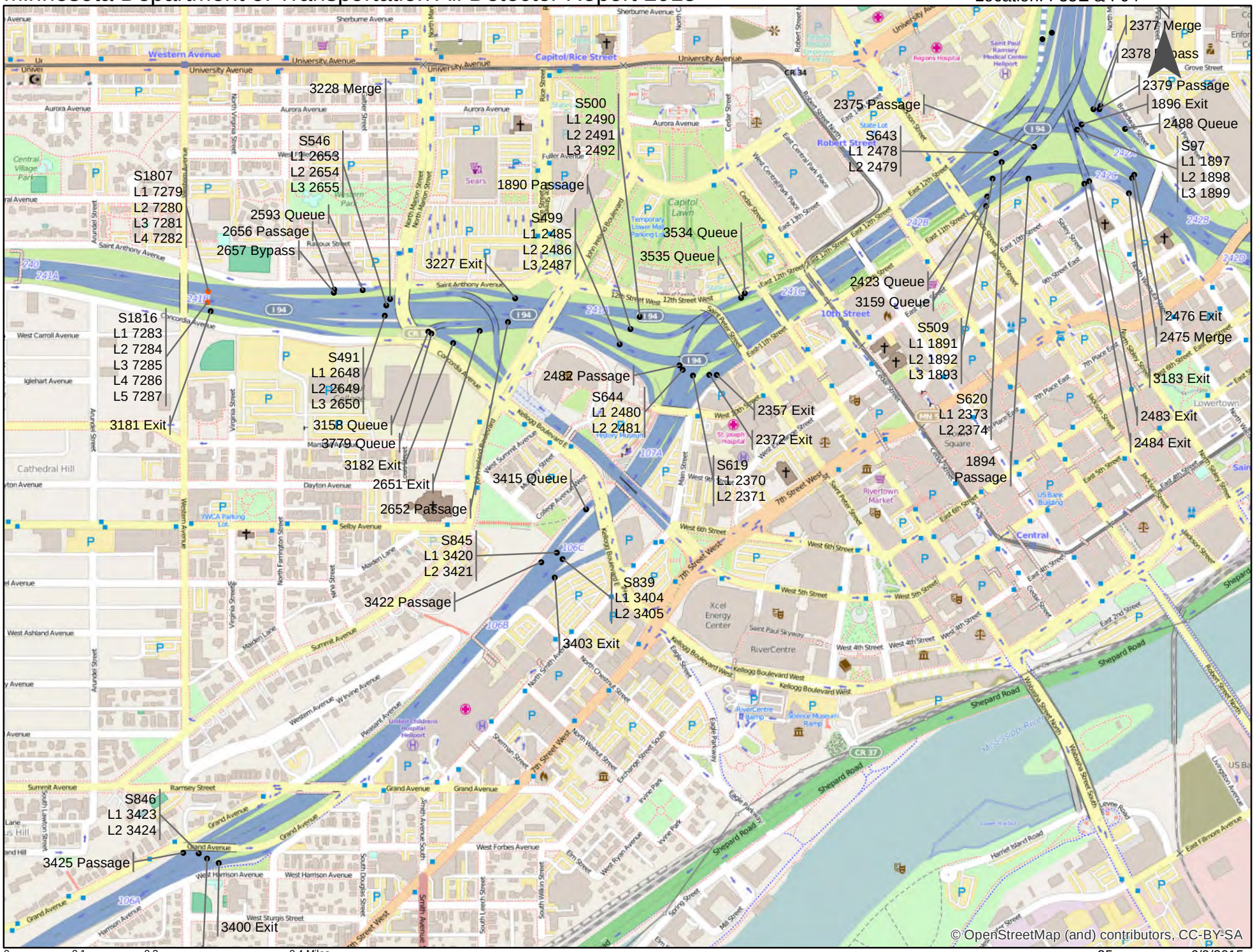

0 0.1 0.2 0.4 Miles

Minnesota Department of Transportation All Detector Report 2015

Location: I-35E & Cayuga

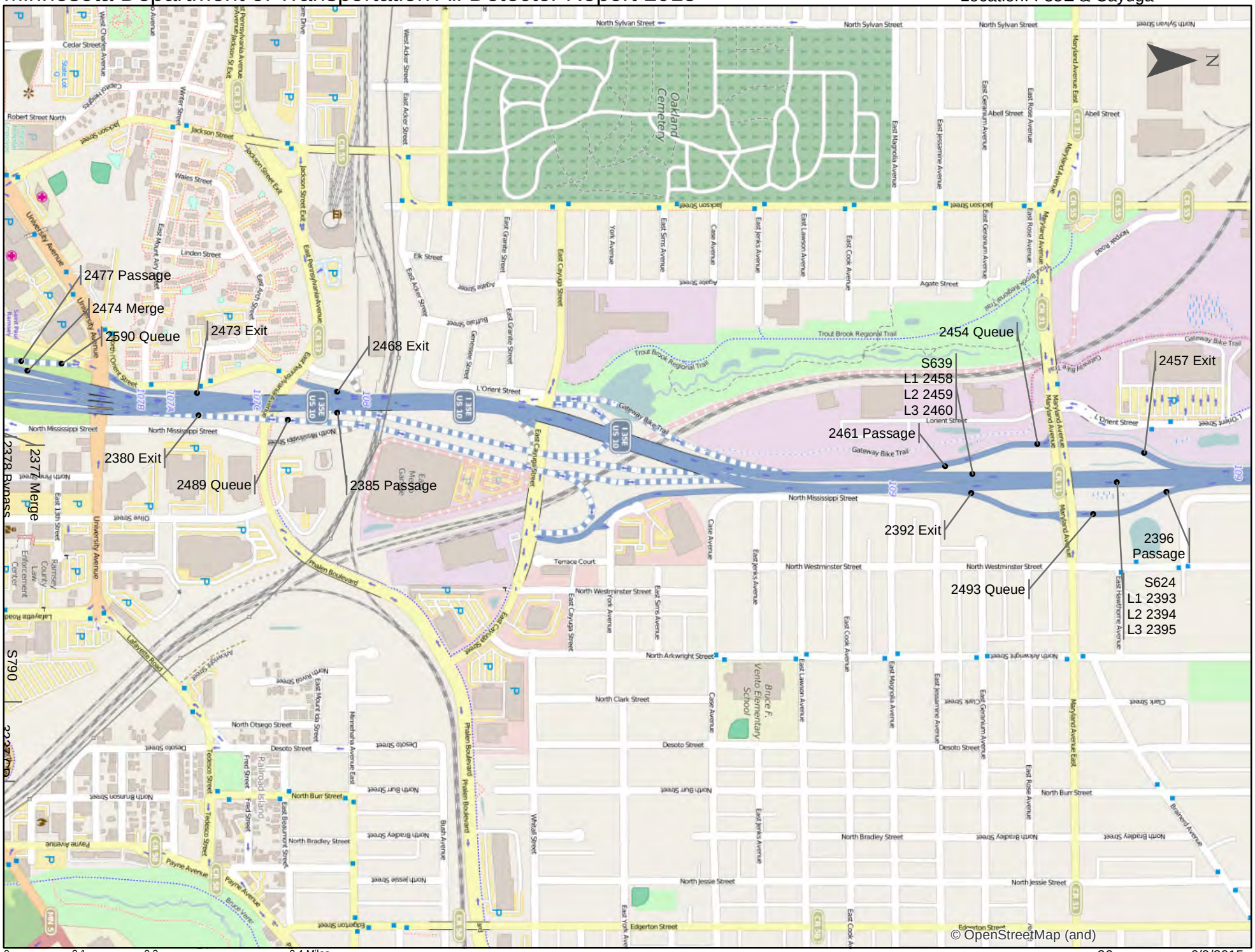

0 0.1 0.2 0.4 Miles

Minnesota Department of Transportation All Detector Report 2015

Location: I-35E & Larpenteur Ave

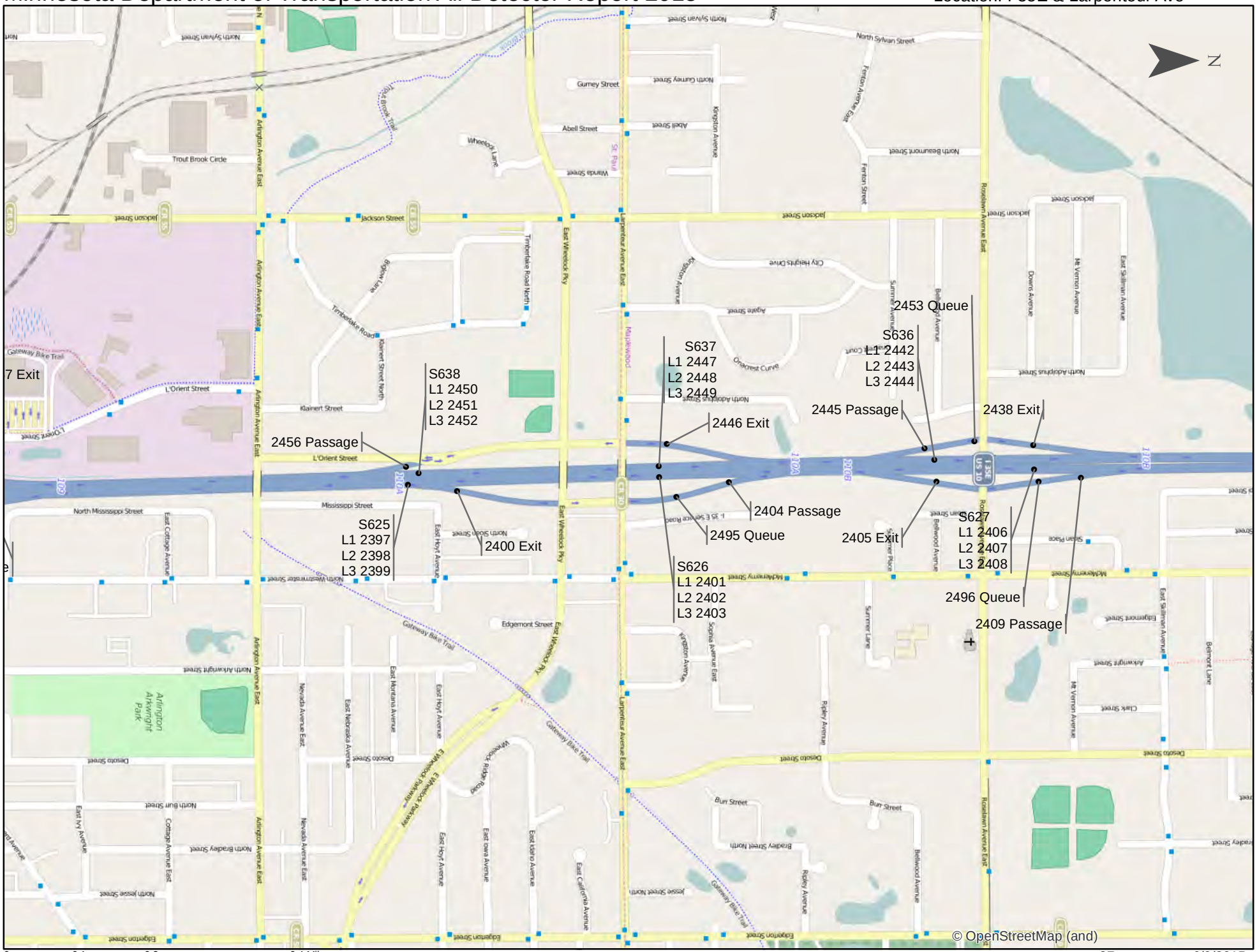

0 0.1 0.2 0.4 Miles

Location: I-35E & TH 36

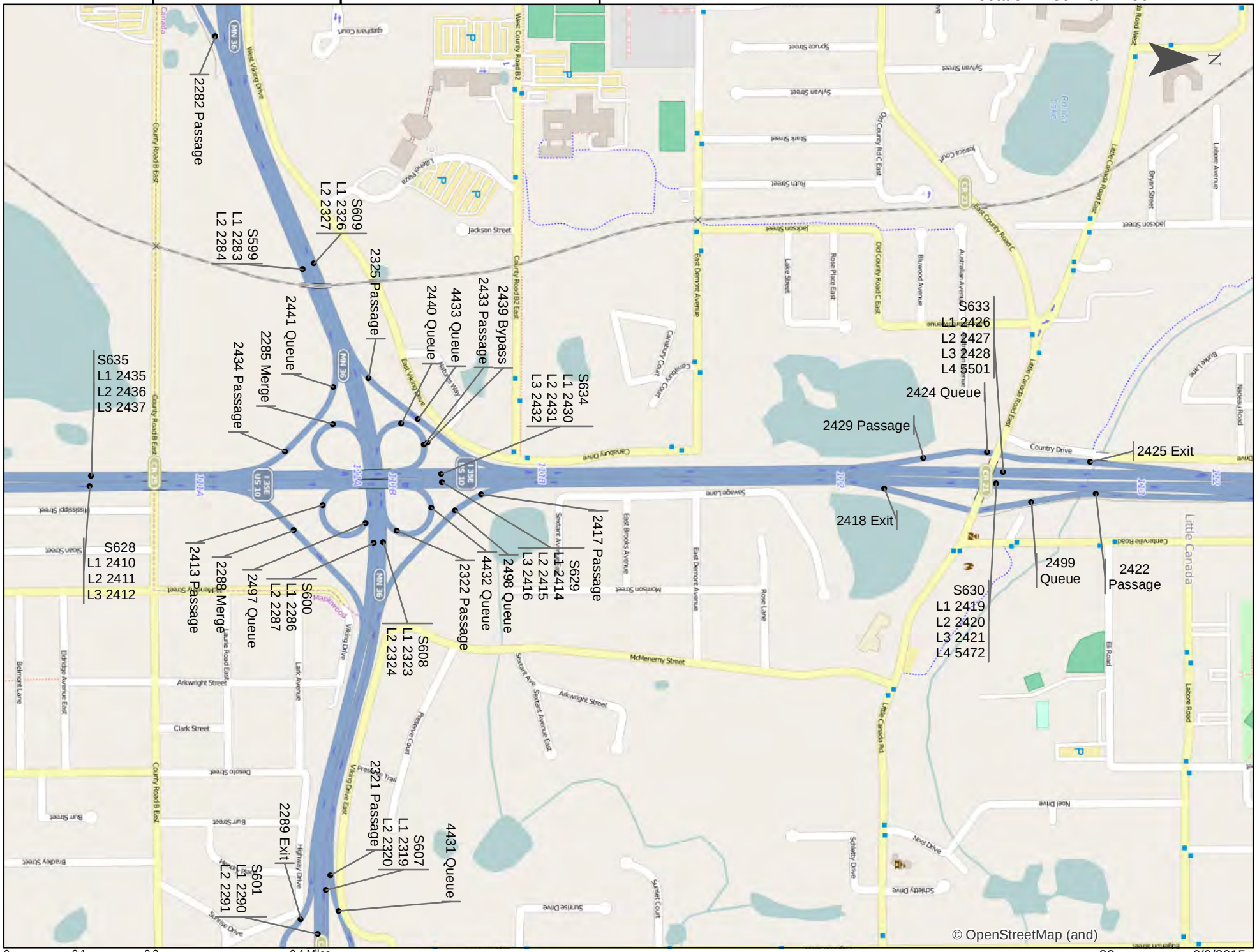

0 0.1 0.2 0.4 Miles

Location: I-35E & I-694

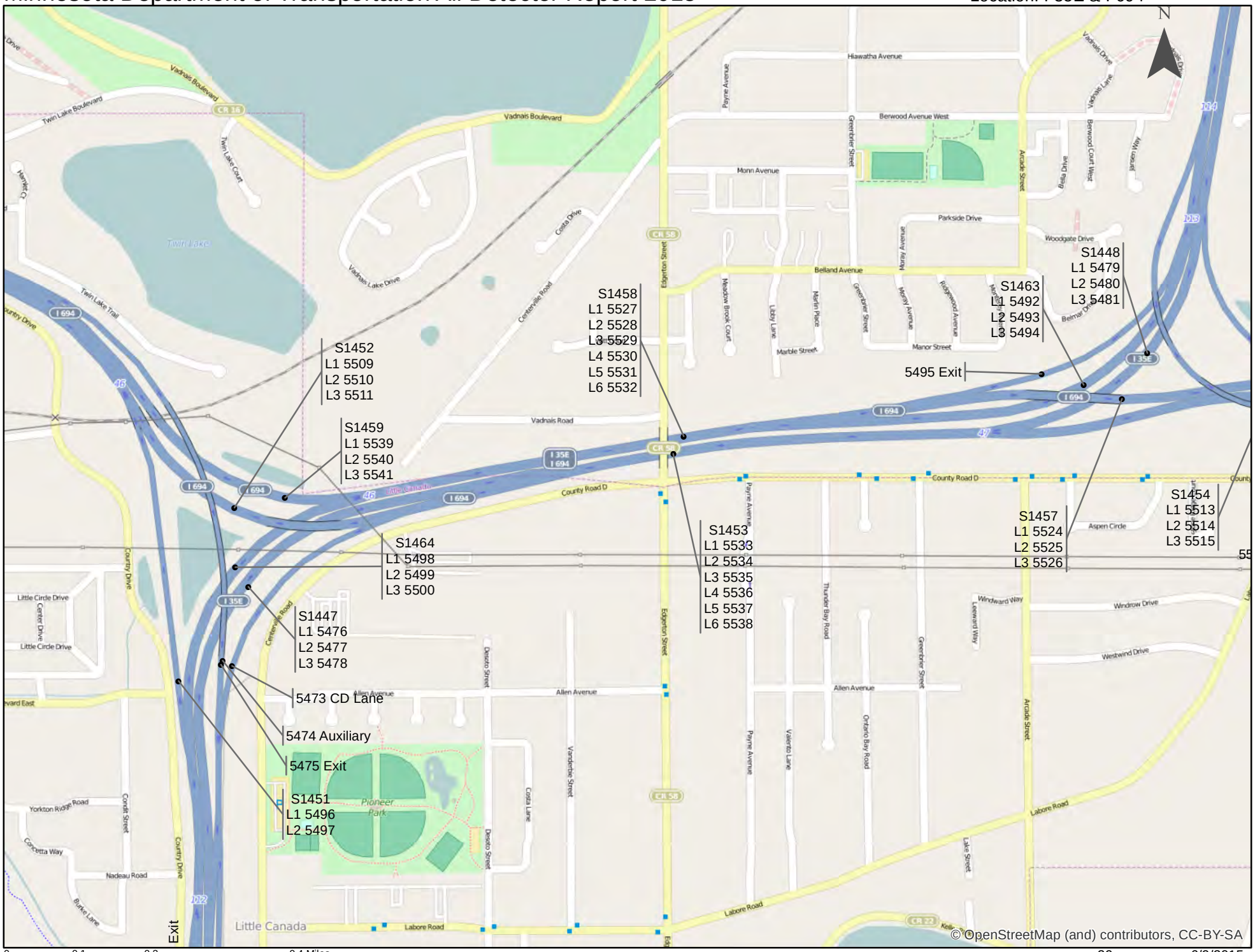

0 0.1 0.2 0.4 Miles

Location: I-35E & County Rd E

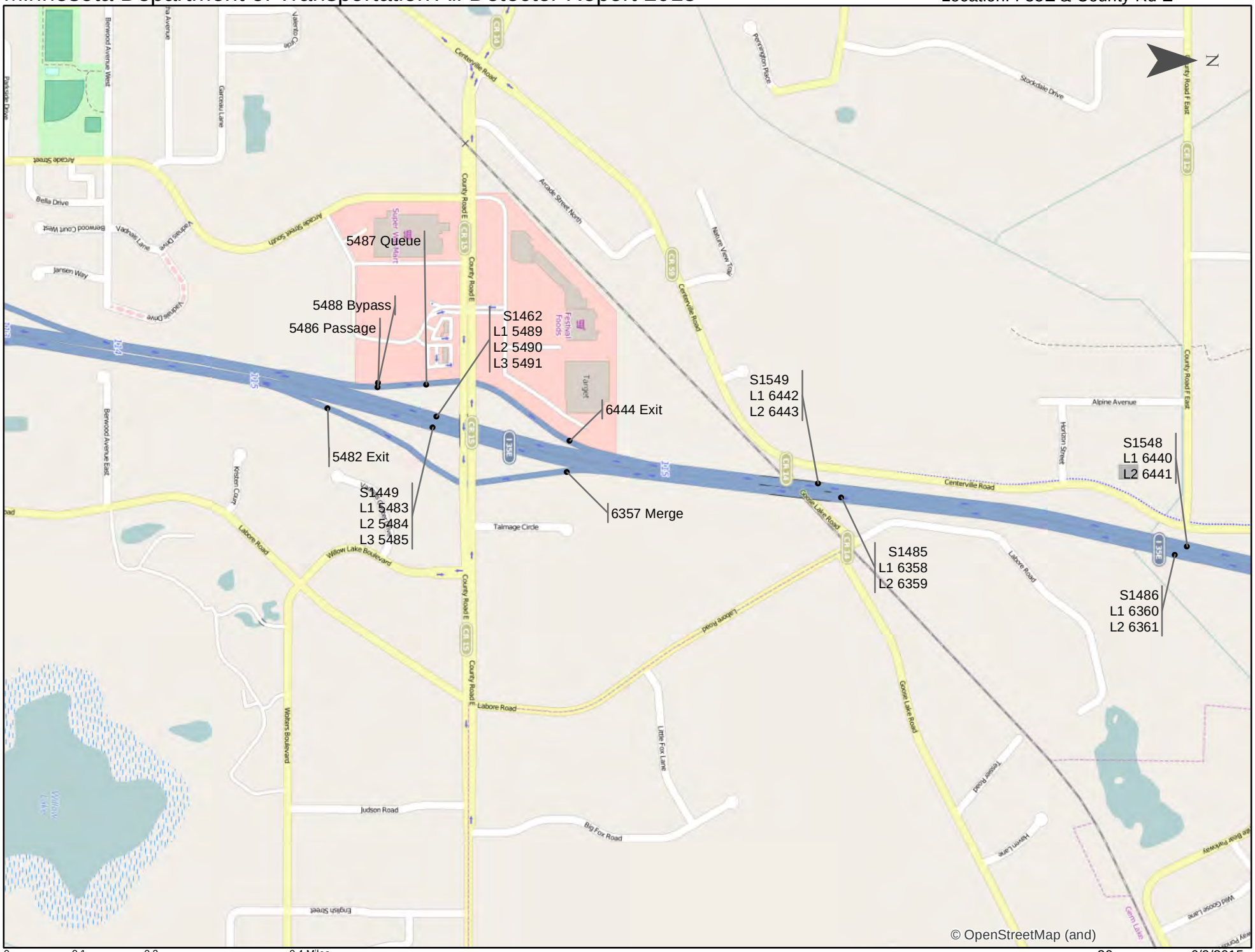

0 0.1 0.2 0.4 Miles

Location: I-35E & CR 96

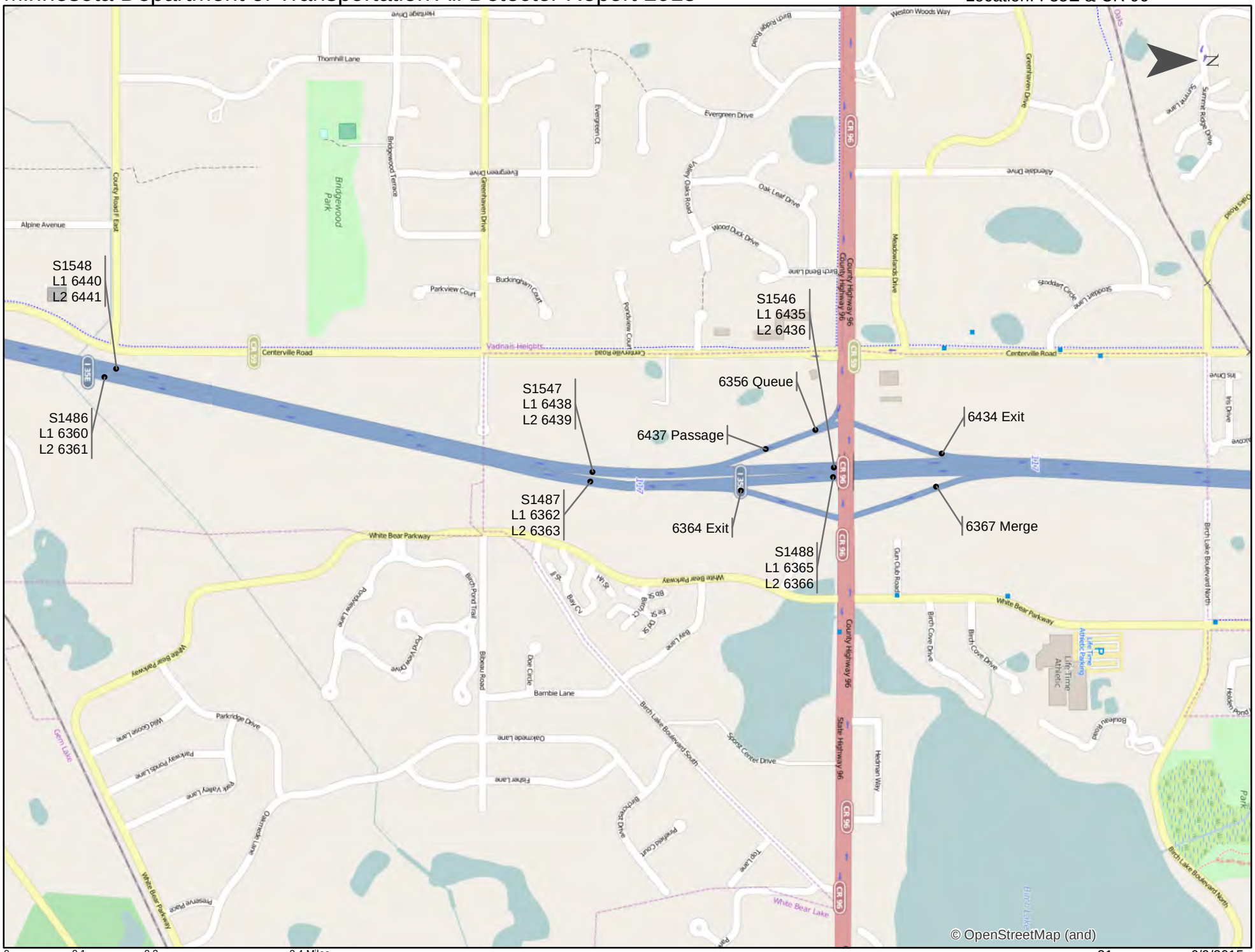

0 0.1 0.2 0.4 Miles

Location: I-35E & CR H2

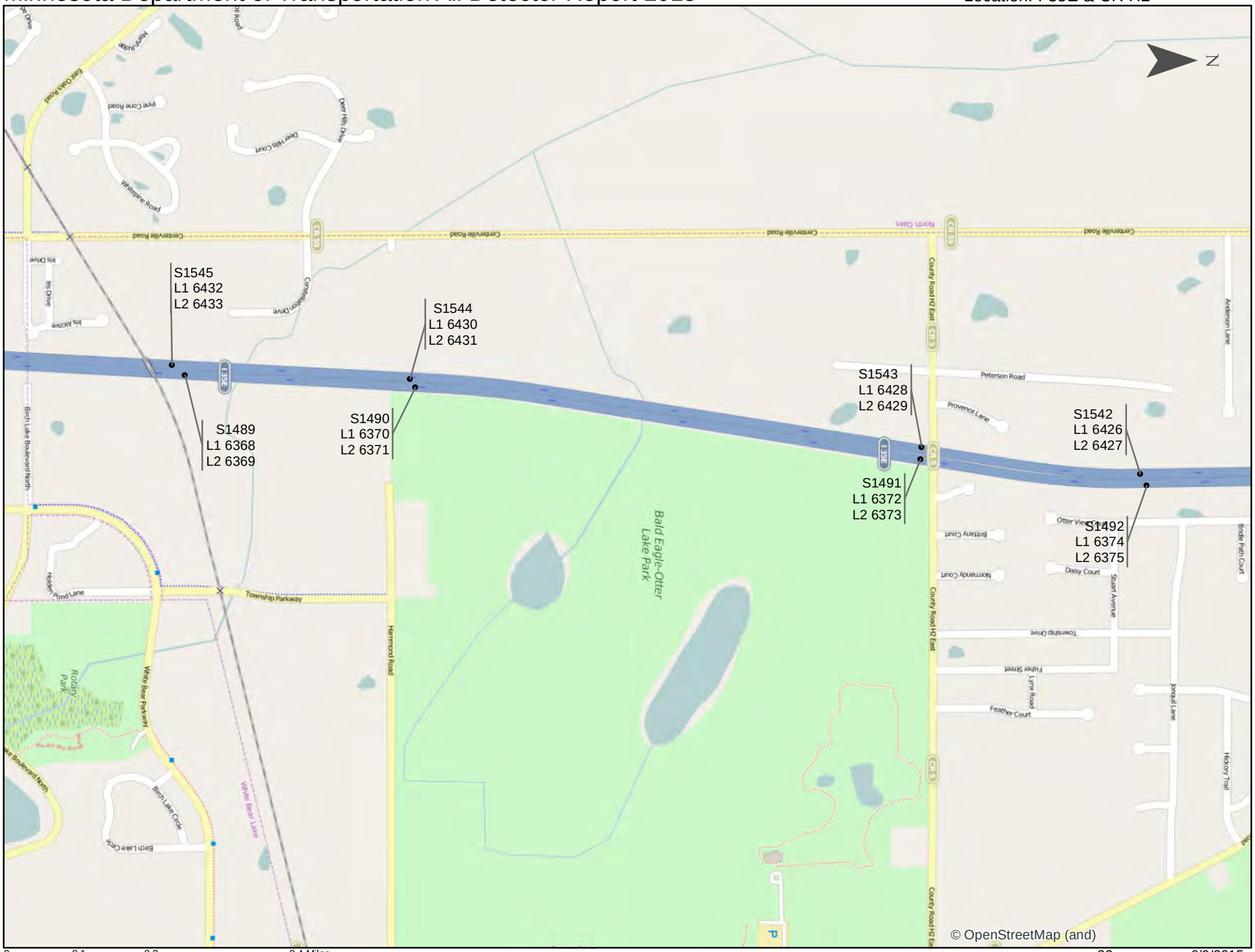

0 0.1 0.2 0.4 Miles

Minnesota Department of Transportation All Detector Report 2015

Location: I-35E & Ash St

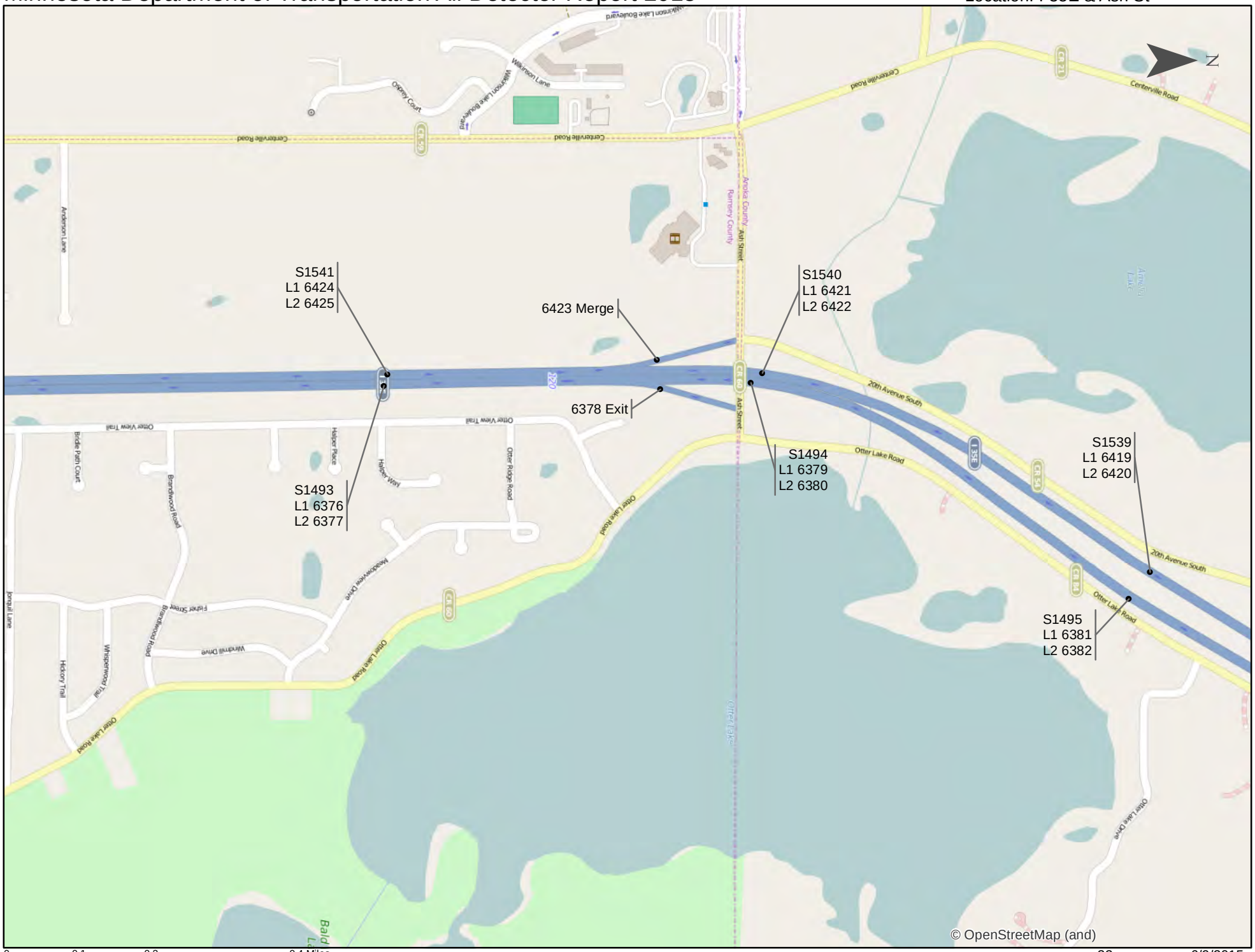

0 0.1 0.2 0.4 Miles

6/9/2015

Minnesota Department of Transportation All Detector Report 2015

Location: I-35E & Tart Lake Rd

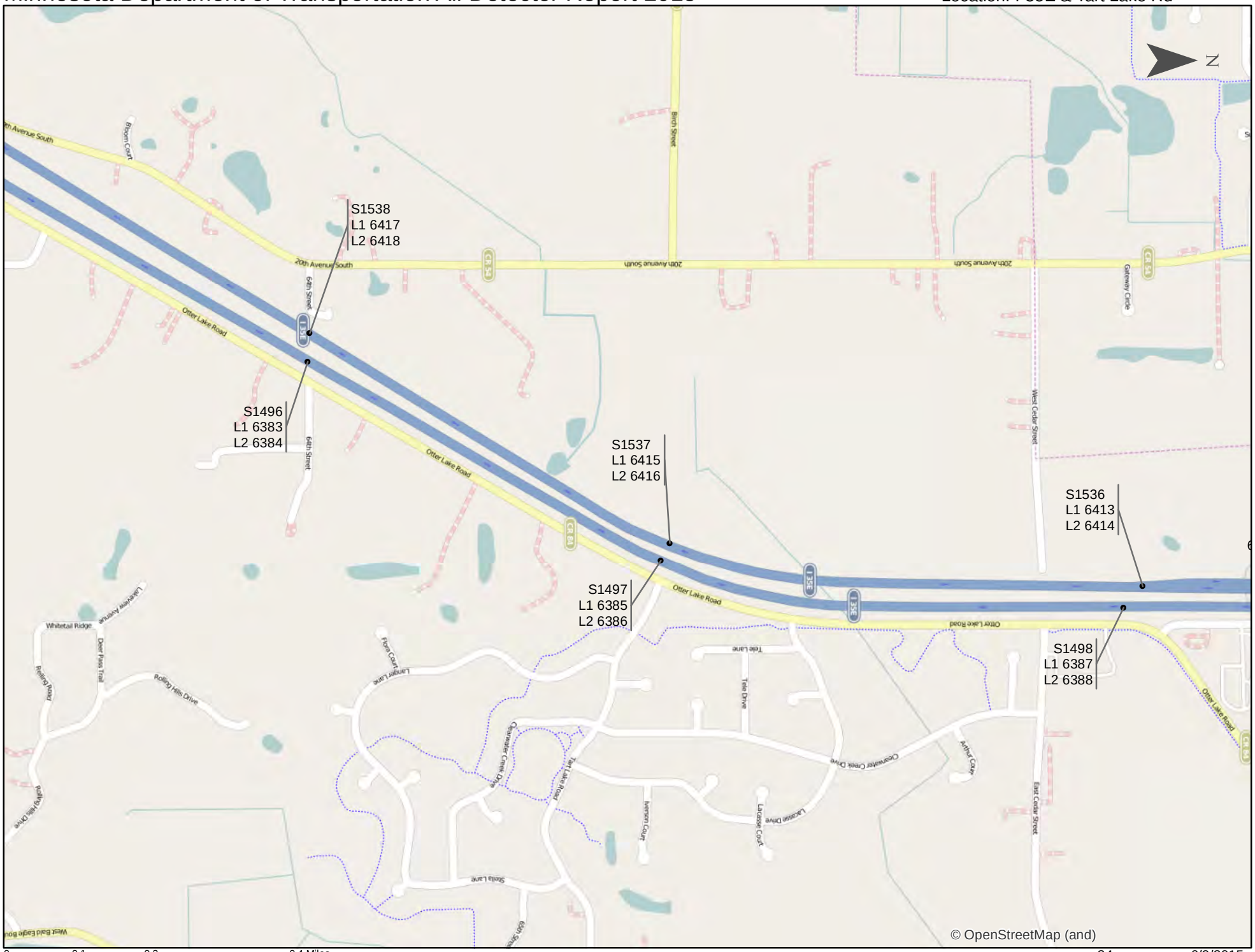

0 0.1 0.2 0.4 Miles

6/9/2015

Location: I-35E & Main St

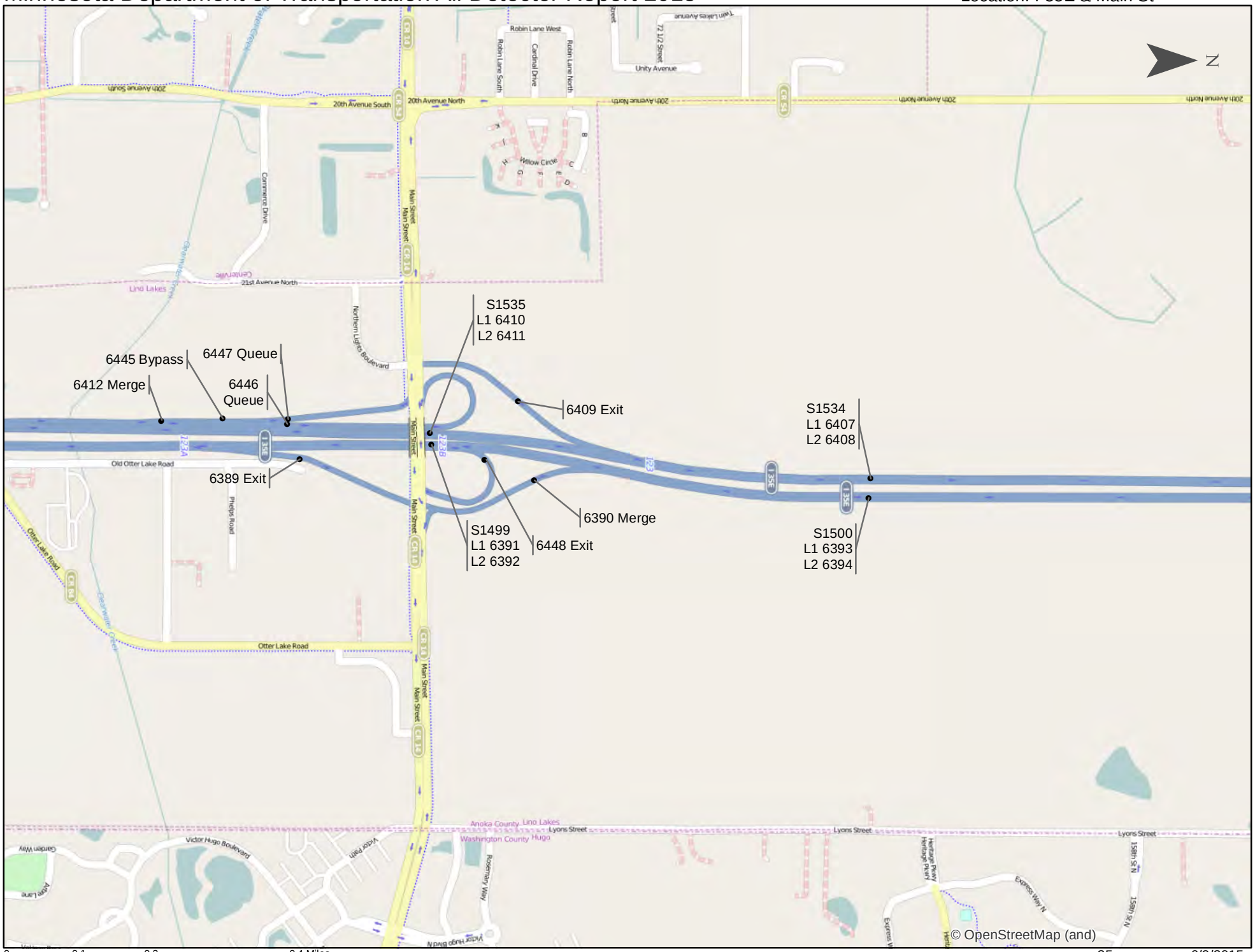

0 0.1 0.2 0.4 Miles

Location: I-35E South of the Forest Lake Split

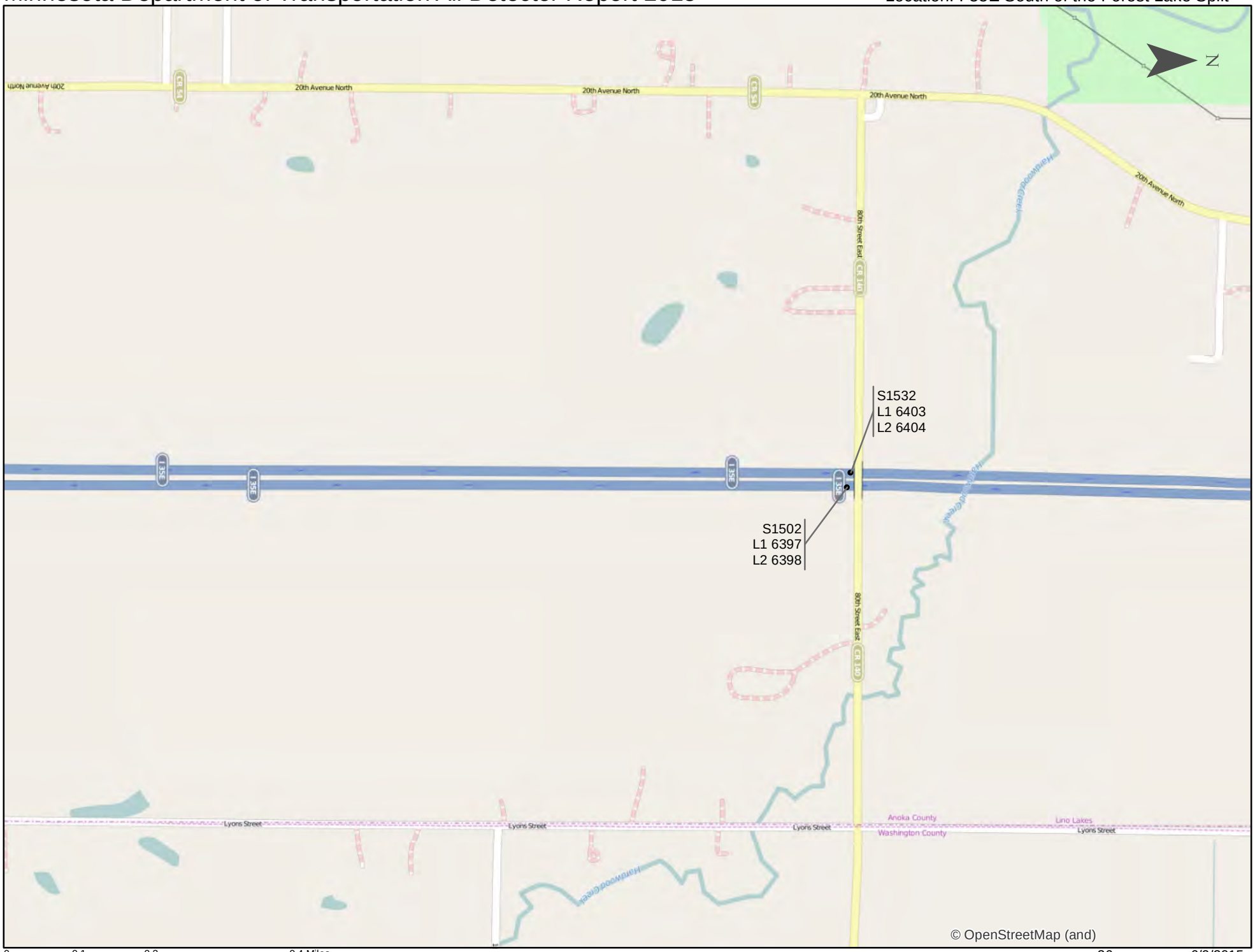

0 0.1 0.2 0.4 Miles

Location: I-35 & 210th St

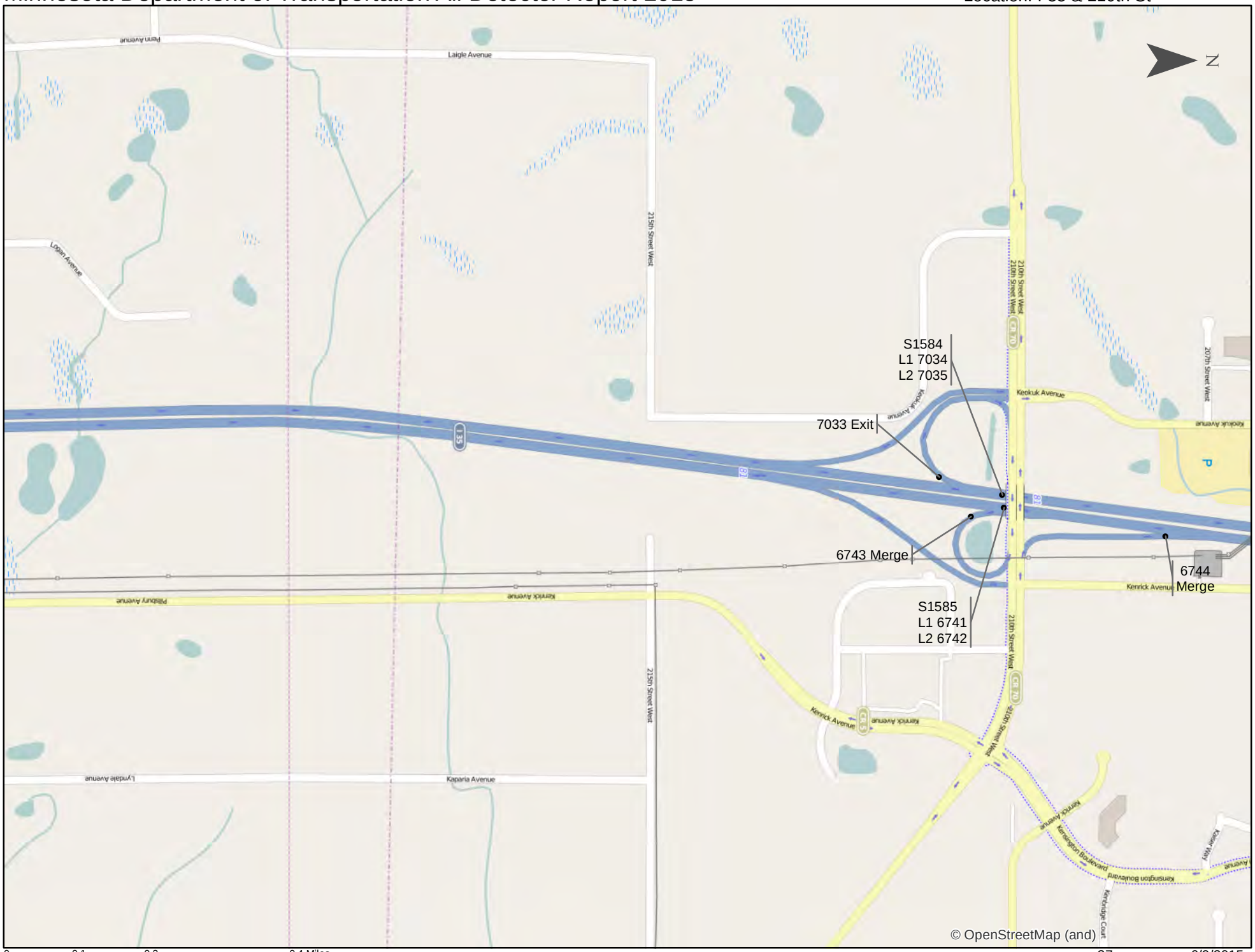

0 0.1 0.2 0.4 Miles

6/9/2015

Minnesota Department of Transportation All Detector Report 2015

Location: I-35 & 205th St

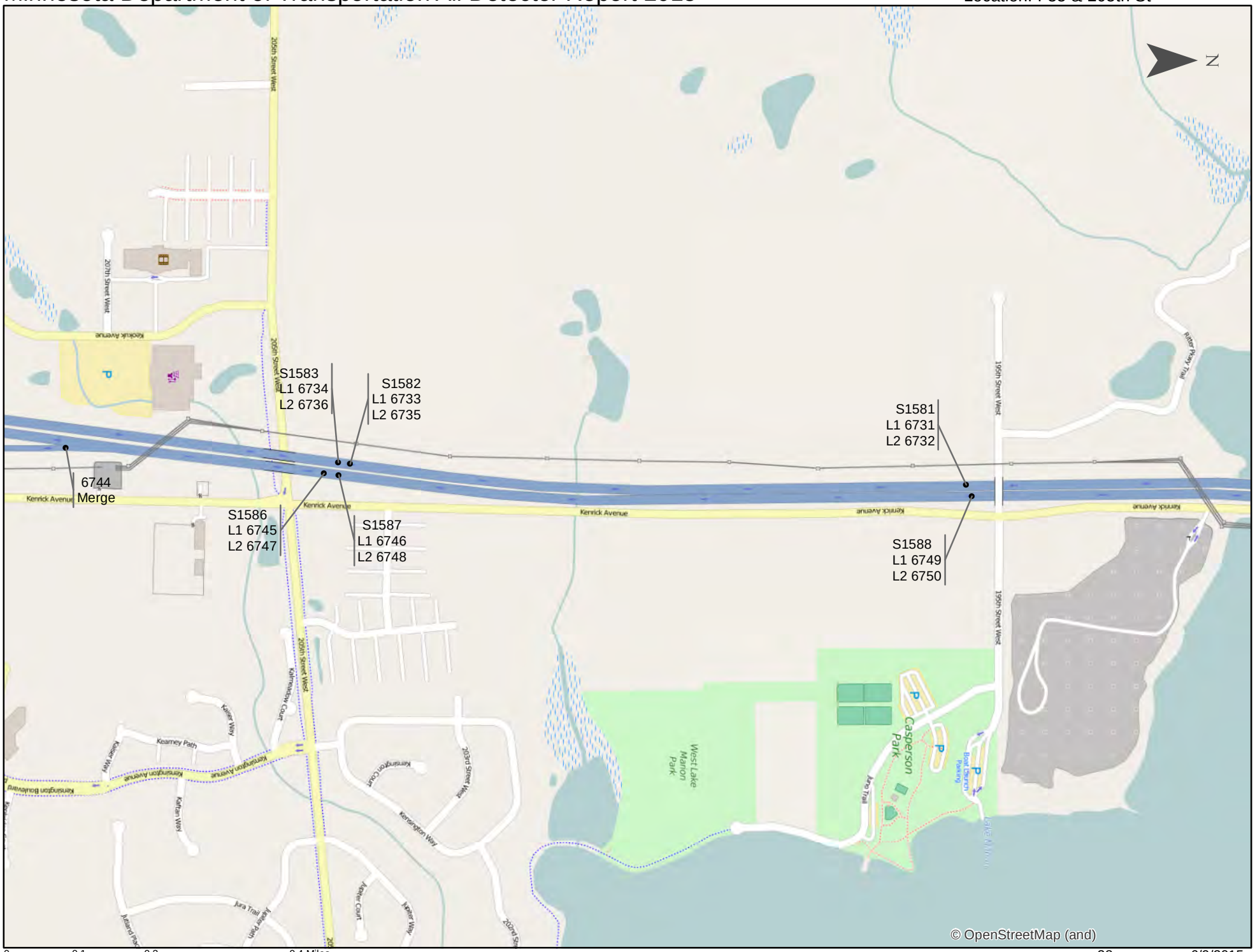

0 0.1 0.2 0.4 Miles

6/9/2015

Location: I-35 & 195th St

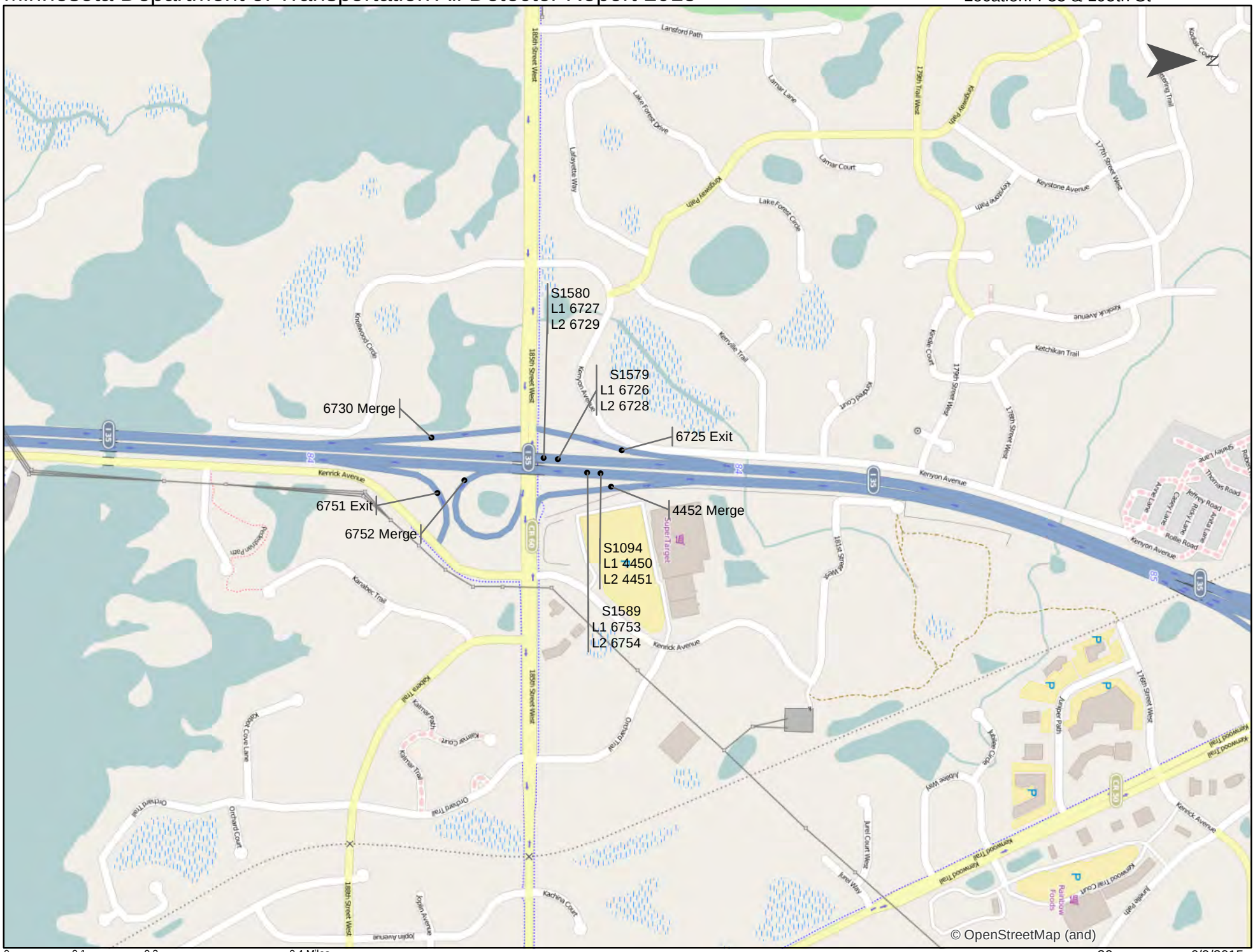

0 0.1 0.2 0.4 Miles

6/9/2015

Location: I-35 & CR 46

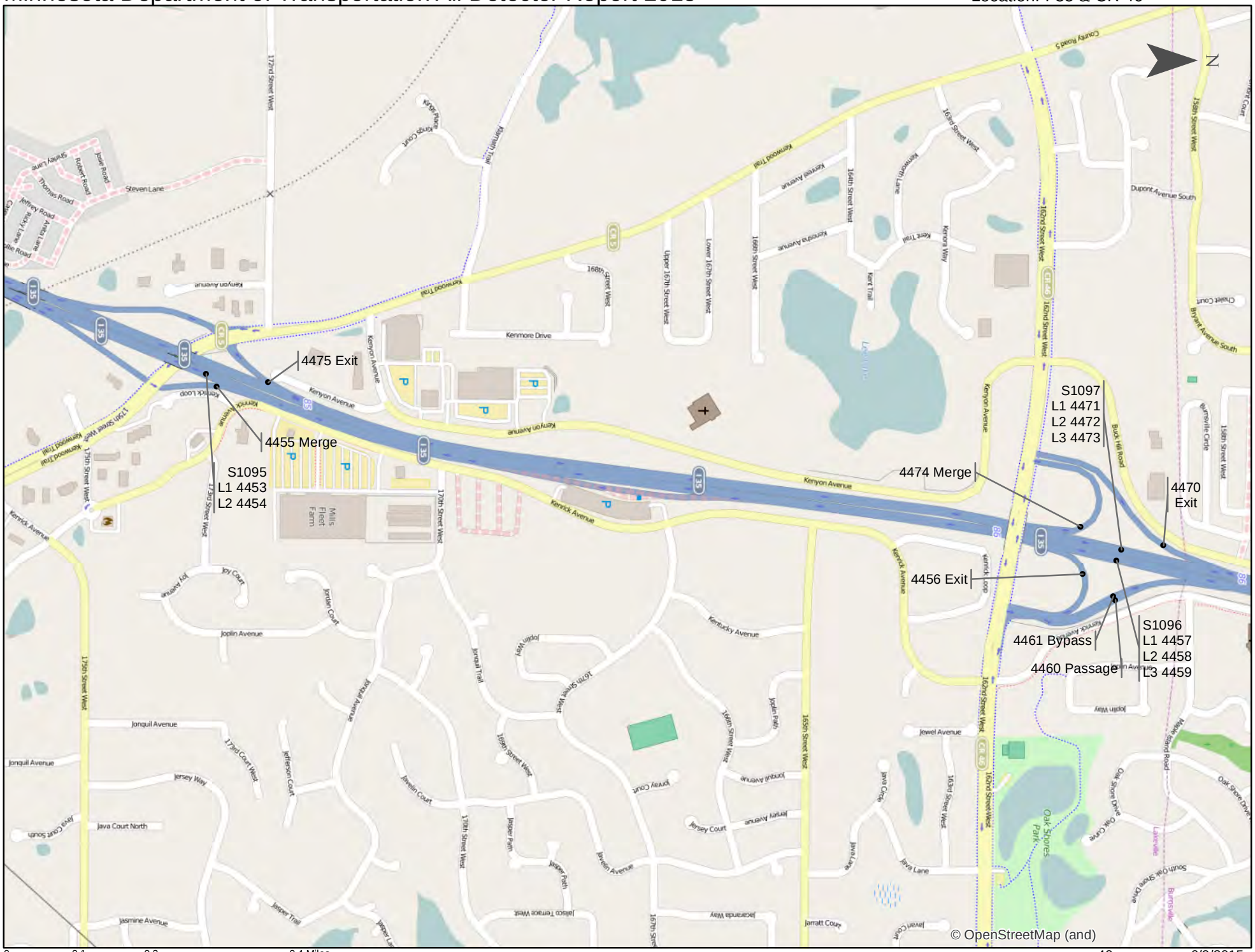

0 0.1 0.2 0.4 Miles

Minnesota Department of Transportation All Detector Report 2015

Location: I-35 & Crystal Lake Rd

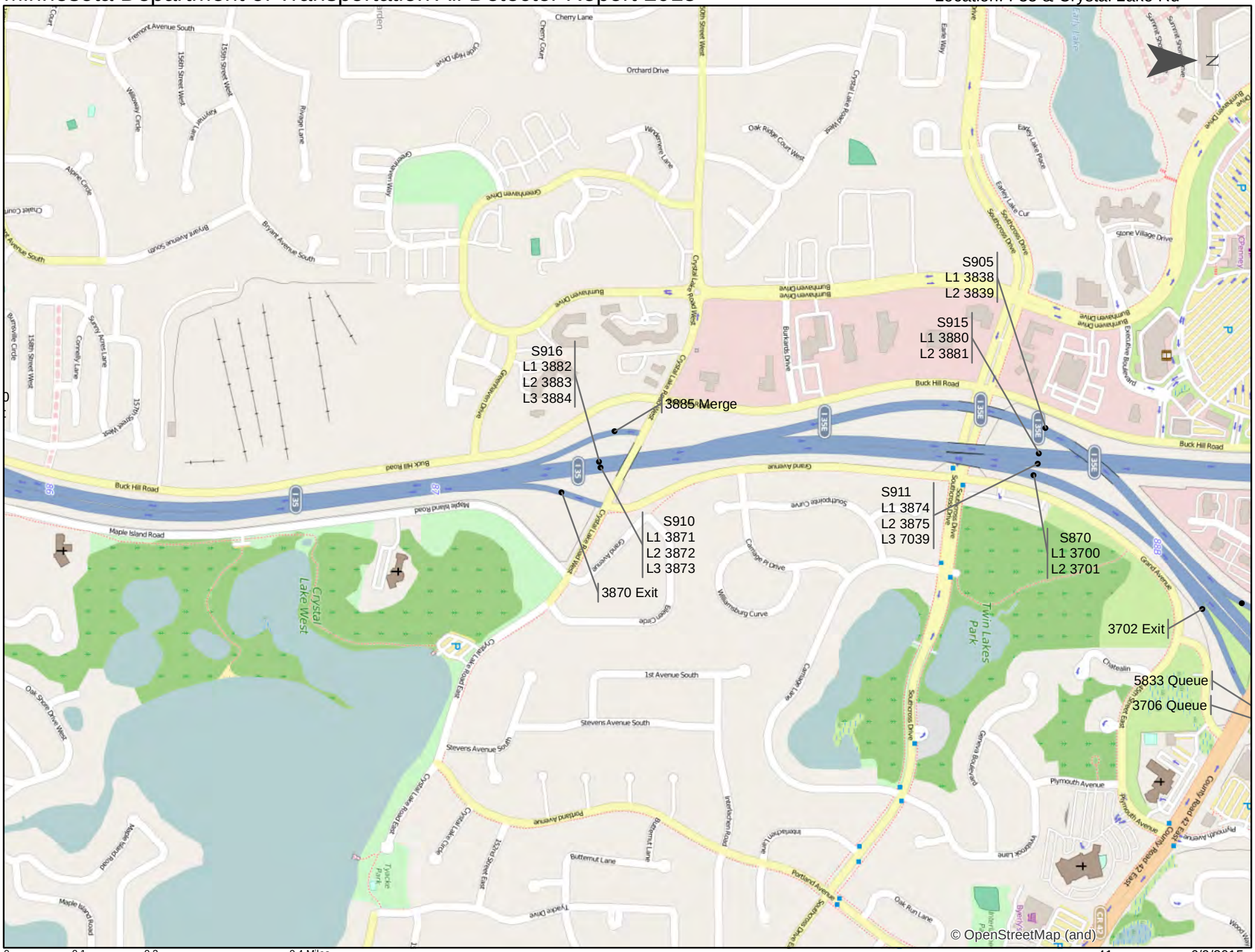

0 0.1 0.2 0.4 Miles

6/9/2015

Location: I-35W & McAndrews Rd

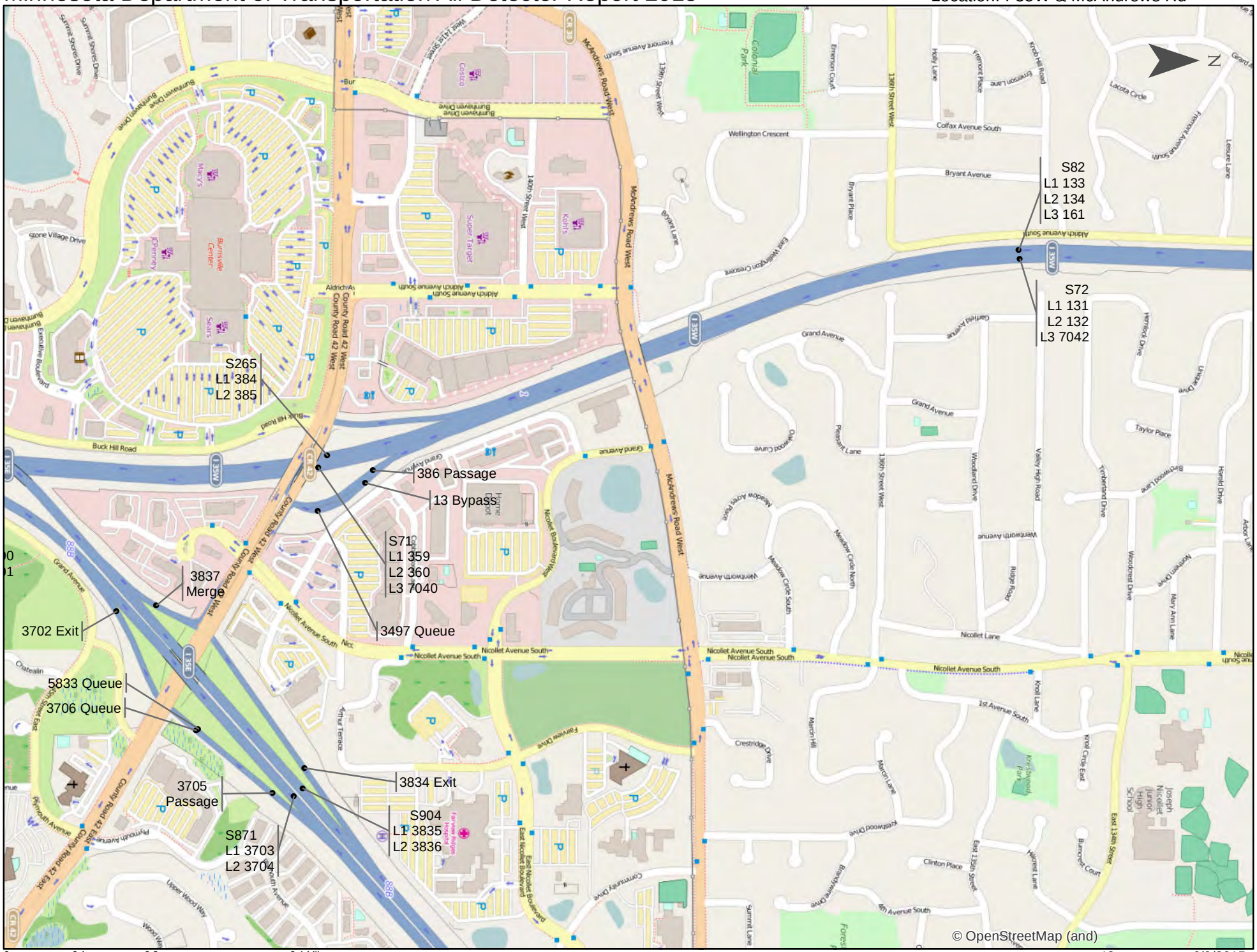

0 0.1 0.2 0.4 Miles

Location: I-35W & TH 13

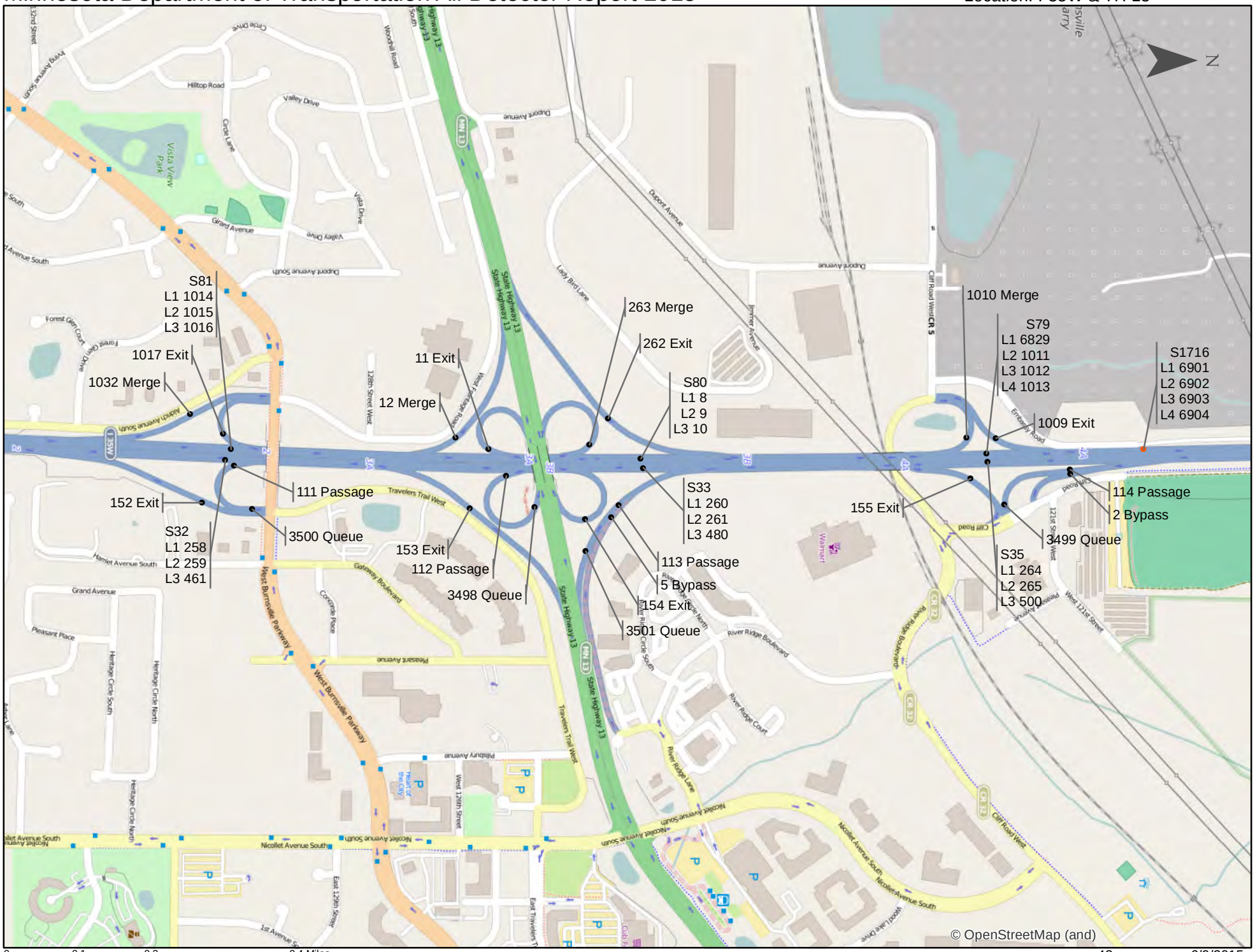

0 0.1 0.2 0.4 Miles

Location: I-35W & Minnesota River

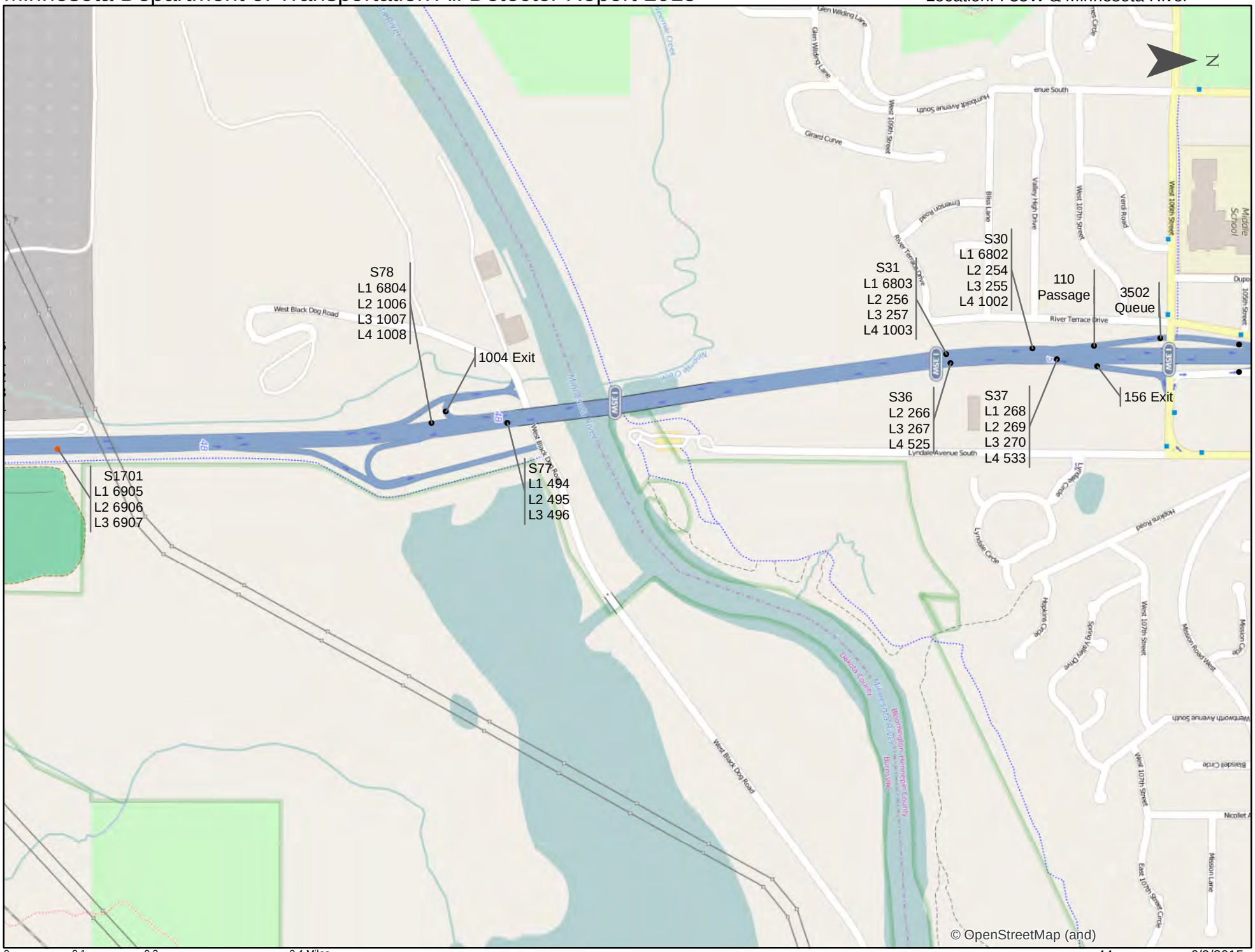

0 0.1 0.2 0.4 Miles

Minnesota Department of Transportation All Detector Report 2015

Location: I-35W & 98th St

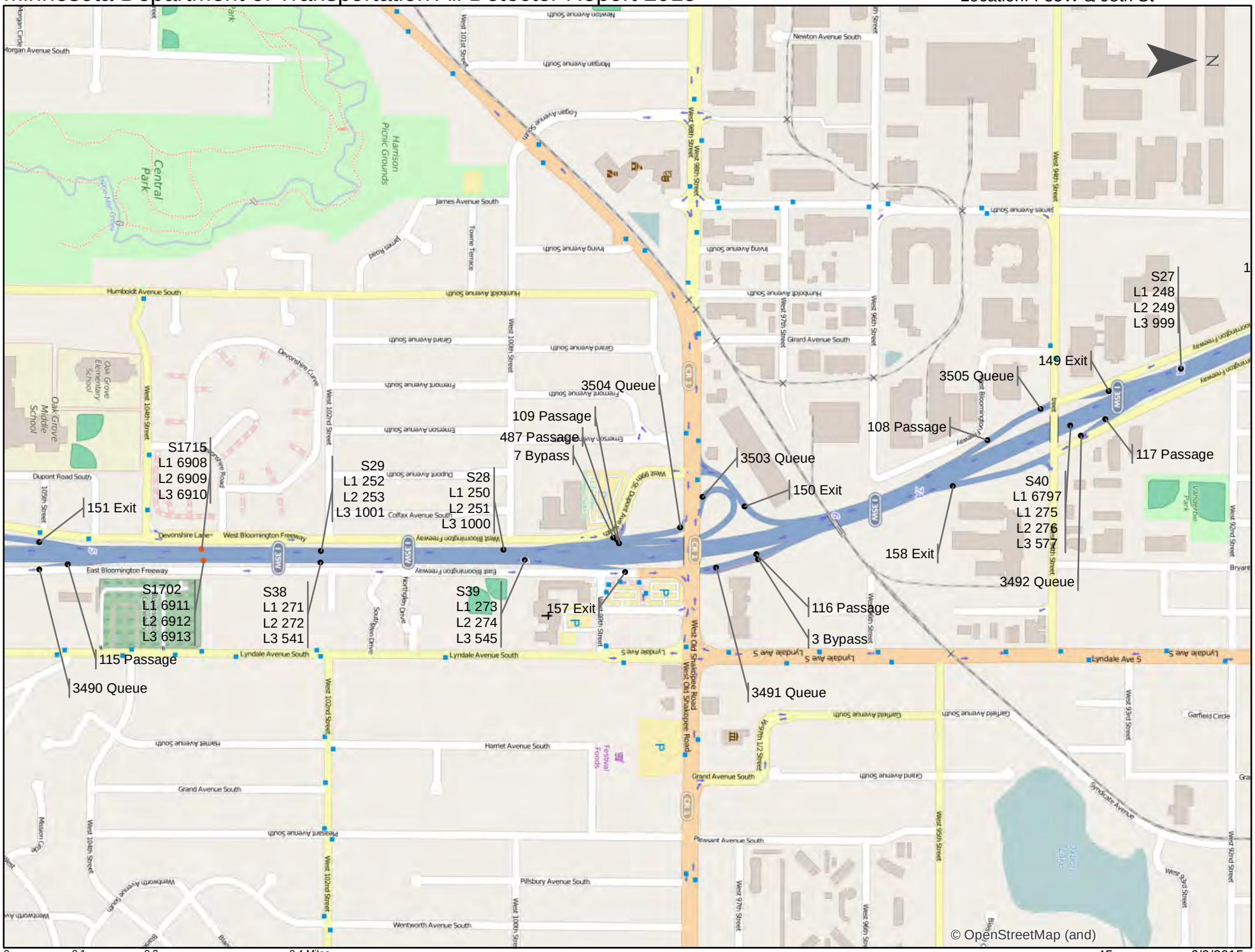

0 0.1 0.2 0.4 Miles

Location: I-35W & 86th St

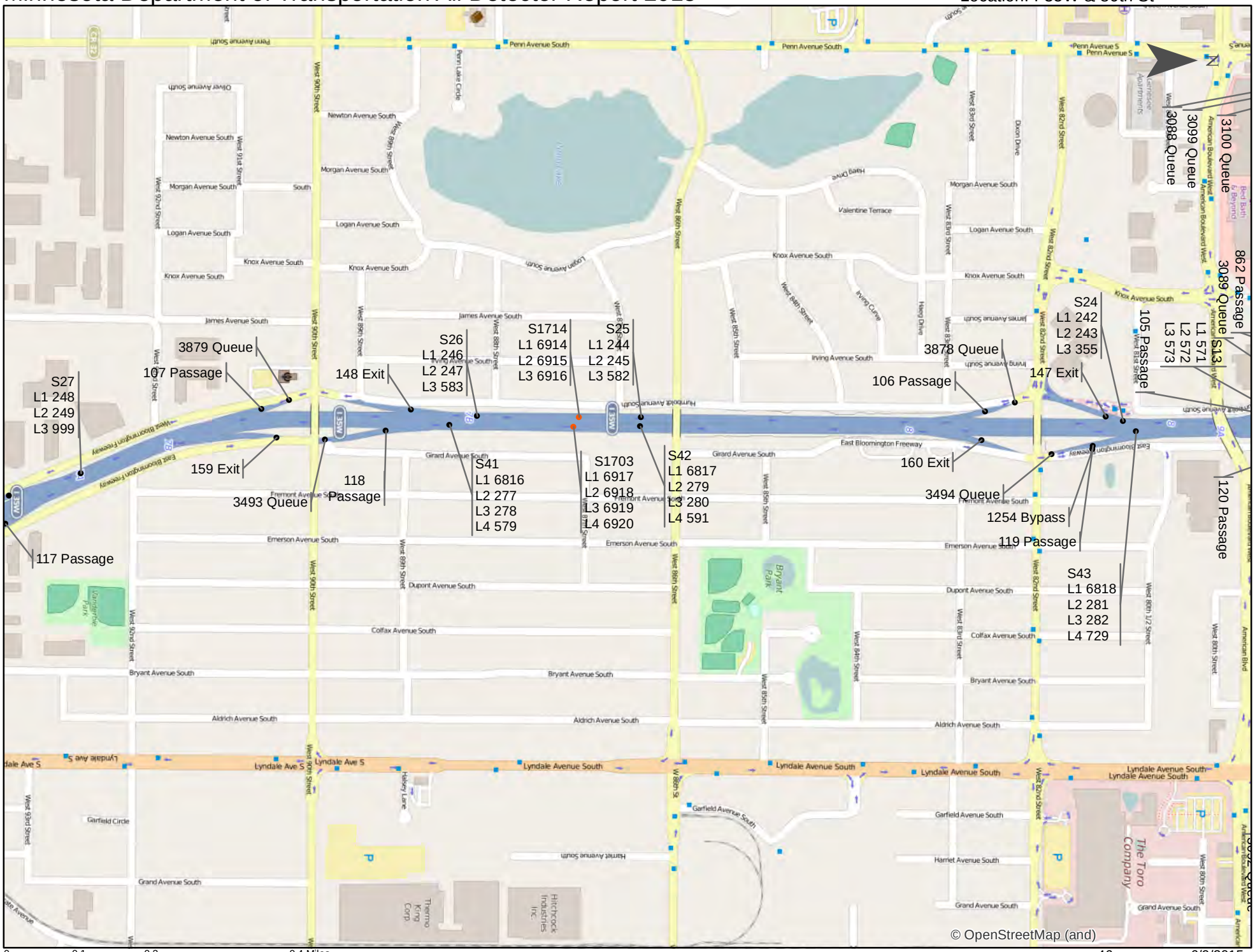

0 0.1 0.2 0.4 Miles

Location: I-35W & I-494

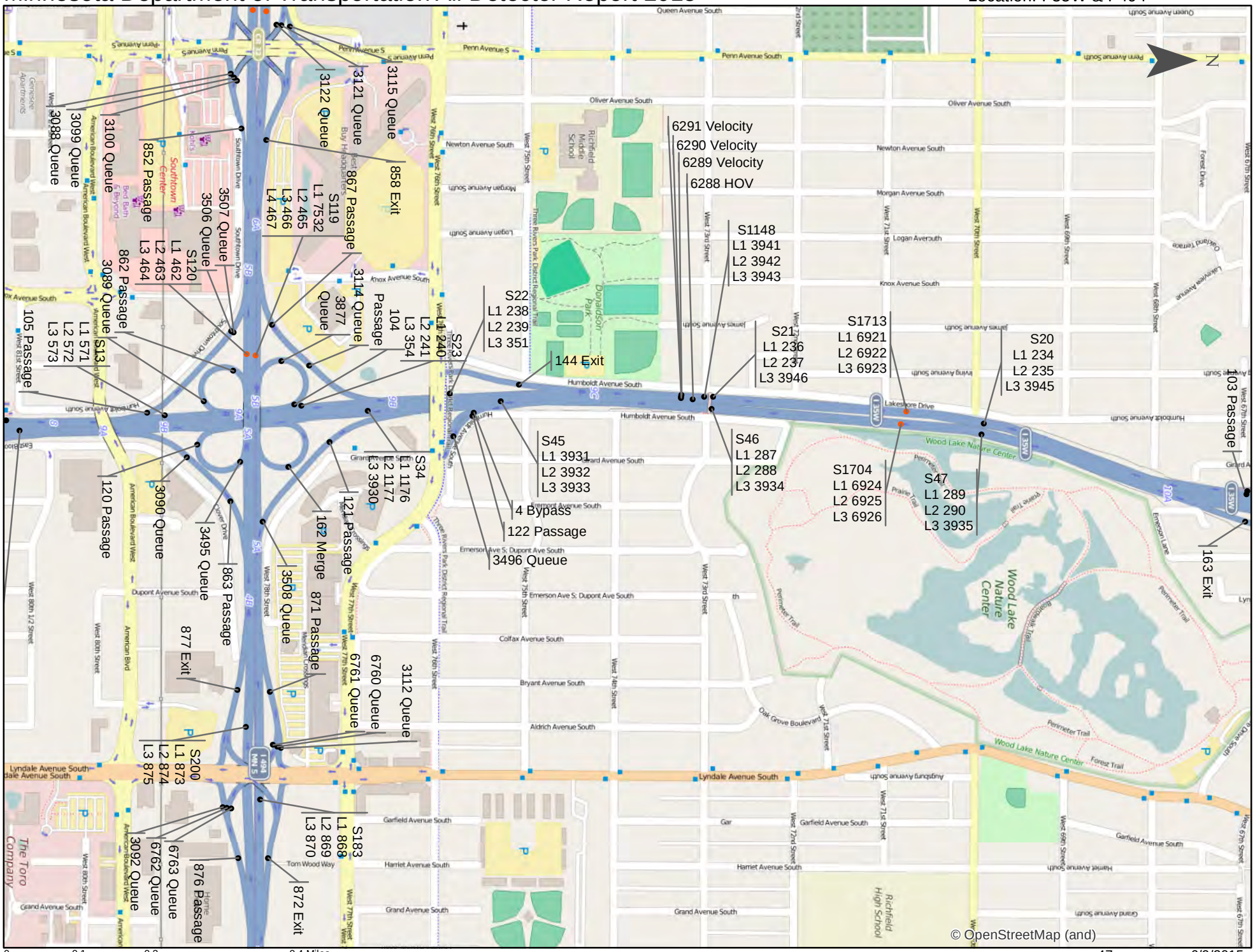

0 0.1 0.2 0.4 Miles

Location: I-35W & TH 62

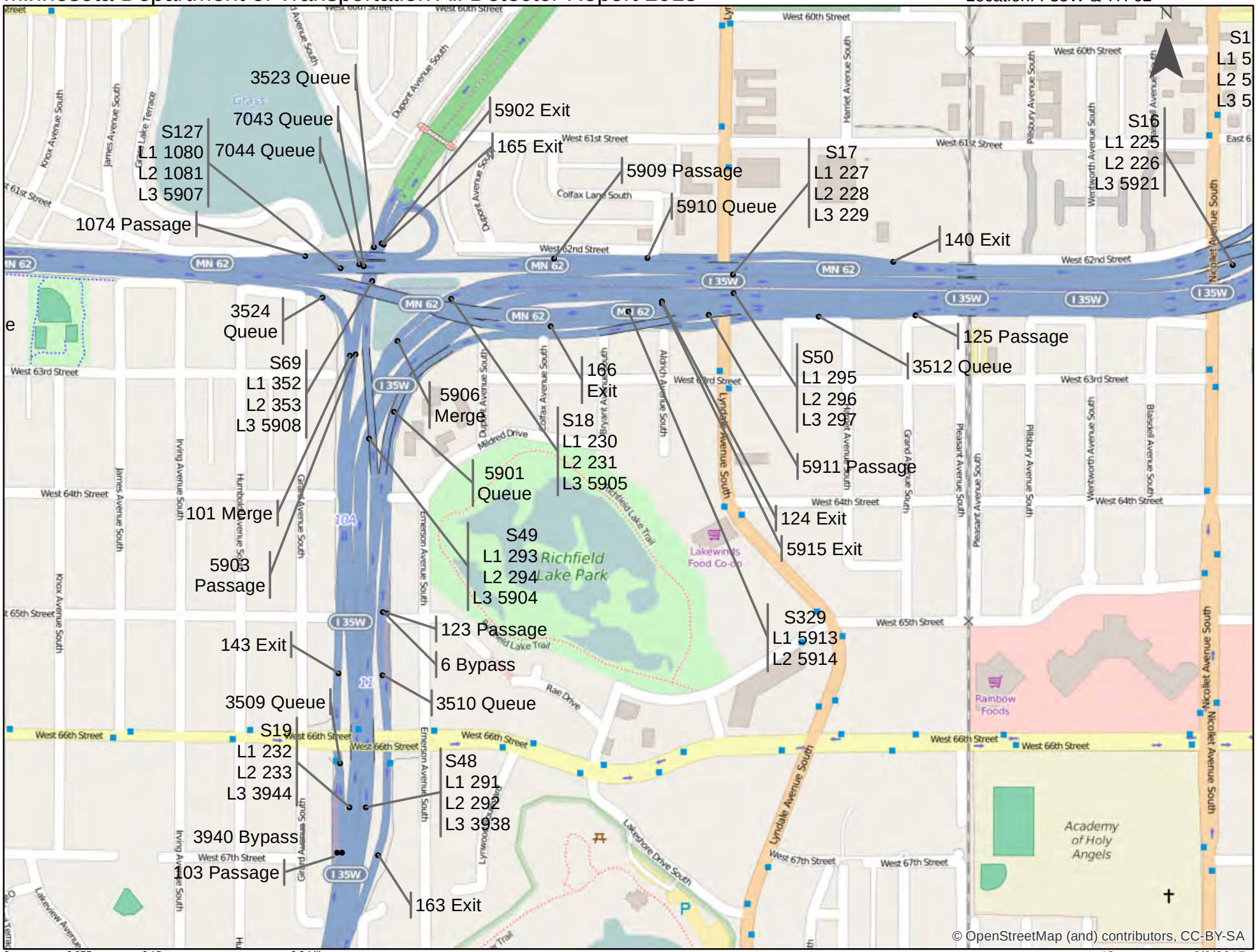

© OpenStreetMap (and) contributors, CC-BY-SA

Location: I-35W & Diamond Lake Rd

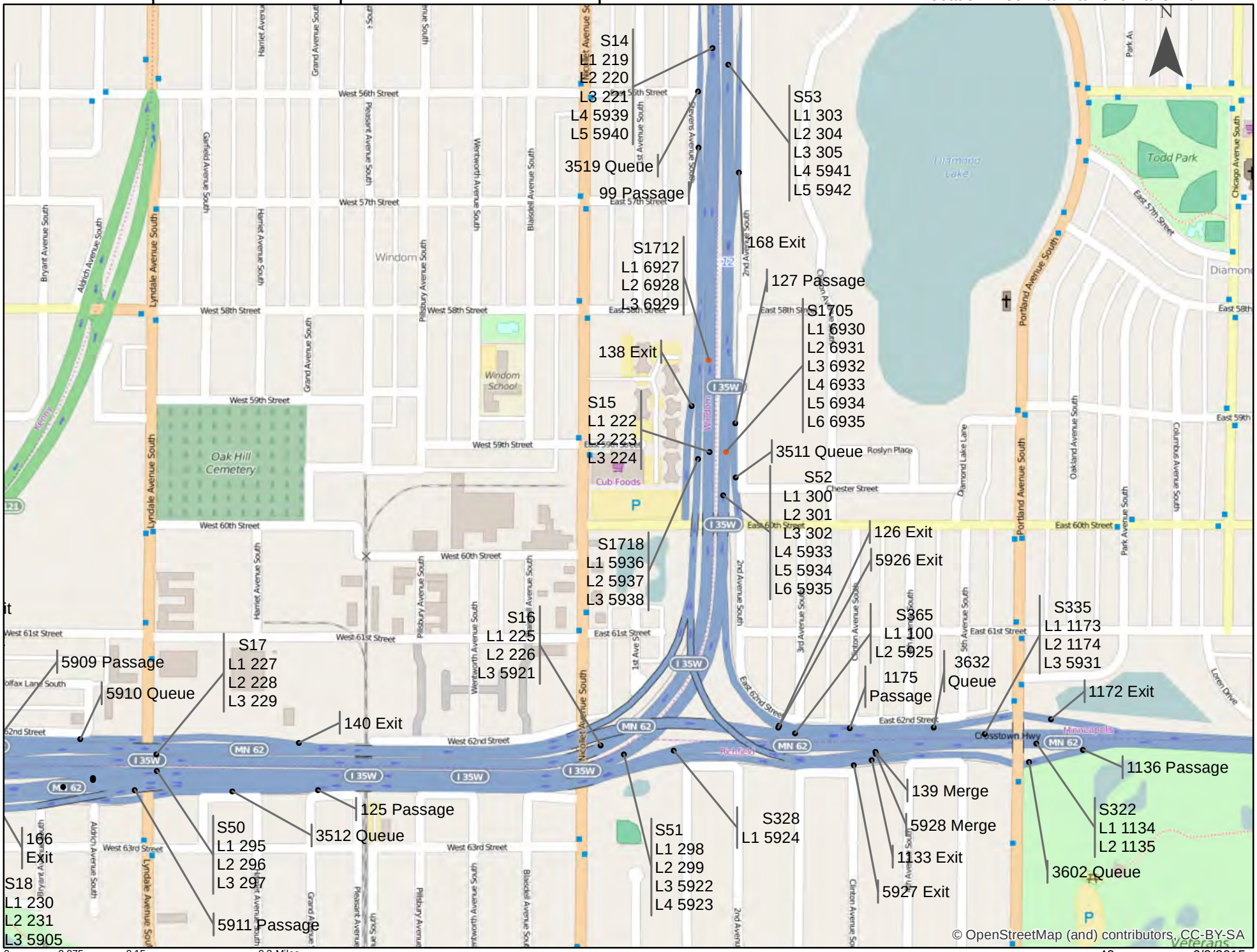

Minnesota Department of Transportation All Detector Report 2015

Location: I-35W & 46th St

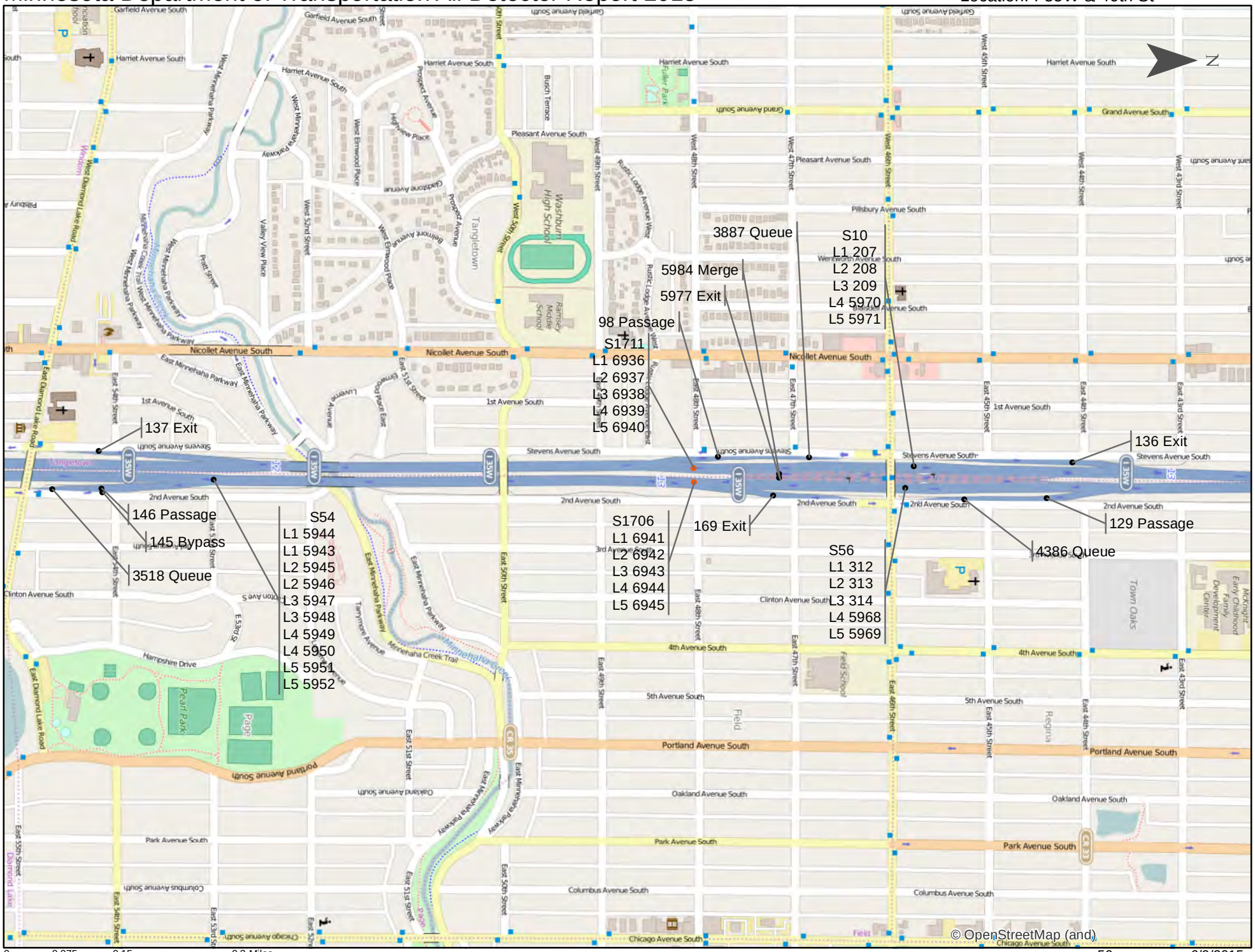

0 0.075 0.15 0.3 Miles

6/9/2015

Minnesota Department of Transportation All Detector Report 2015

Location: I-35W & 35th St

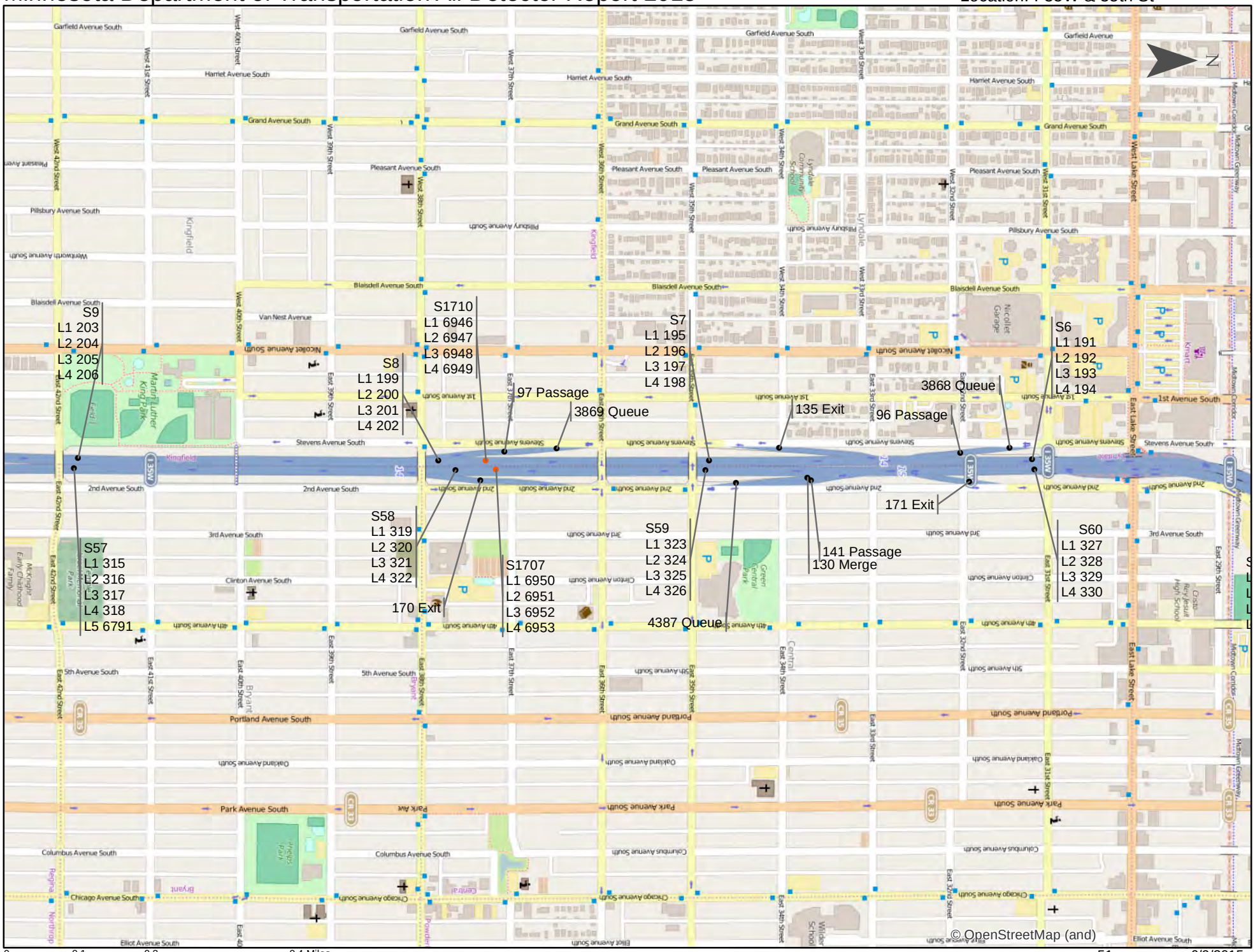

0 0.1 0.2 0.4 Miles

6/9/2015

Minnesota Department of Transportation All Detector Report 2015

Location: I-35W & I-94

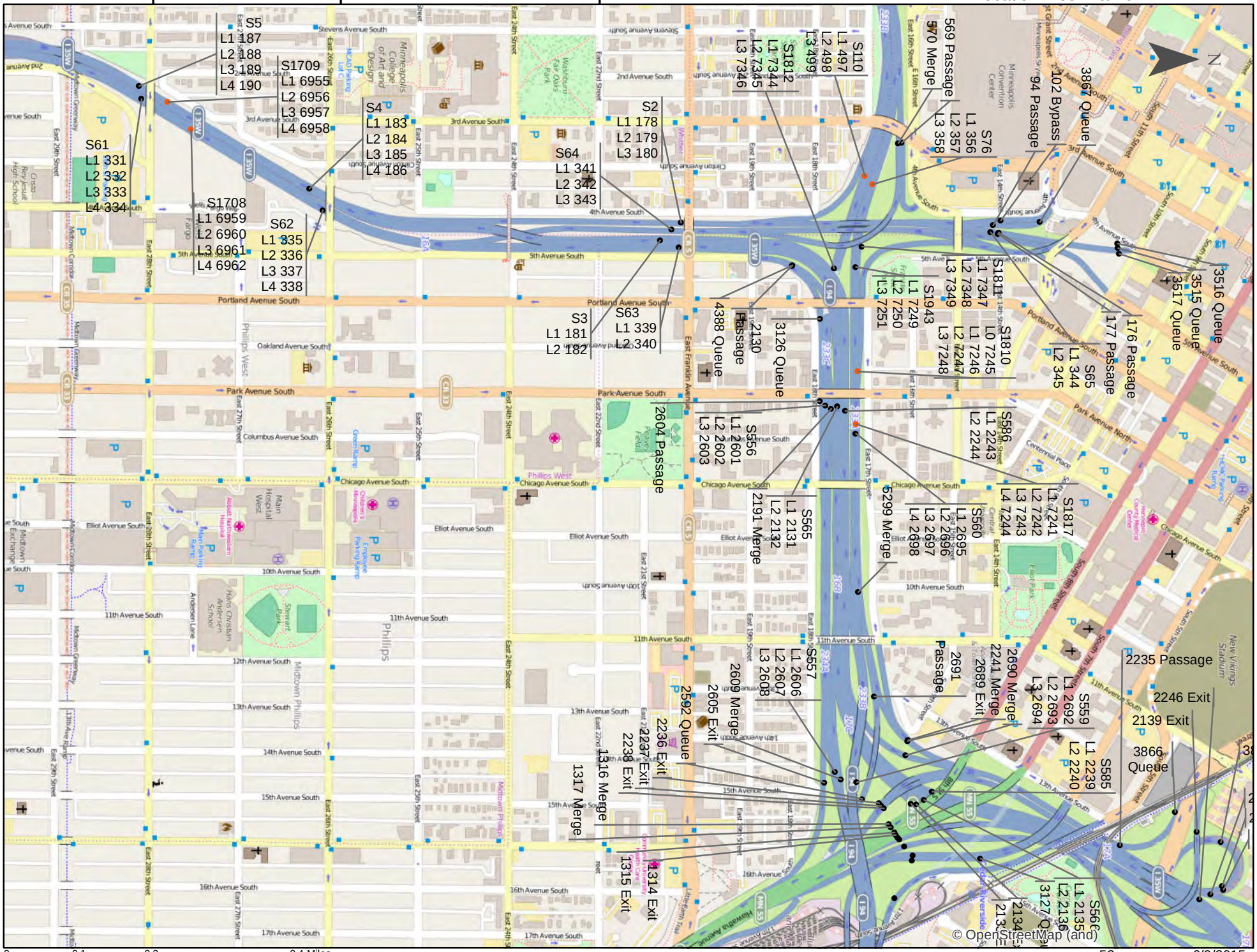

0 0.1 0.2 0.4 Miles

Location: I-35W & Mississippi River

0 0.1 0.2 0.4 Miles

Minnesota Department of Transportation All Detector Report 2015

Location: I-35W & Stinson

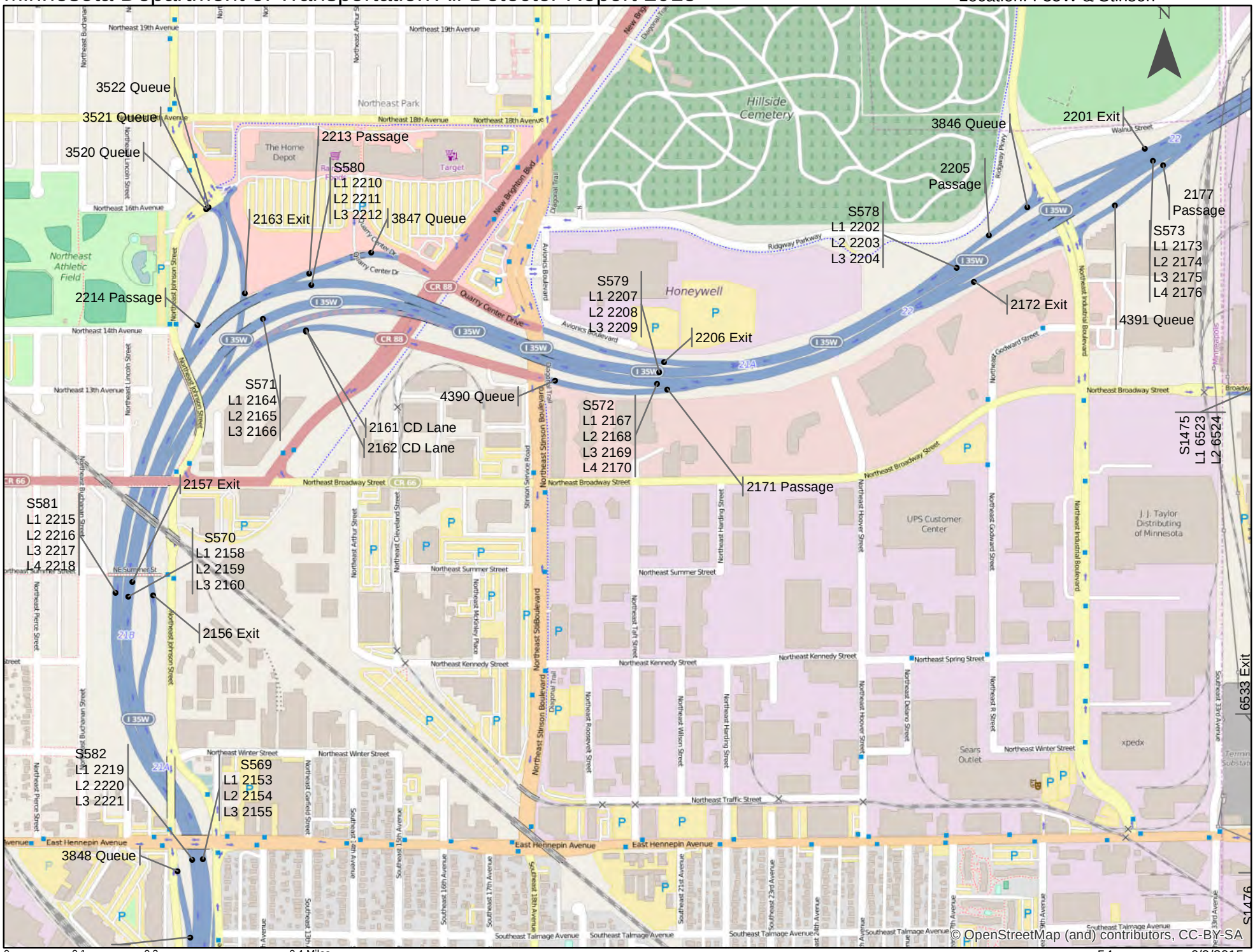

© OpenStreetMap (and) contributors, CC-BY-SA

Location: I-35W & TH 36

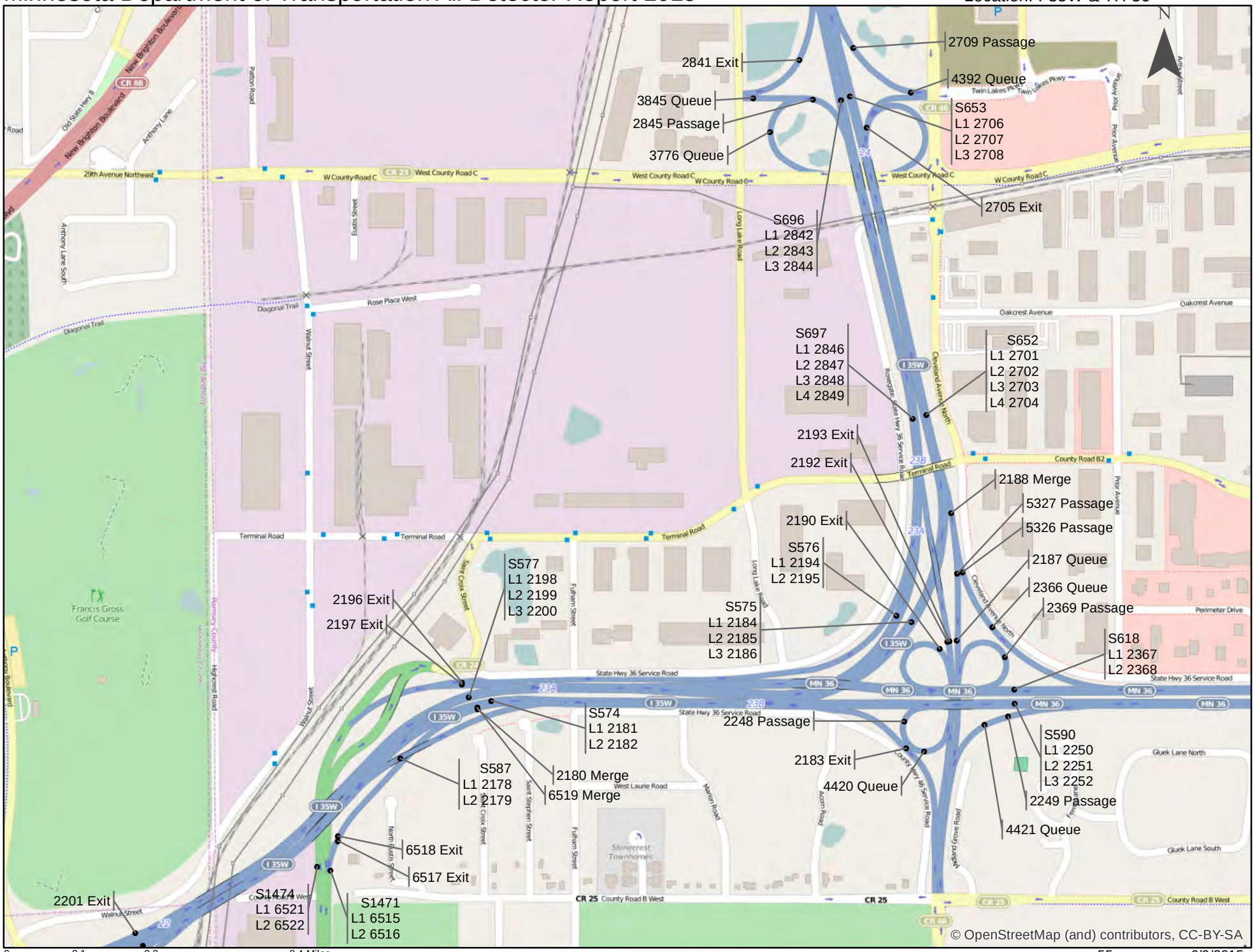

0 0.1 0.2 0.4 Miles

Location: I-35W & TH 88

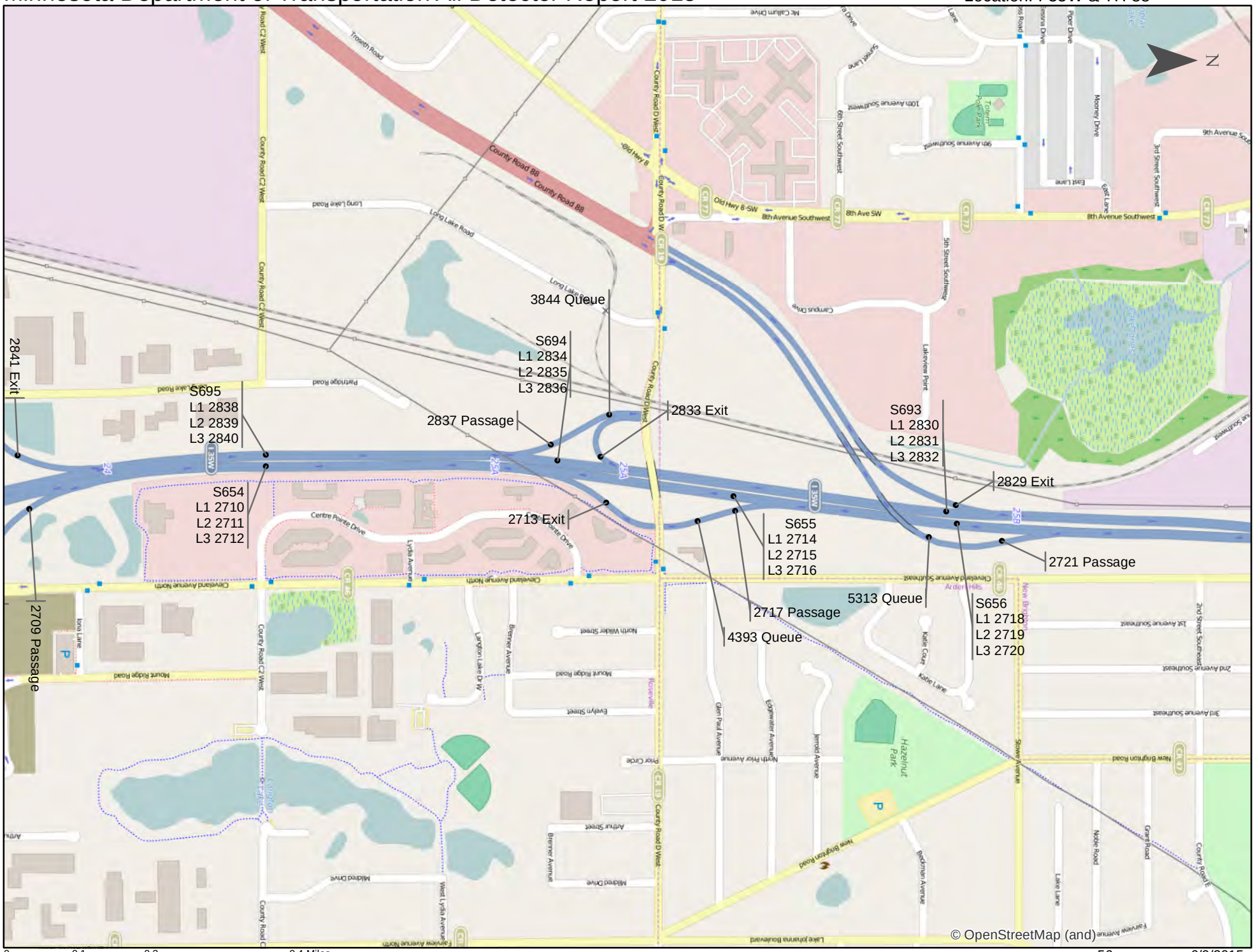

0 0.1 0.2 0.4 Miles

Location: I-35W & I-694

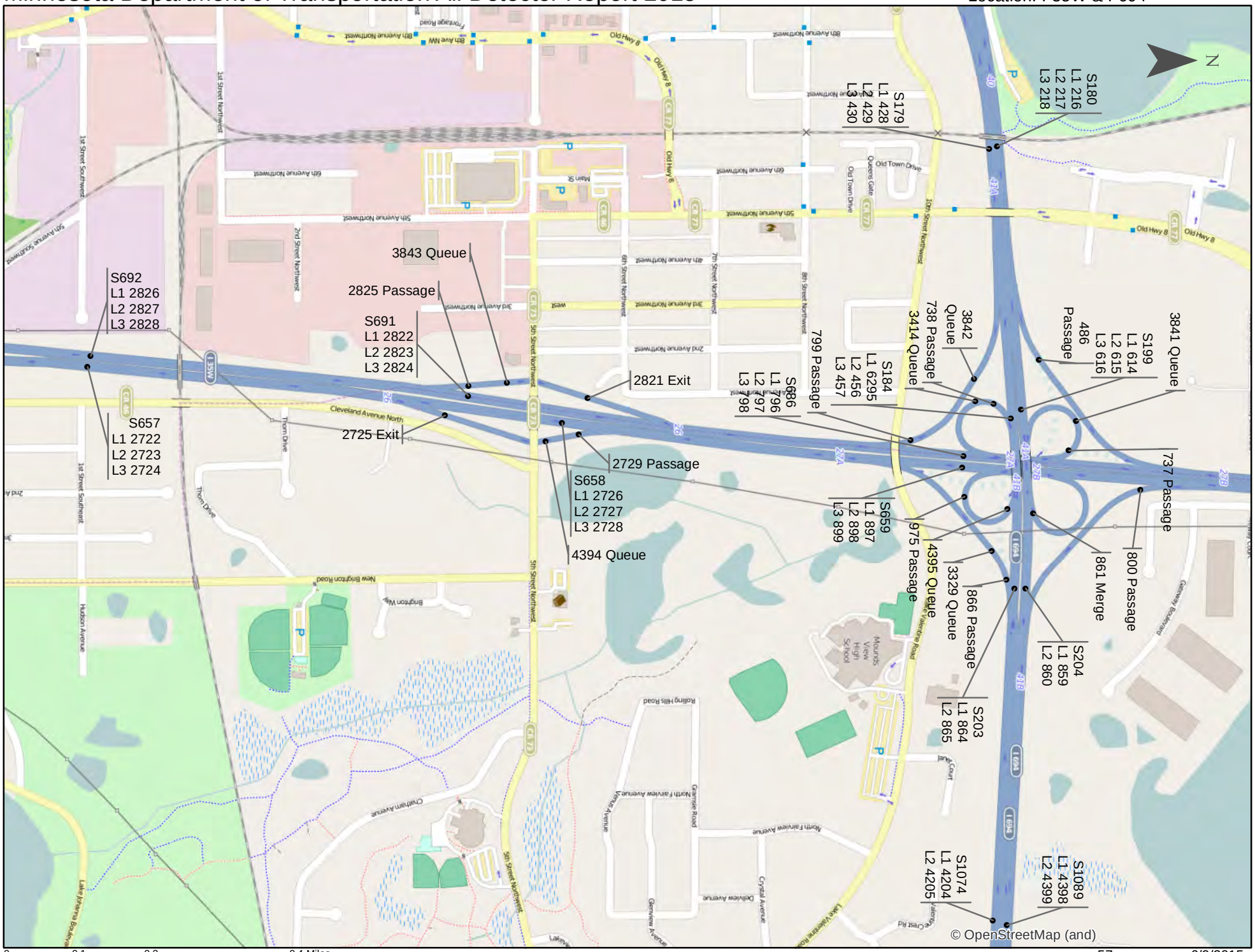

0 0.1 0.2 0.4 Miles

Location: I-35W & TH 96

0 0.1 0.2 0.4 Miles

Minnesota Department of Transportation All Detector Report 2015

Location: I-35W & Co Rd H

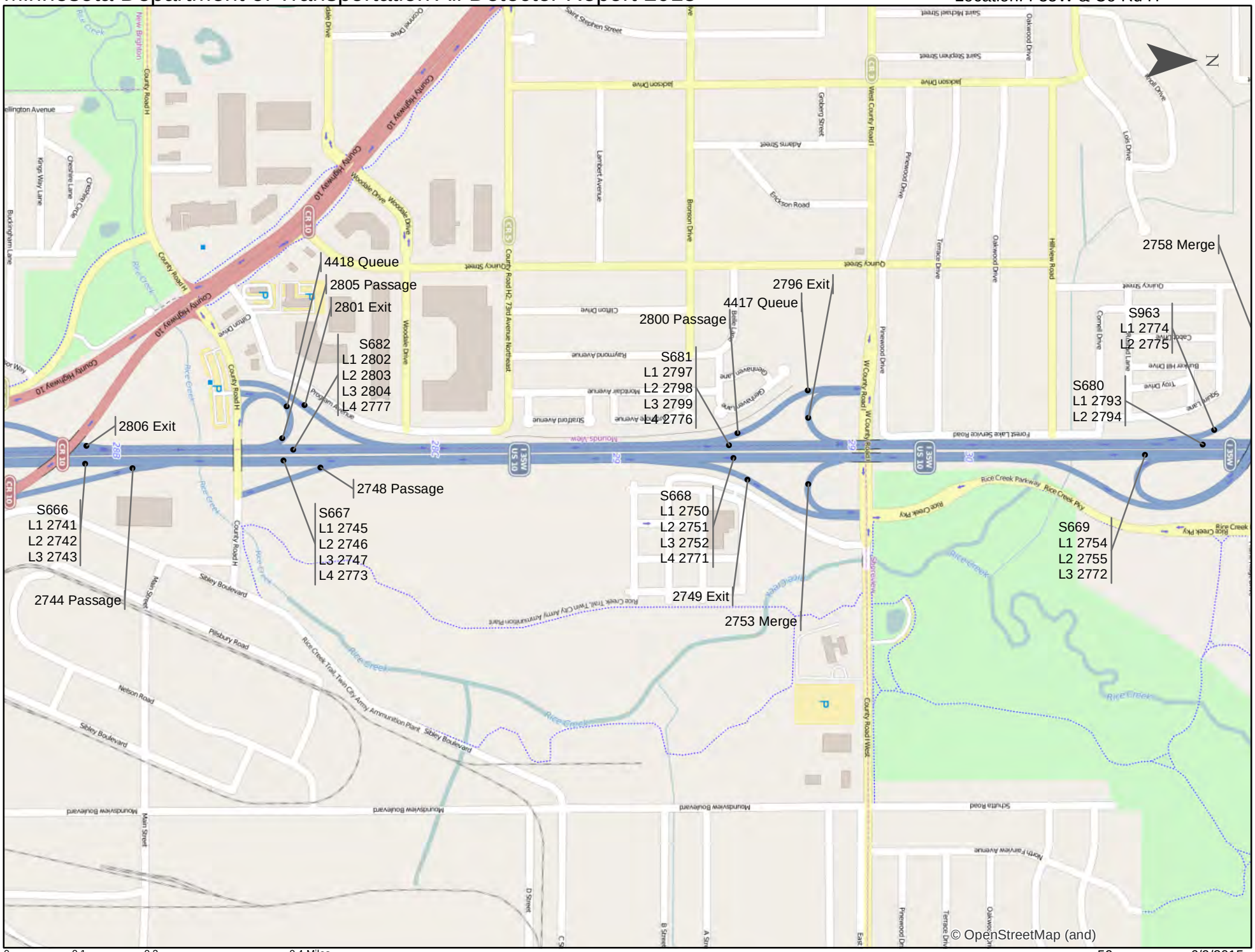

0 0.1 0.2 0.4 Miles

Location: I-35W & TH 10

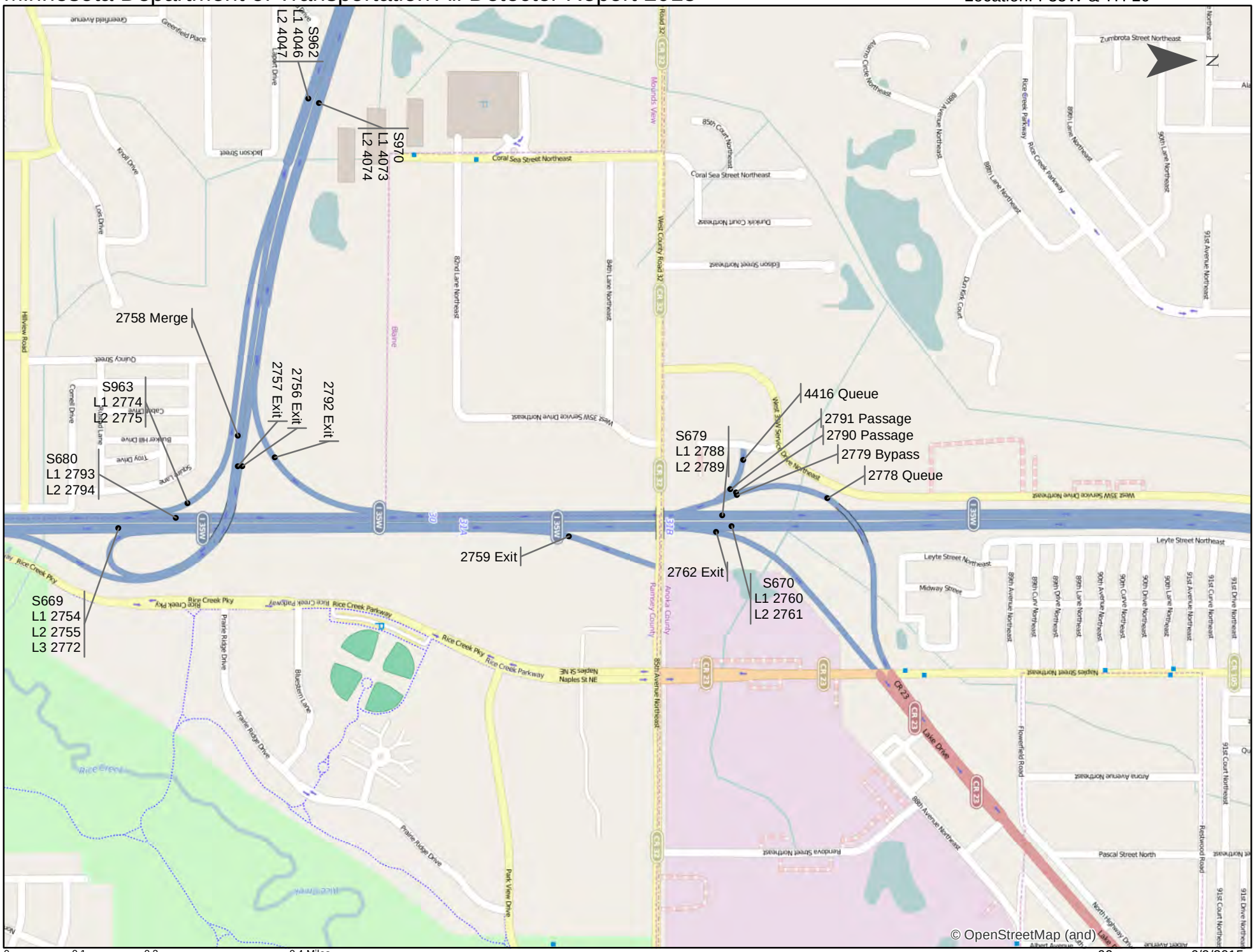

0 0.1 0.2 0.4 Miles

Location: I-35W & 95th Ave

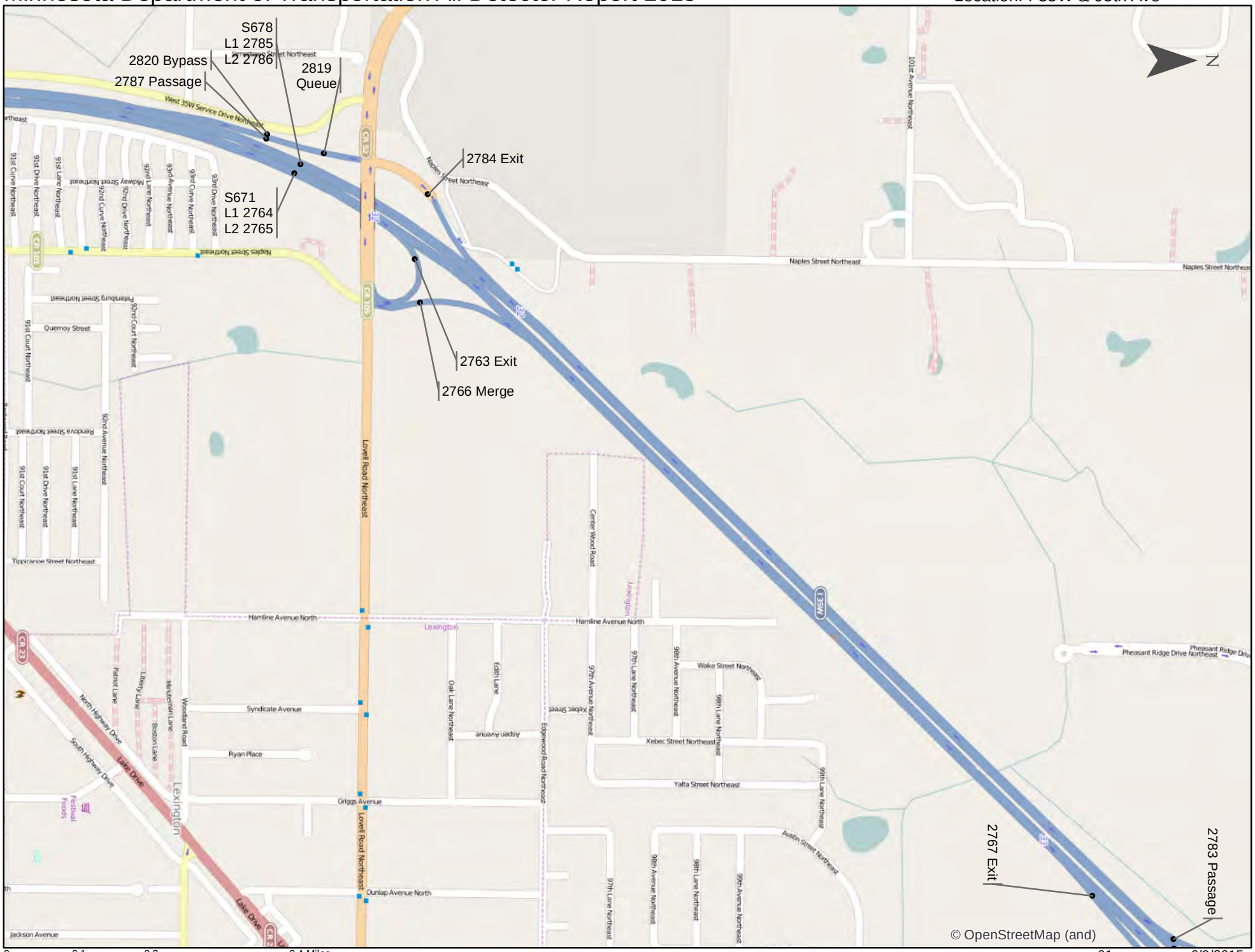

© OpenStreetMap (and)

Location: I-35W & Lexington Ave

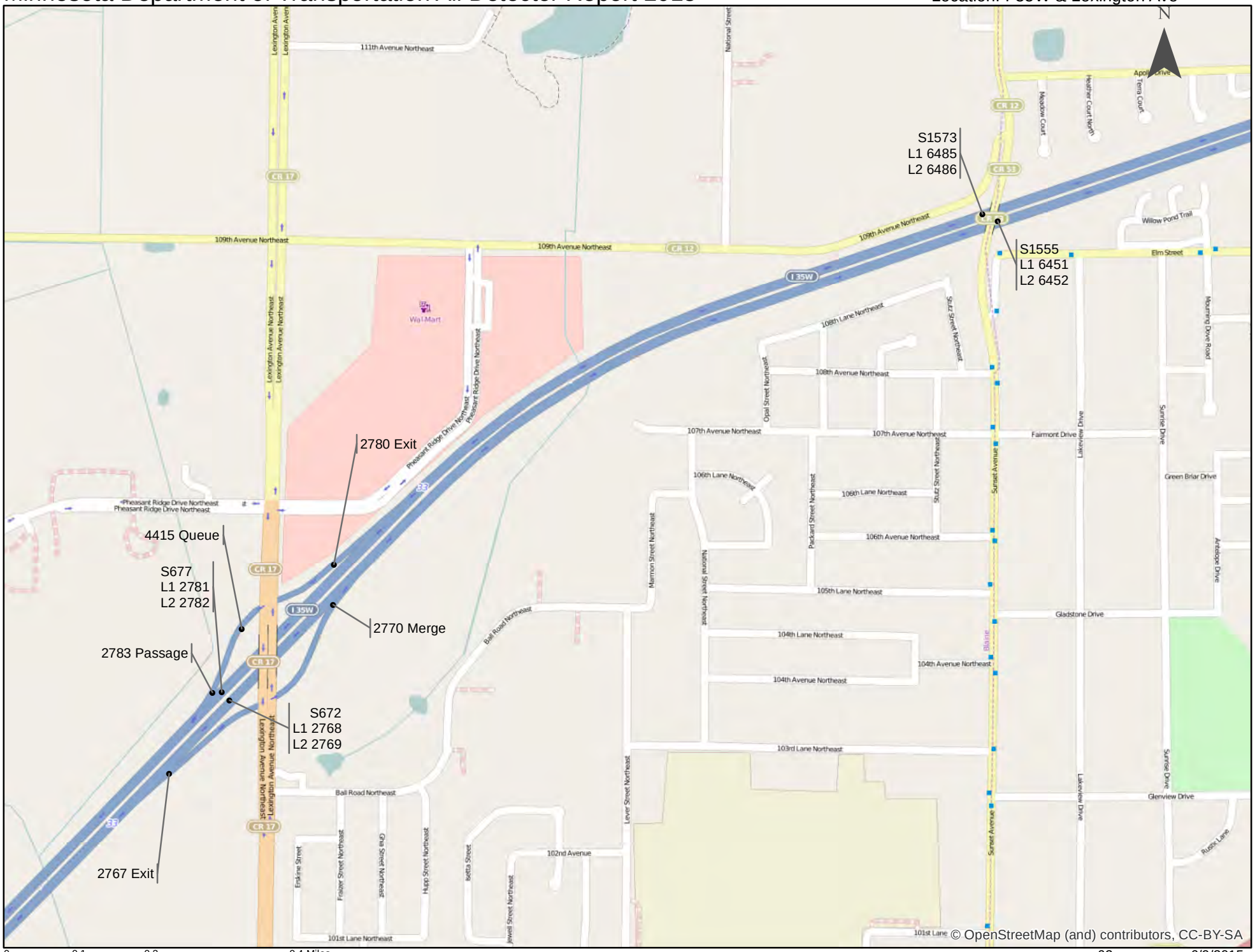

0 0.1 0.2 0.4 Miles

Minnesota Department of Transportation All Detector Report 2015

Location: I-35W & Lake Dr

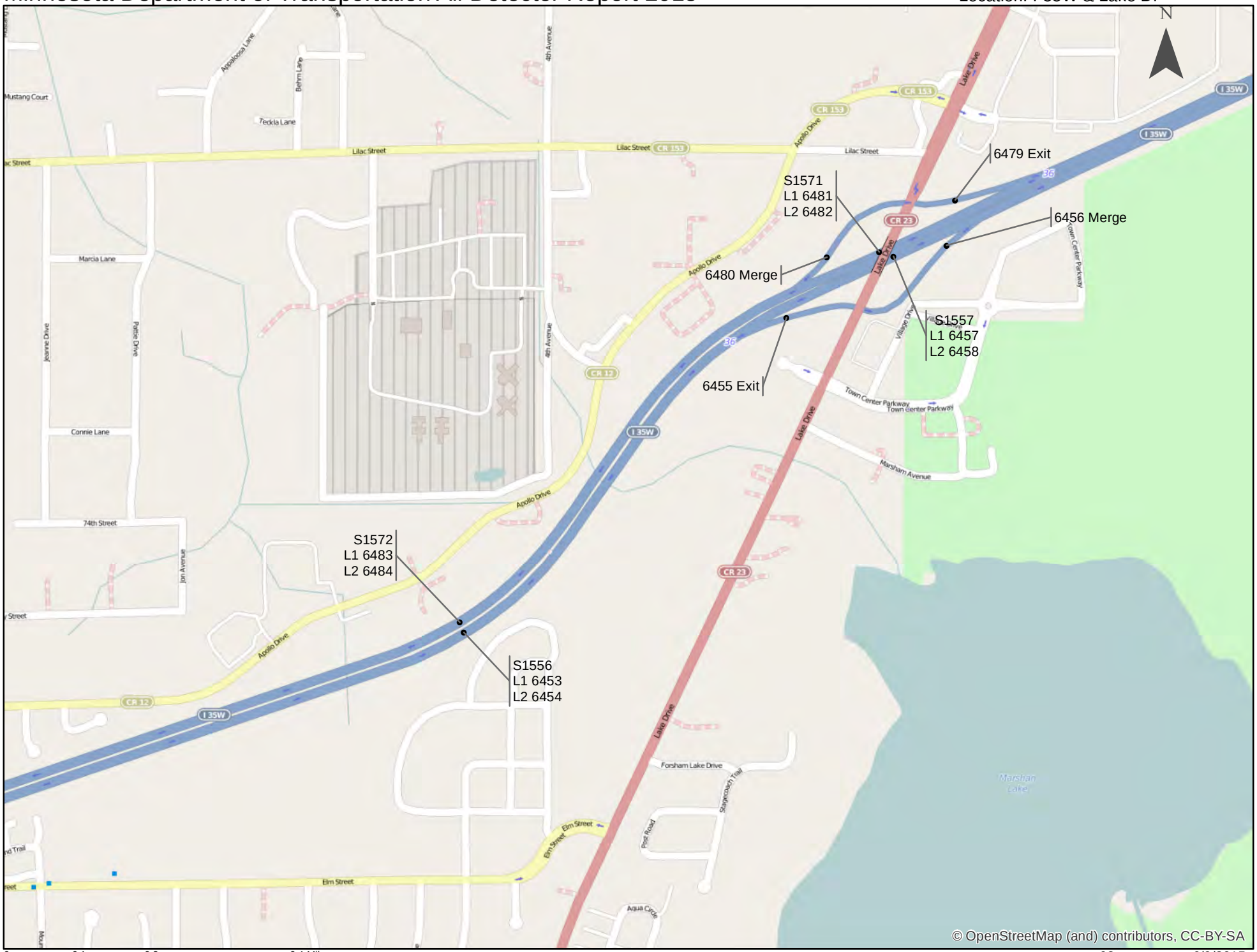

0 0.1 0.2 0.4 Miles

Minnesota Department of Transportation All Detector Report 2015

Location: I-35W & N of Lake Dr

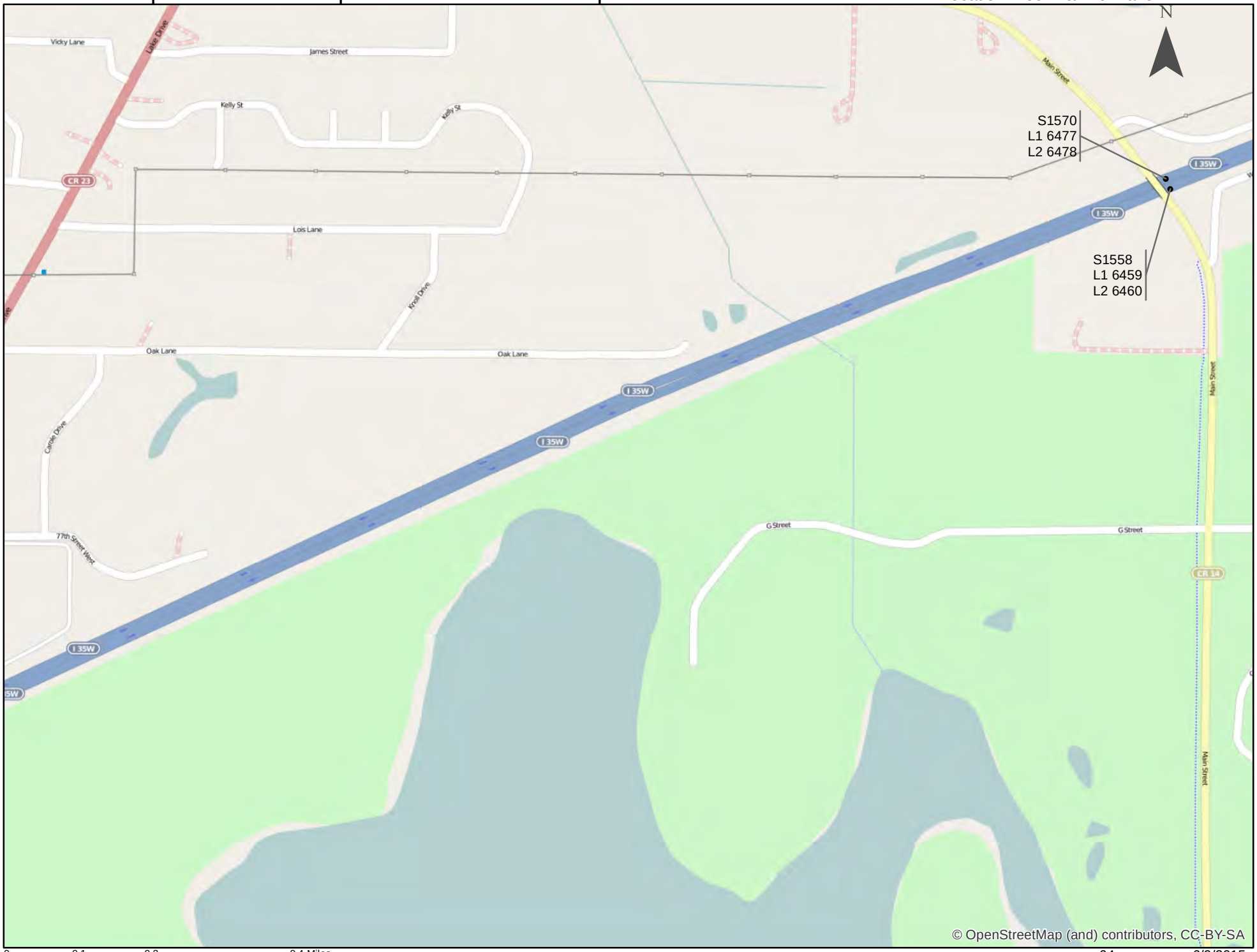

0 0.1 0.2 0.4 Miles

Minnesota Department of Transportation All Detector Report 2015

Location: I-35W & Main St

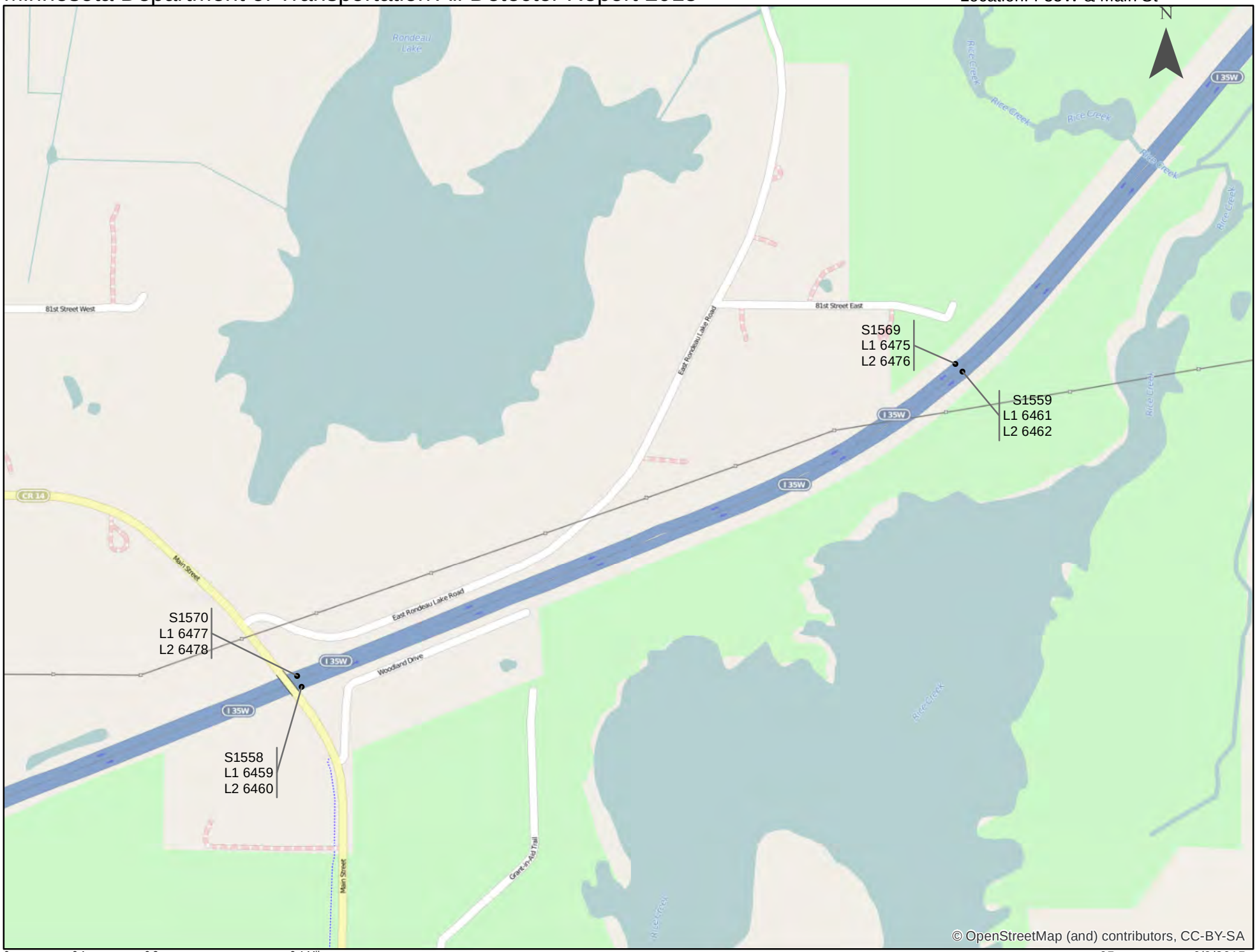

0 0.1 0.2 0.4 Miles

Location: I-35 & I-35E & I-35W Split in Forest Lake

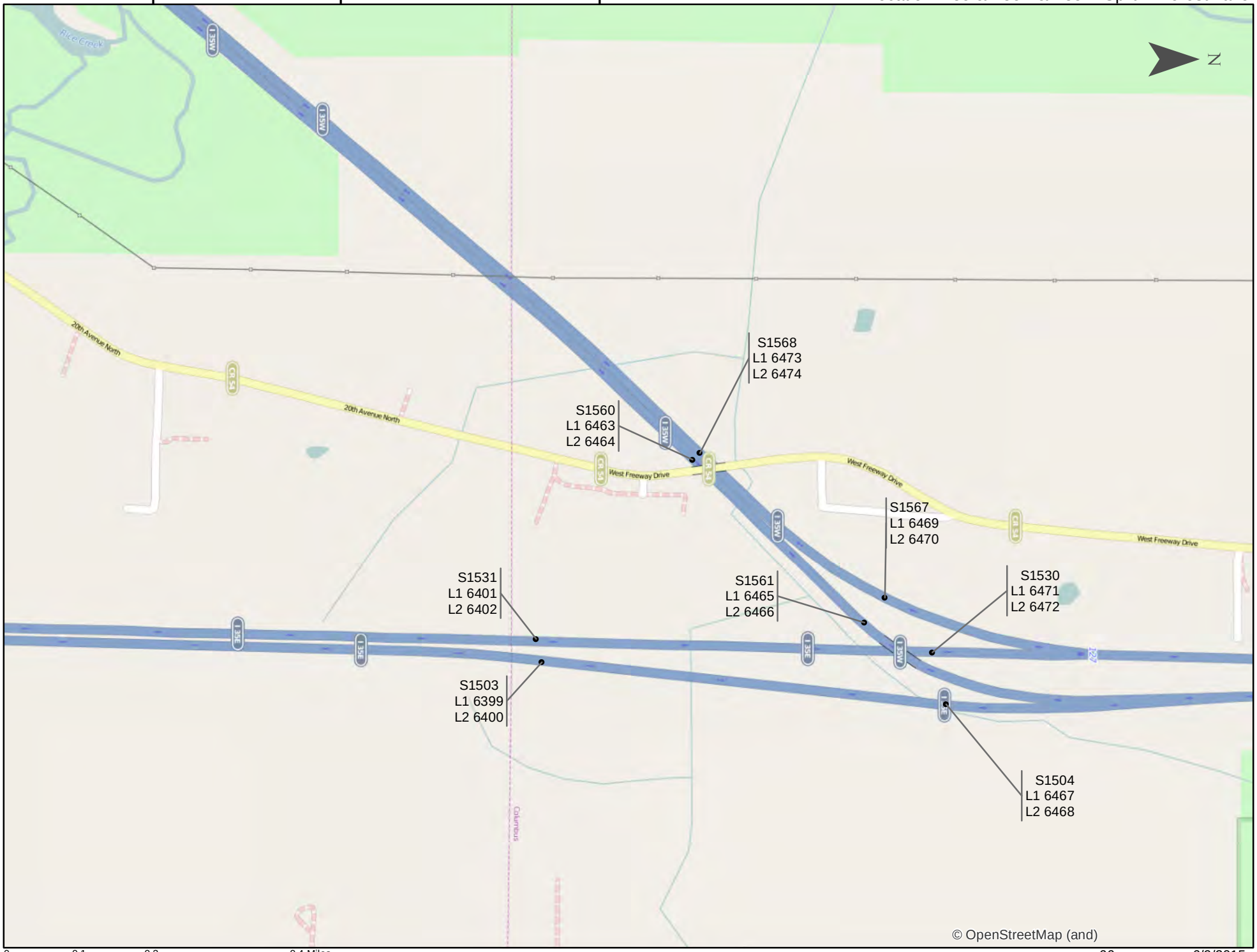

0 0.1 0.2 0.4 Miles

Minnesota Department of Transportation All Detector Report 2015

Location: I-35 & 147th Ave

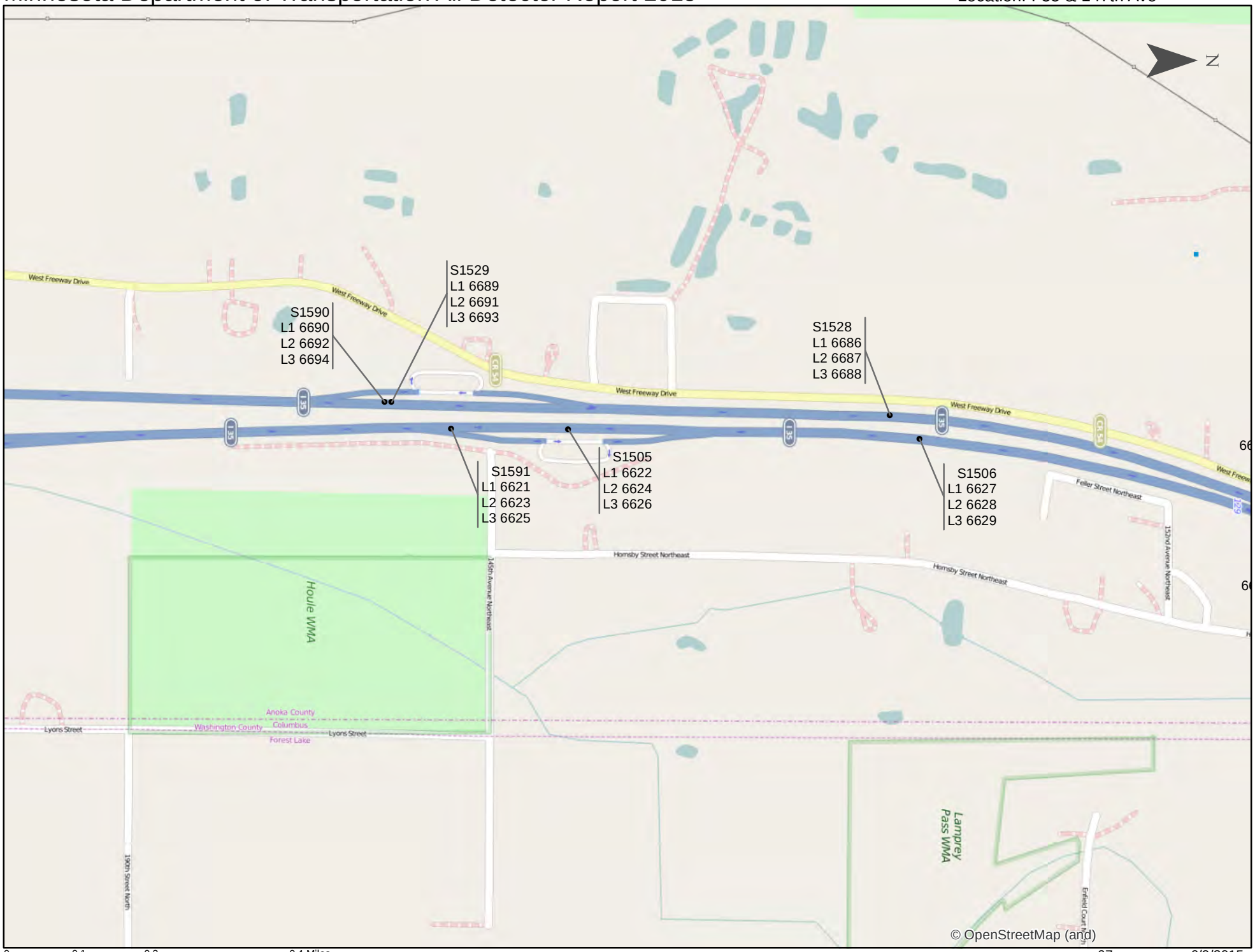

0 0.1 0.2 0.4 Miles

6/9/2015

Minnesota Department of Transportation All Detector Report 2015

Location: I-35 & TH 97

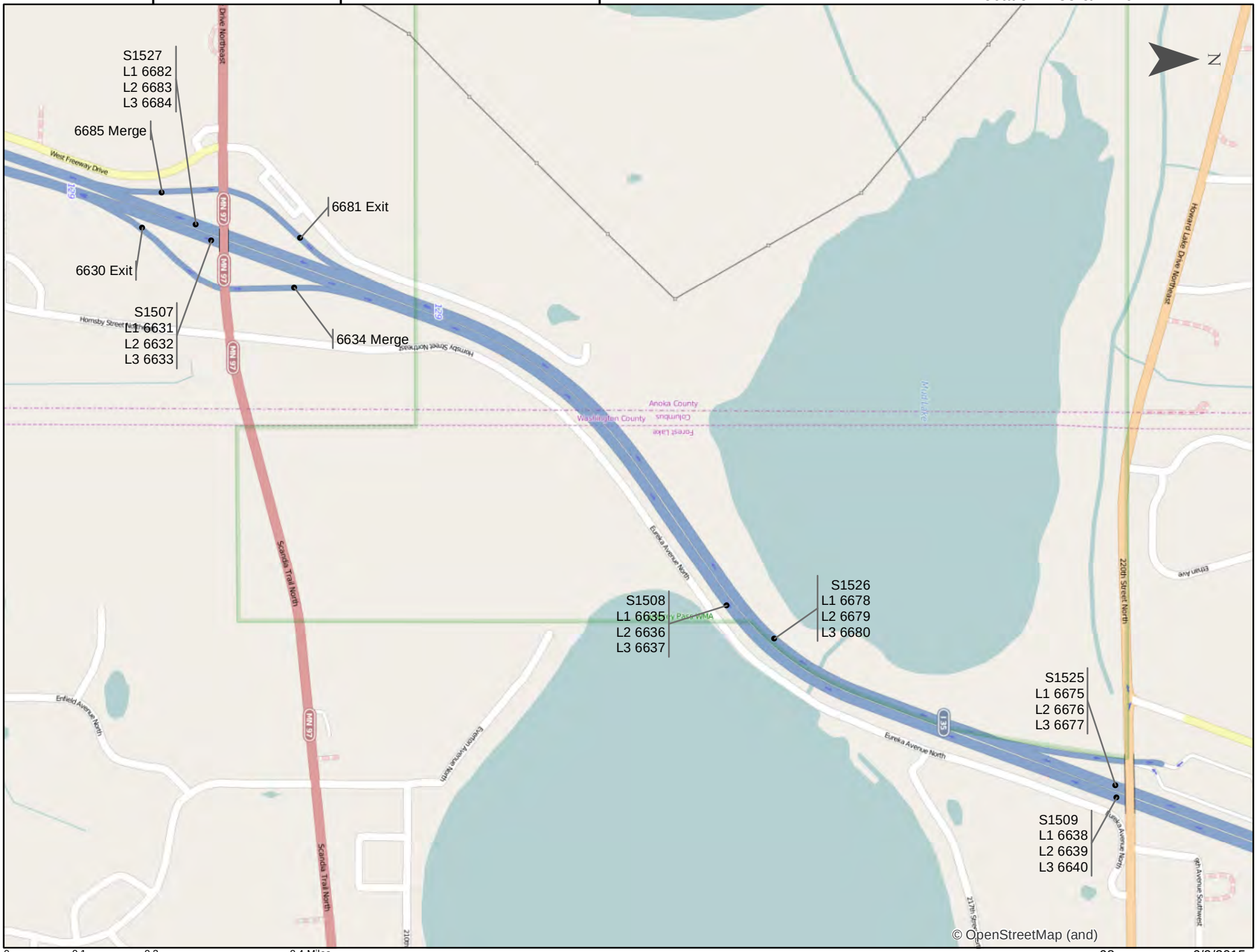

0 0.1 0.2 0.4 Miles

6/9/2015

Location: I-35 & US 8

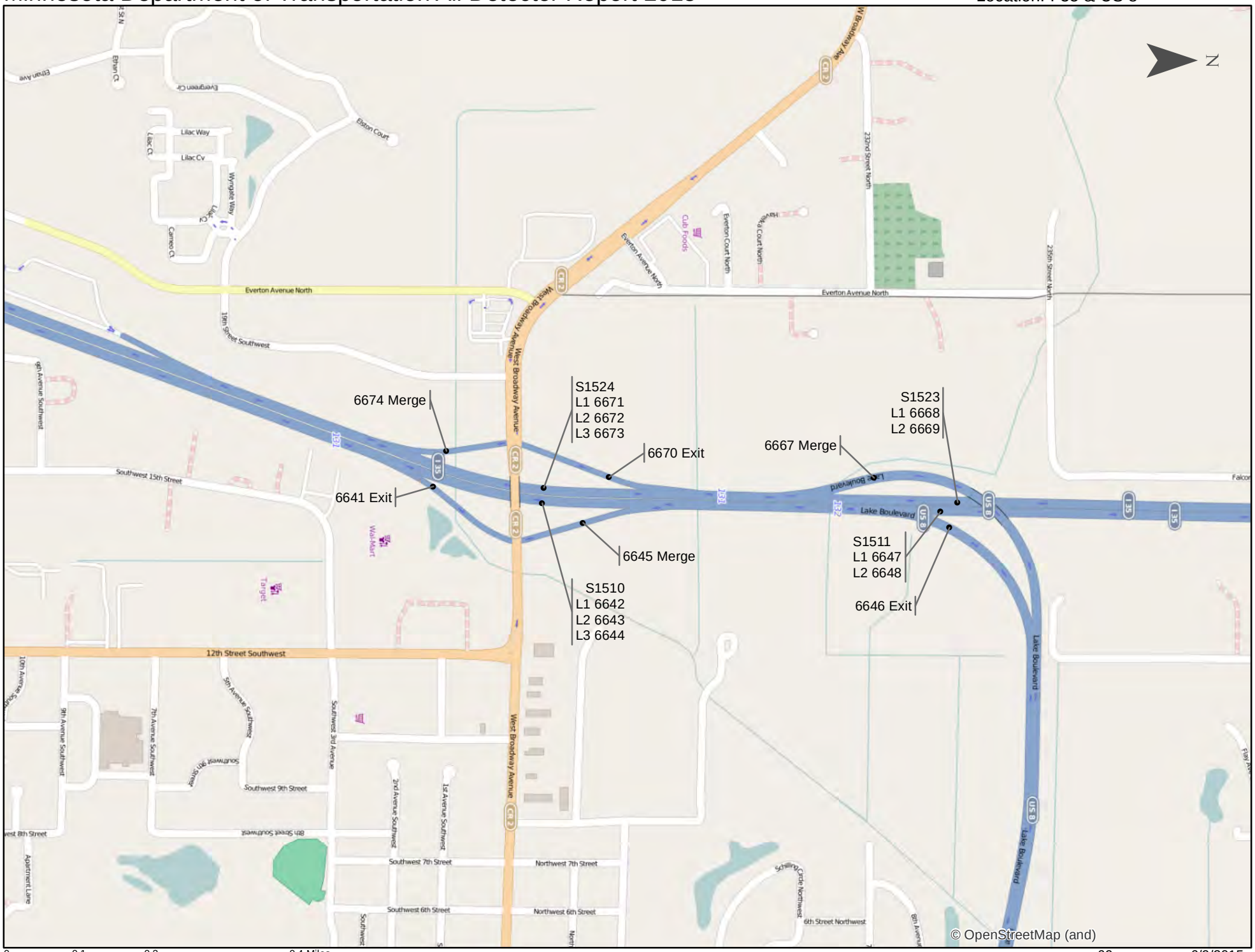

0 0.1 0.2 0.4 Miles

Minnesota Department of Transportation All Detector Report 2015

Location: I-35 & 240th St

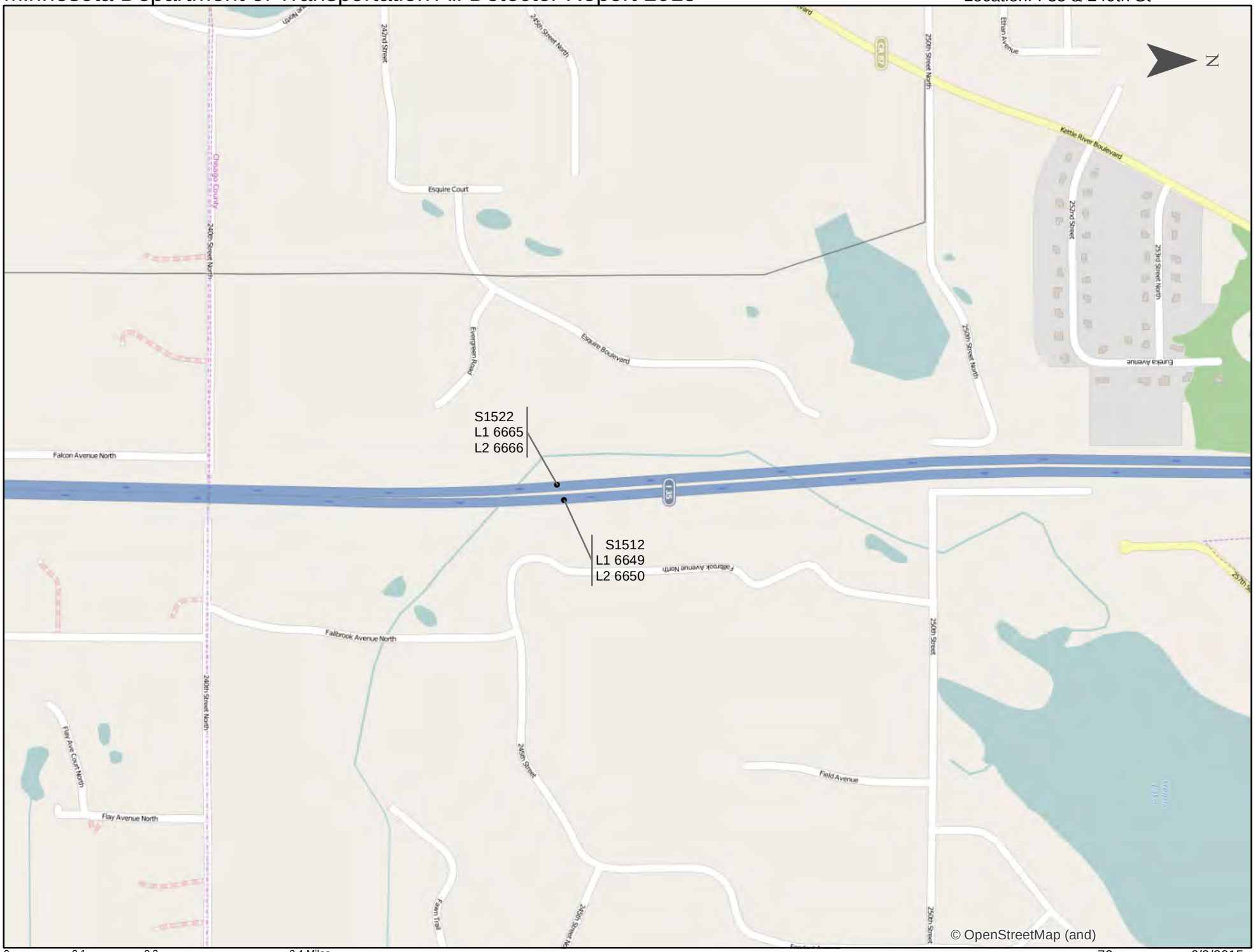

0 0.1 0.2 0.4 Miles

6/9/2015

Minnesota Department of Transportation All Detector Report 2015

Location: I-35 & Viking Blvd

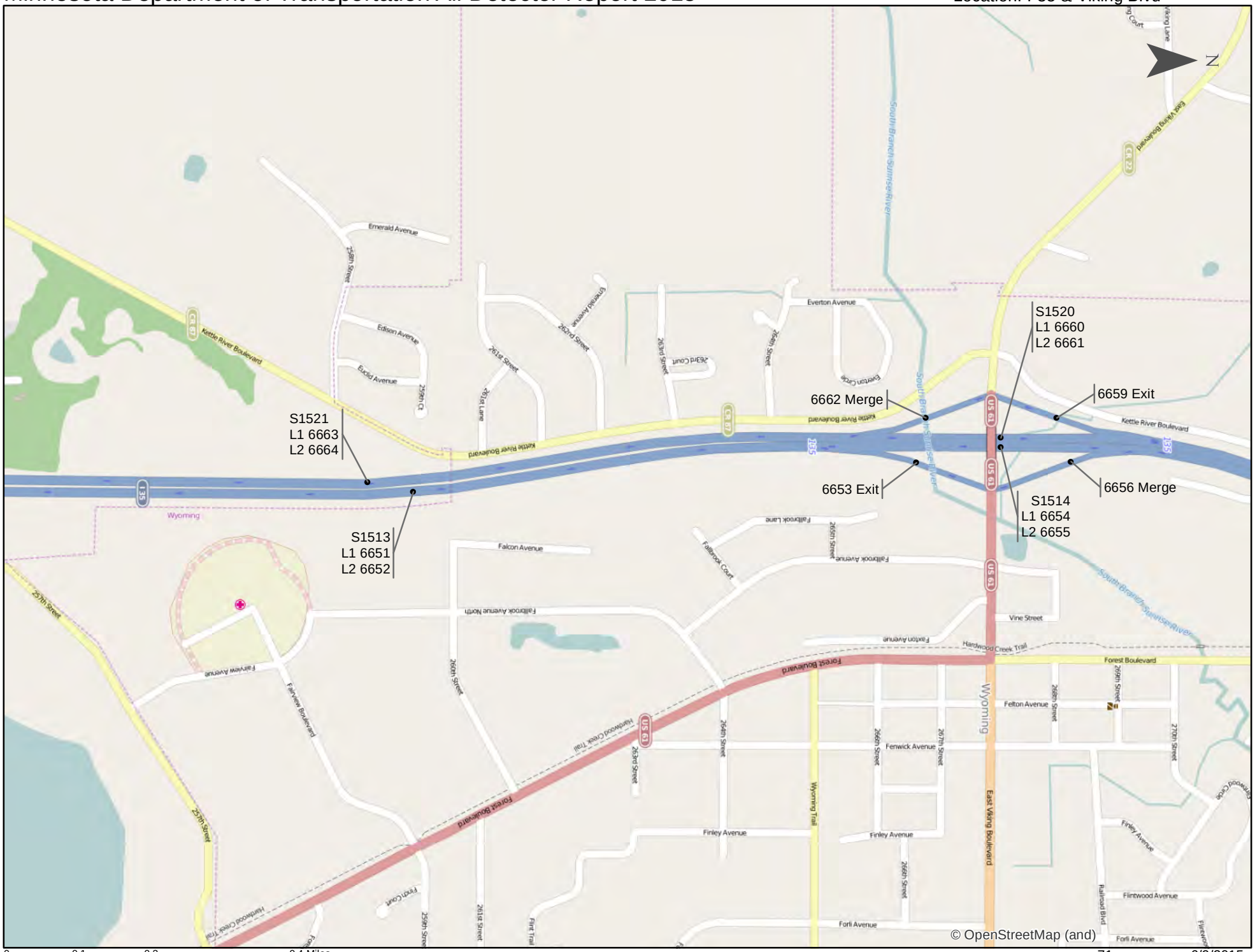

0 0.1 0.2 0.4 Miles

6/9/2015

Minnesota Department of Transportation All Detector Report 2015

Location: TH 36 & Snelling Ave

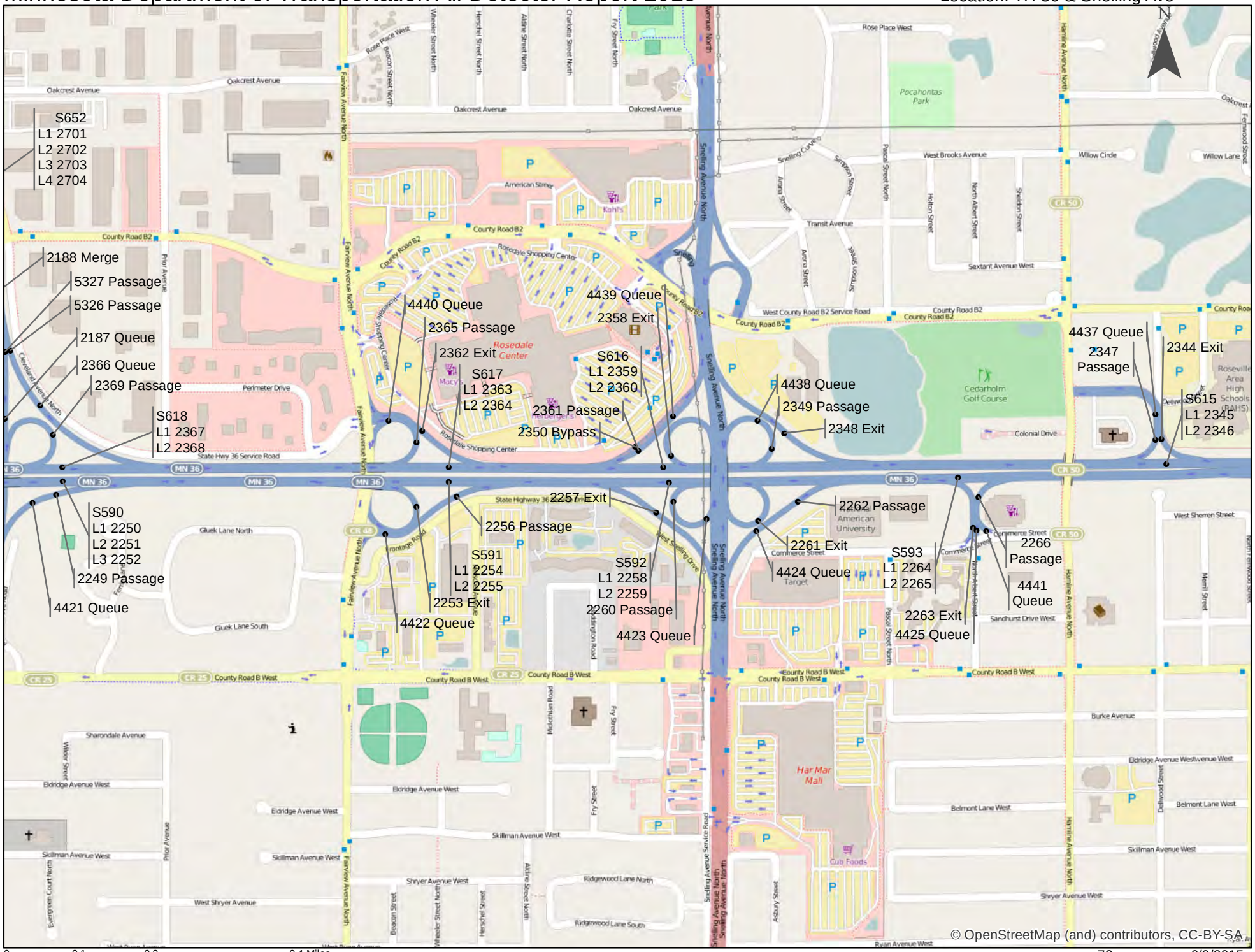

0 0.1 0.2 0.4 Miles

Minnesota Department of Transportation All Detector Report 2015

Location: TH 36 & Lexington Ave

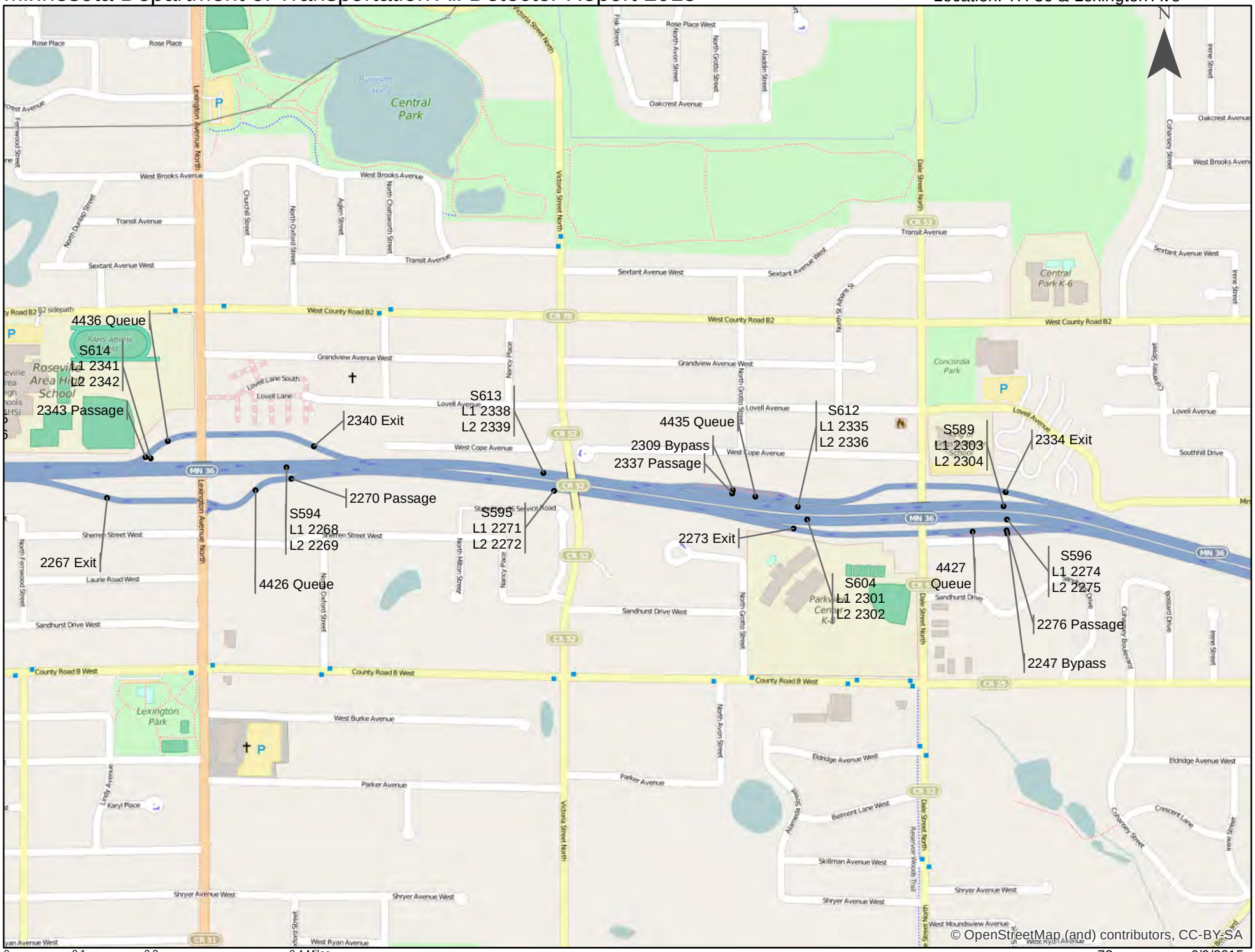

6/9/2015

Minnesota Department of Transportation All Detector Report 2015

Location: TH 36 & I-35E

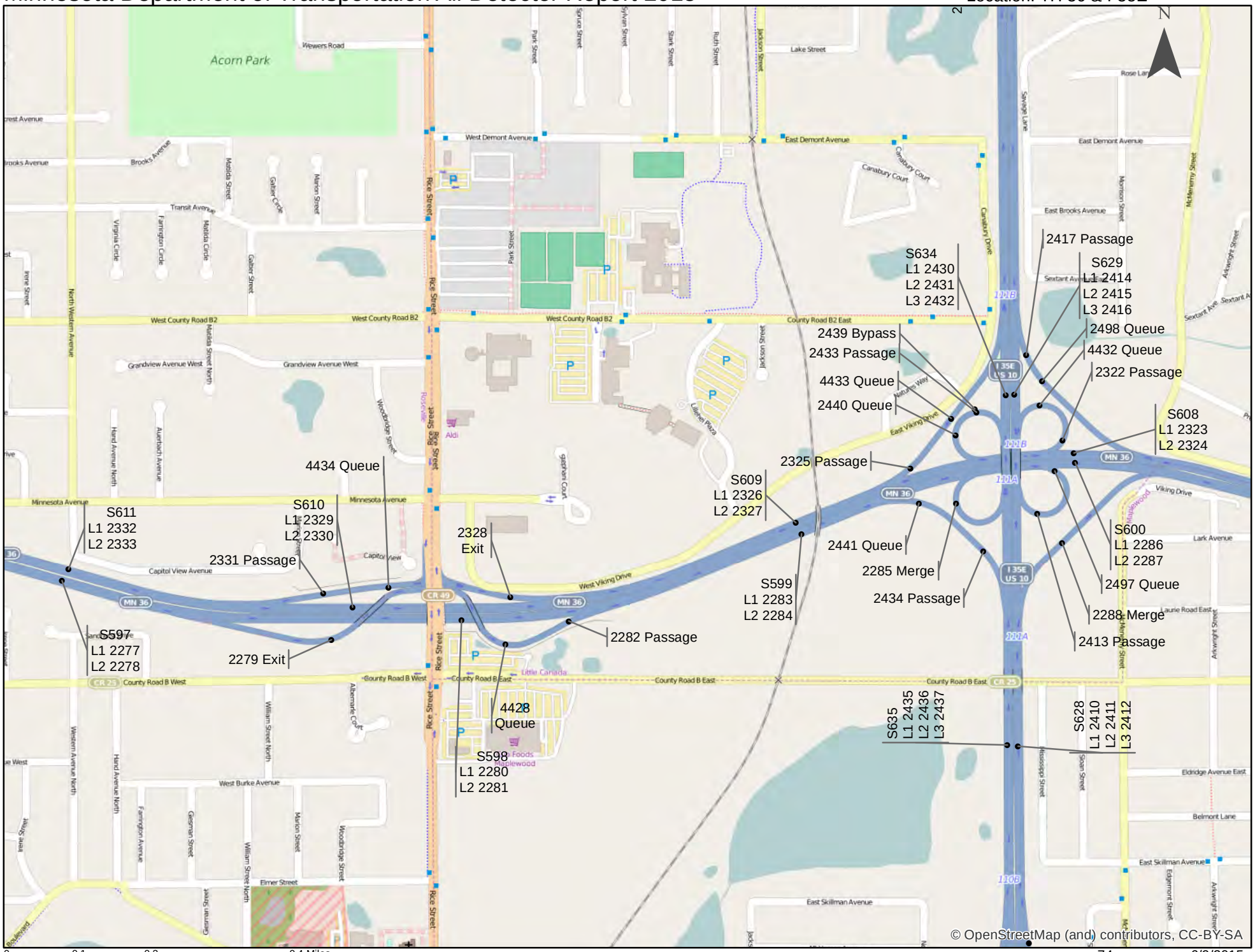

0 0.1 0.2 0.4 Miles

6/9/2015

Location: TH 36 & TH 61

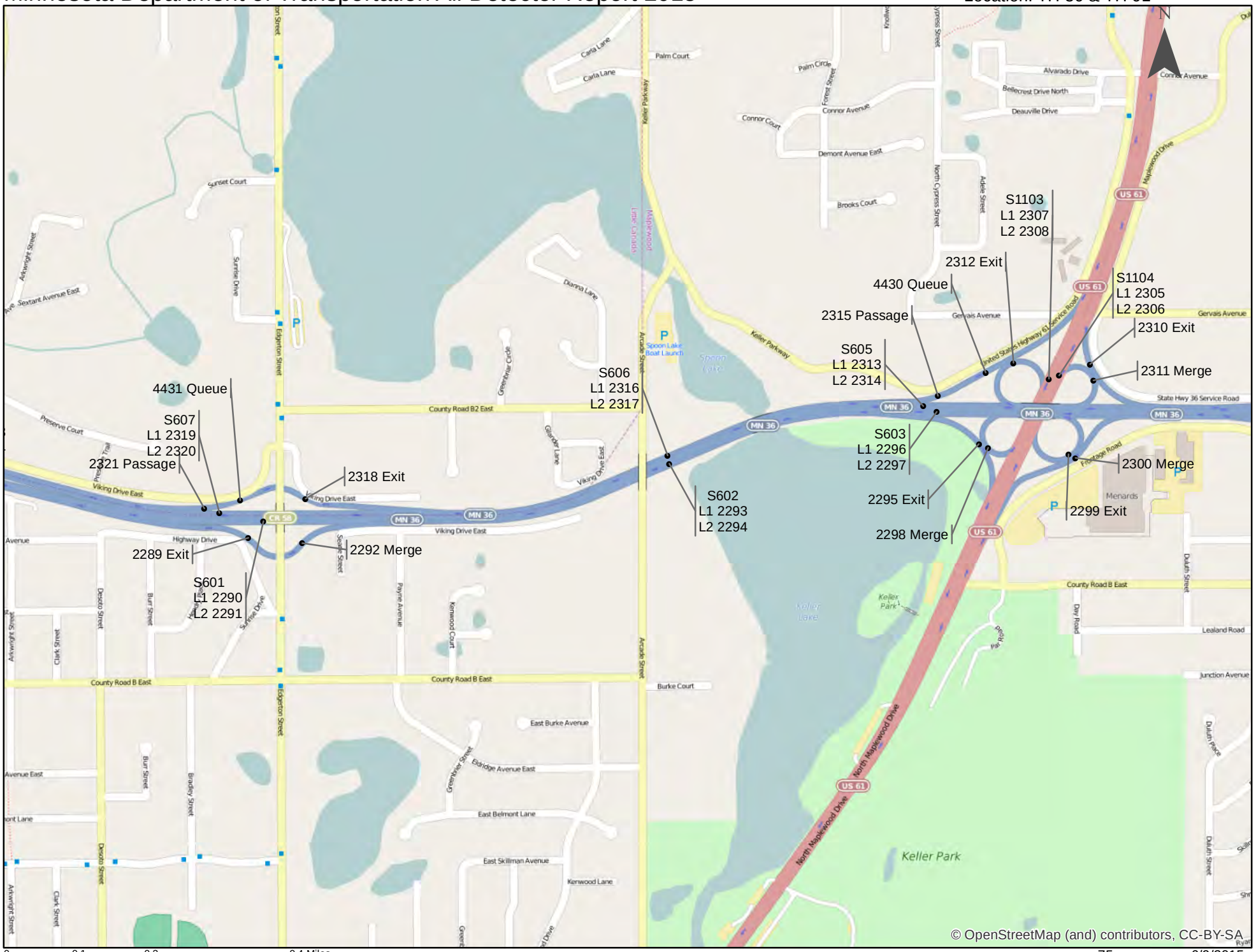

Minnesota Department of Transportation All Detector Report 2015

Location: TH 36 & Highlands Trail

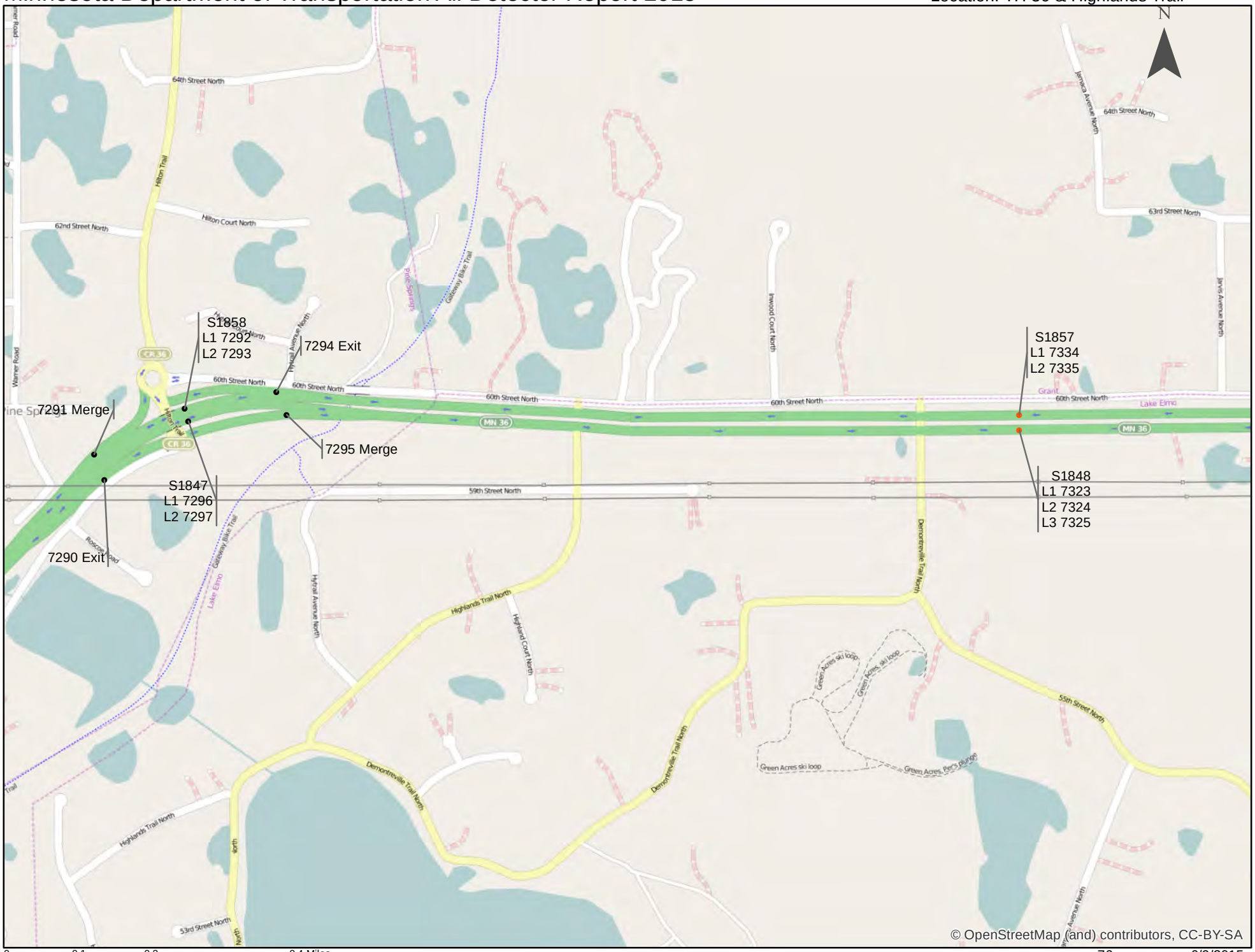

0 0.1 0.2 0.4 Miles

Minnesota Department of Transportation All Detector Report 2015

Location: TH 36 & Keats Ave

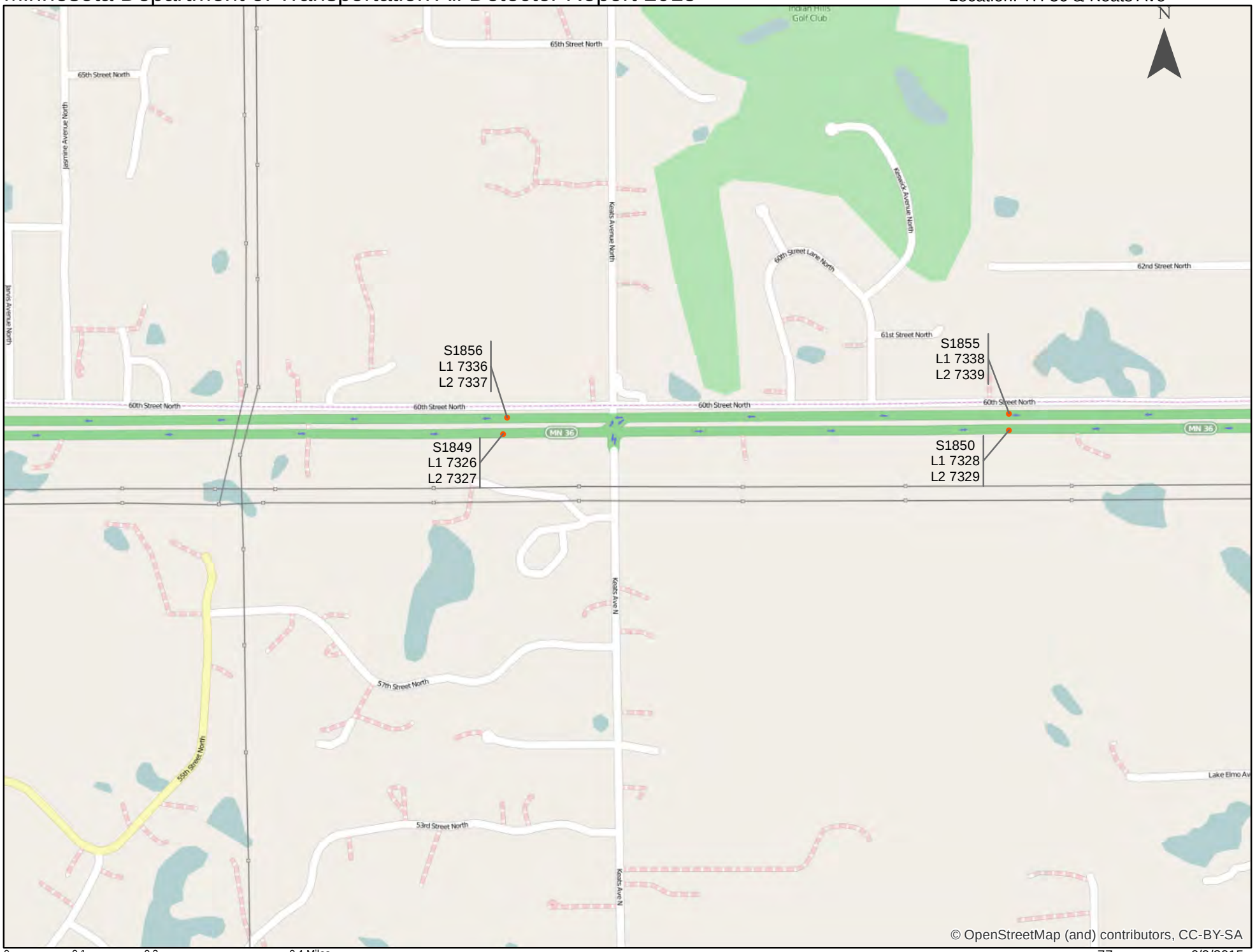

0 0.1 0.2 0.4 Miles

Minnesota Department of Transportation All Detector Report 2015

Location: TH 36 & Manning Ave

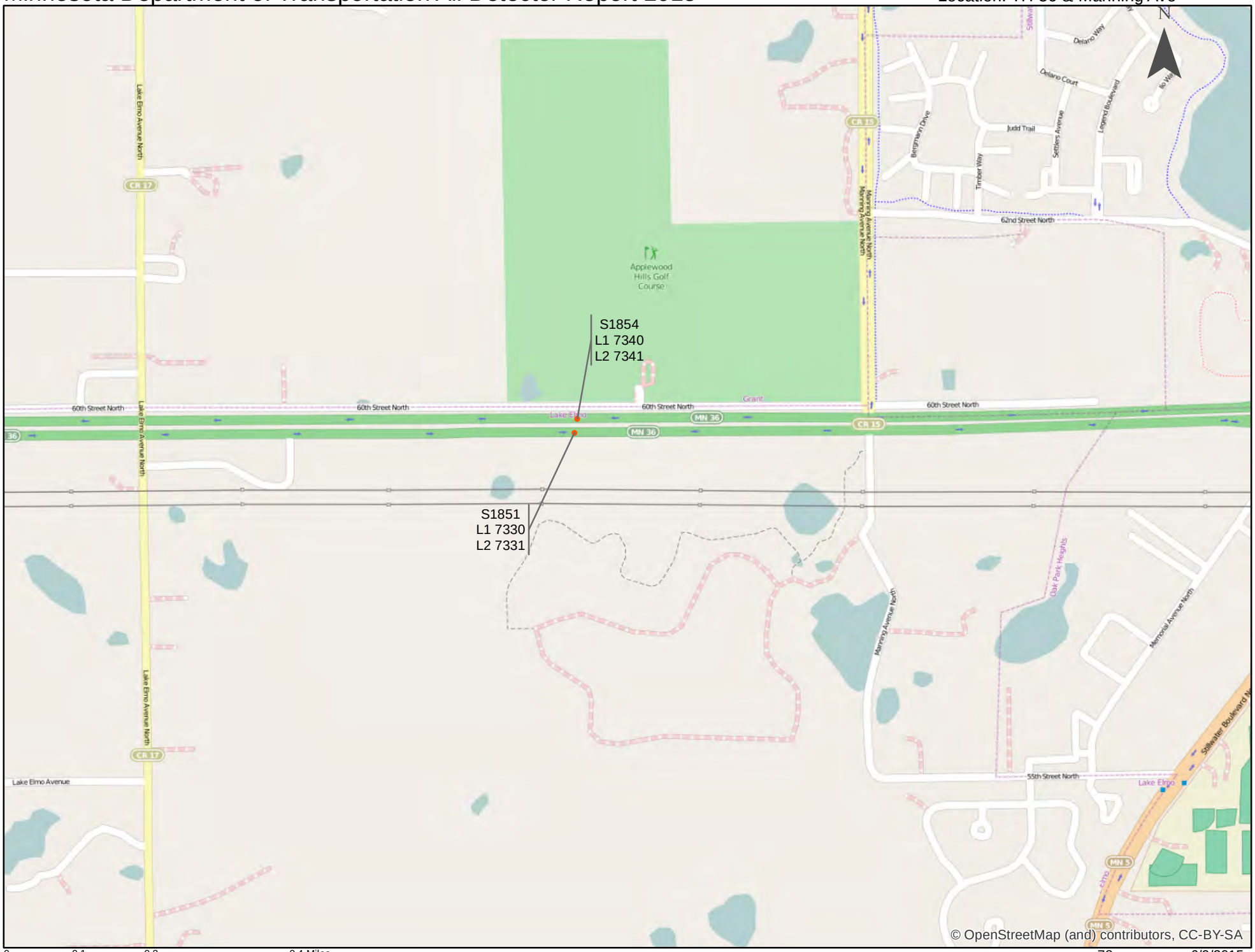

0 0.1 0.2 0.4 Miles

Location: TH 36 & TH 5

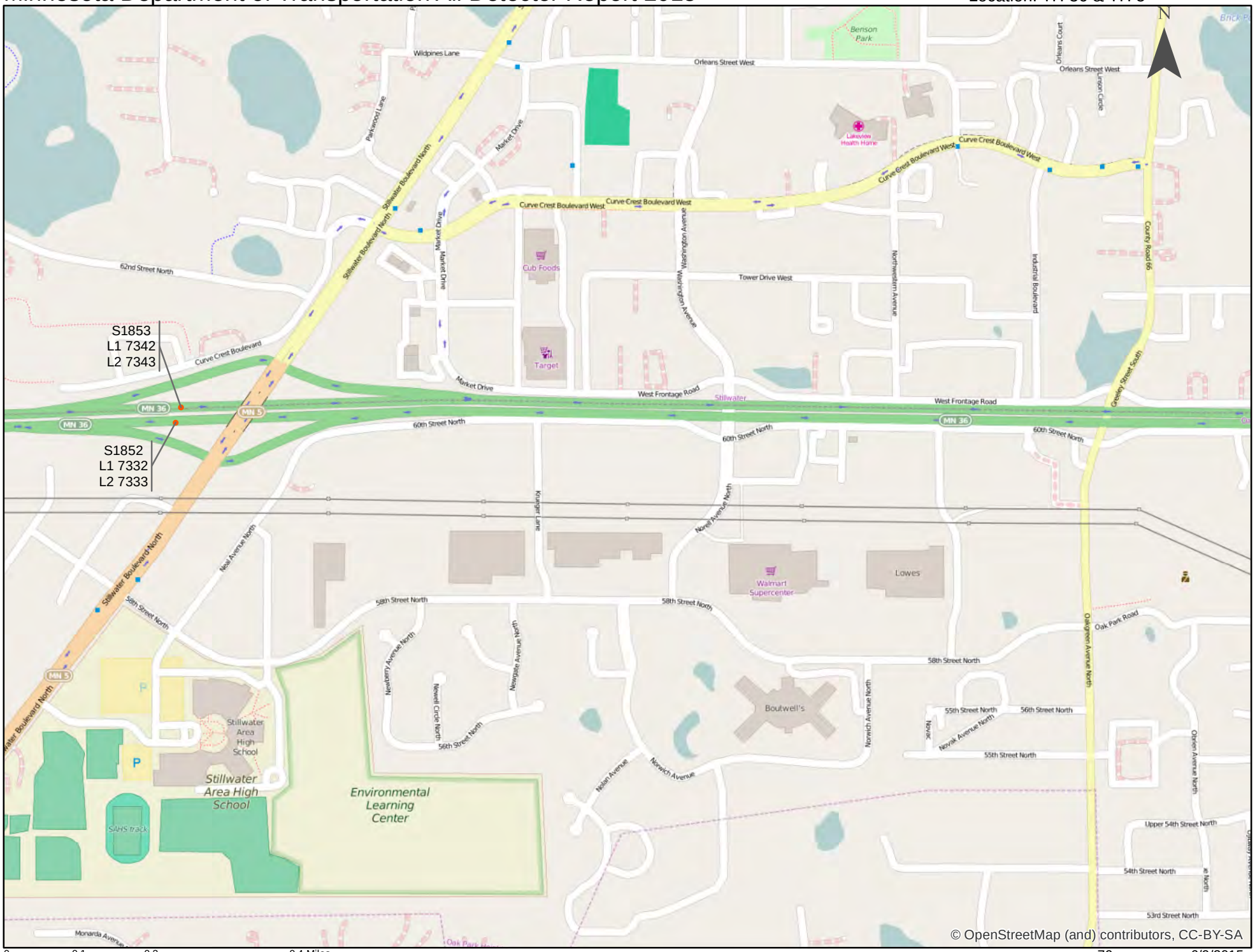

0 0.1 0.2 0.4 Miles

Location: US 52 & TH 55

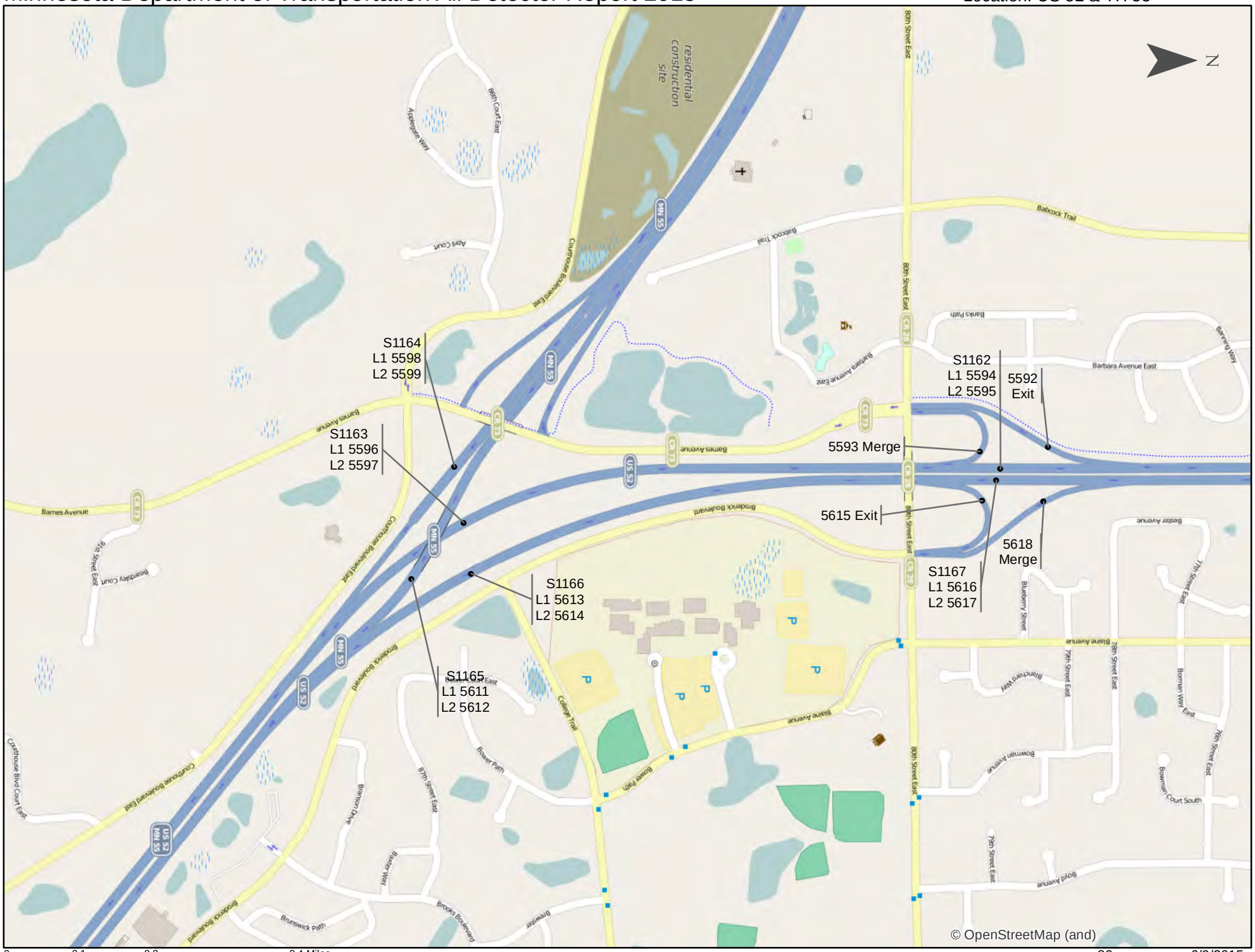

0 0.1 0.2 0.4 Miles

Location: US 52 & Upper 55th St

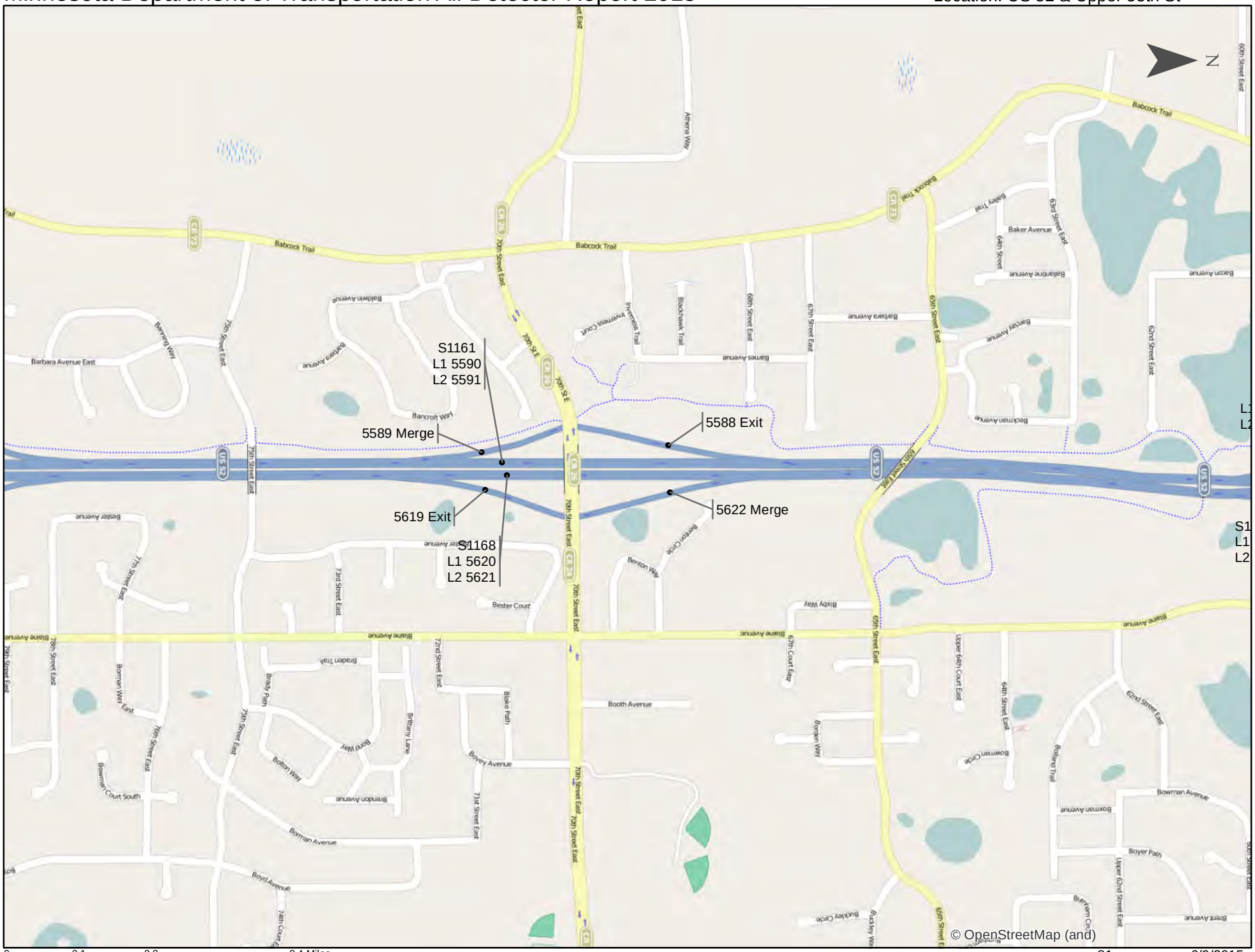
N
S1161
L1 5590
L2 5591
5589 Merge
5588 Exit
5619 Exit
5622 Merge
S1168
L1 5620
L2 5621
Babcock Trail
Barbara Avenue East
Bancroft Way
Blaine Avenue
Bester Court
Boyd Avenue
Bowman Avenue
Boyer Path
Booth Avenue
Bovey Avenue
Bolton Way
Brendon Avenue
Benton Way
Bowman Circle
Bowman Avenue East
Bowman Court South
Bowman Way East
Bolland Trail
Bedtman Avenue
Baker Avenue
Balanbine Avenue
Bacon Avenue
Barkley Avenue
Barbara Avenue
Baldwin Avenue
Banning Way
Bailey Trail
Bloch Way
Blake Path
Brady Path
Bryant Way
Brittany Lane
Bradon Trail
Buckley Circle
Burnham Circ
Brent Avenue
Athena Way
Inverness Court
Inverness Trail
Bobchawk Trail
Bates Avenue
Bartlett Avenue
Bartlett Circle
Benton Circle
Bobby Way
Bolton Way
Bowman Circle
Bowman Avenue
Boxman Avenue
Boyer Path
Upper 62nd Street East
Upper 64th Court East
67th Court East
Bolland Trail
Buckley Circle
Burnham Circ
Brent Avenue
Blaine Avenue
Bester Avenue
Bester Court
Bancroft Way
Barbara Avenue
Baldwin Avenue
Banning Way
Bartlett Avenue
Bedtman Avenue
Bates Avenue
Bartlett Avenue
Bobchawk Trail
Inverness Trail
Inverness Court
Athena Way
Babcock Trail
Bailey Trail
Baker Avenue
Balanbine Avenue
Bacon Avenue
Barkley Avenue
Barbara Avenue
Bloch Way
Blake Path
Brady Path
Bryant Way
Brittany Lane
Bradon Trail
Brendon Avenue
Bolton Way
Bovey Avenue
Boyd Avenue
Bowman Avenue
Bowman Avenue East
Bowman Court South
Bowman Way East
Bolland Trail
Bedtman Avenue
Baker Avenue
Balanbine Avenue
Bacon Avenue
Barkley Avenue
Barbara Avenue
Baldwin Avenue
Banning Way
Bailey Trail

Location: US 52 & I-494

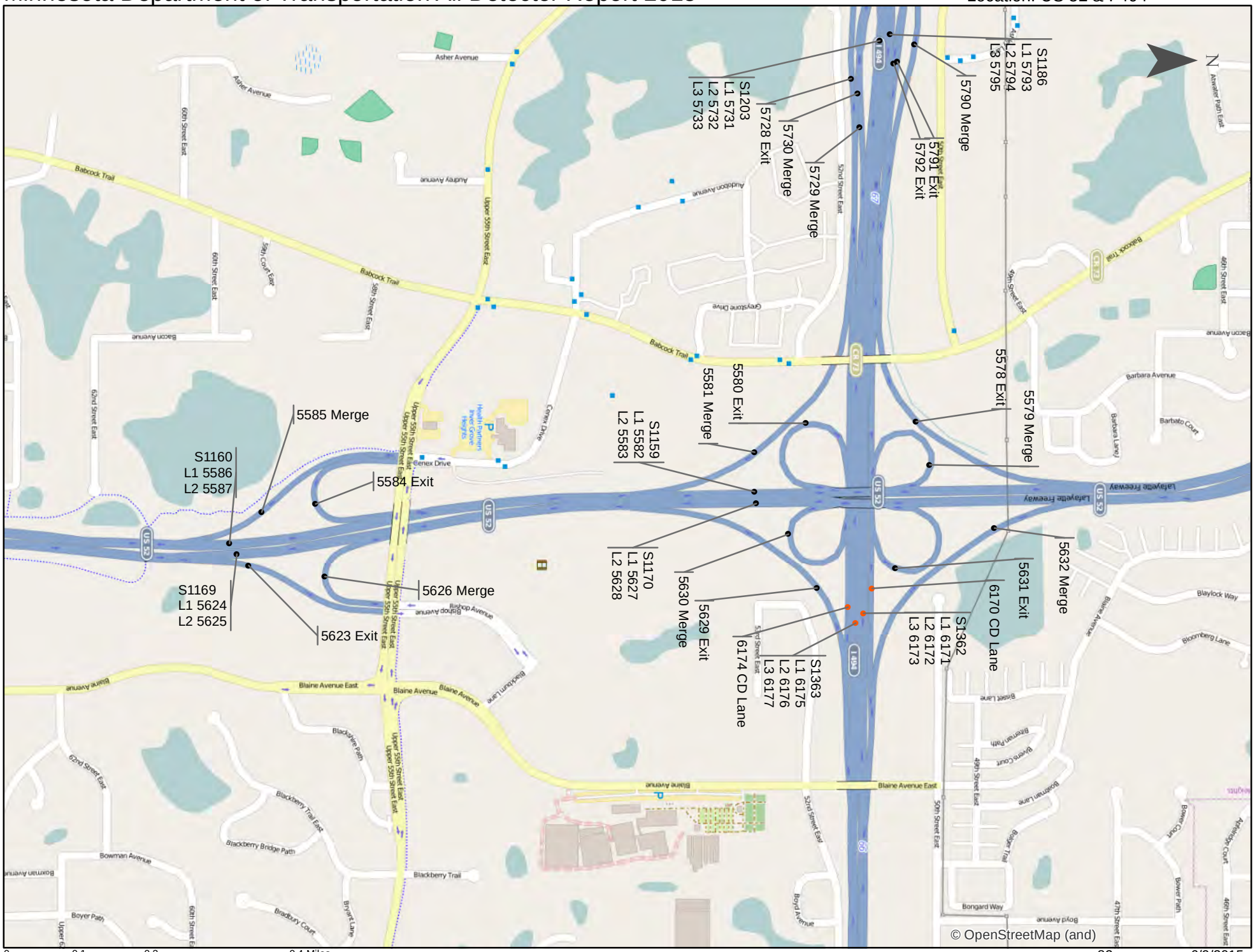

0 0.1 0.2 0.4 Miles

Location: US 52 & Wentworth Ave

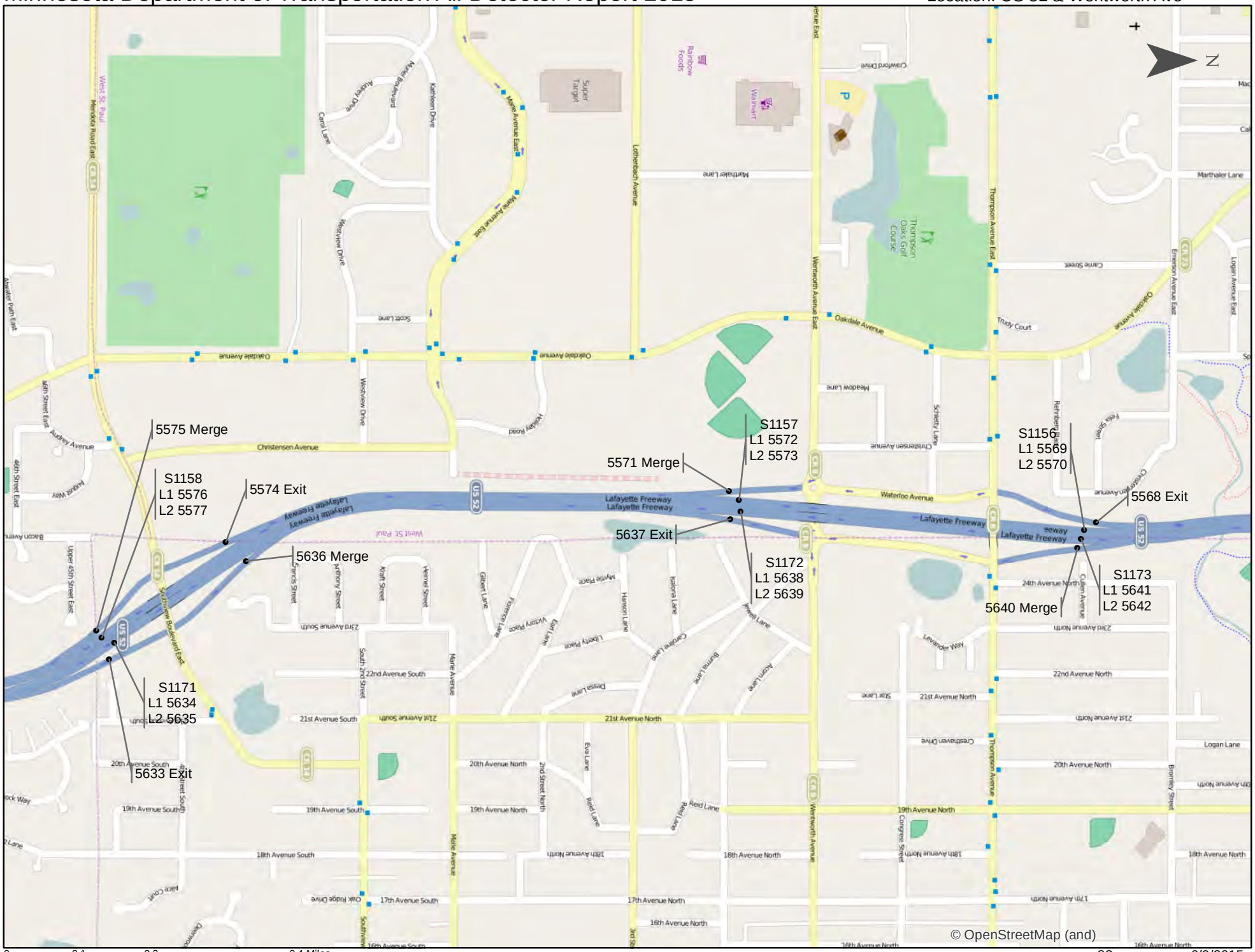

© OpenStreetMap (and)

0 0.1 0.2 0.4 Miles

Location: US 52 & Butler Ave

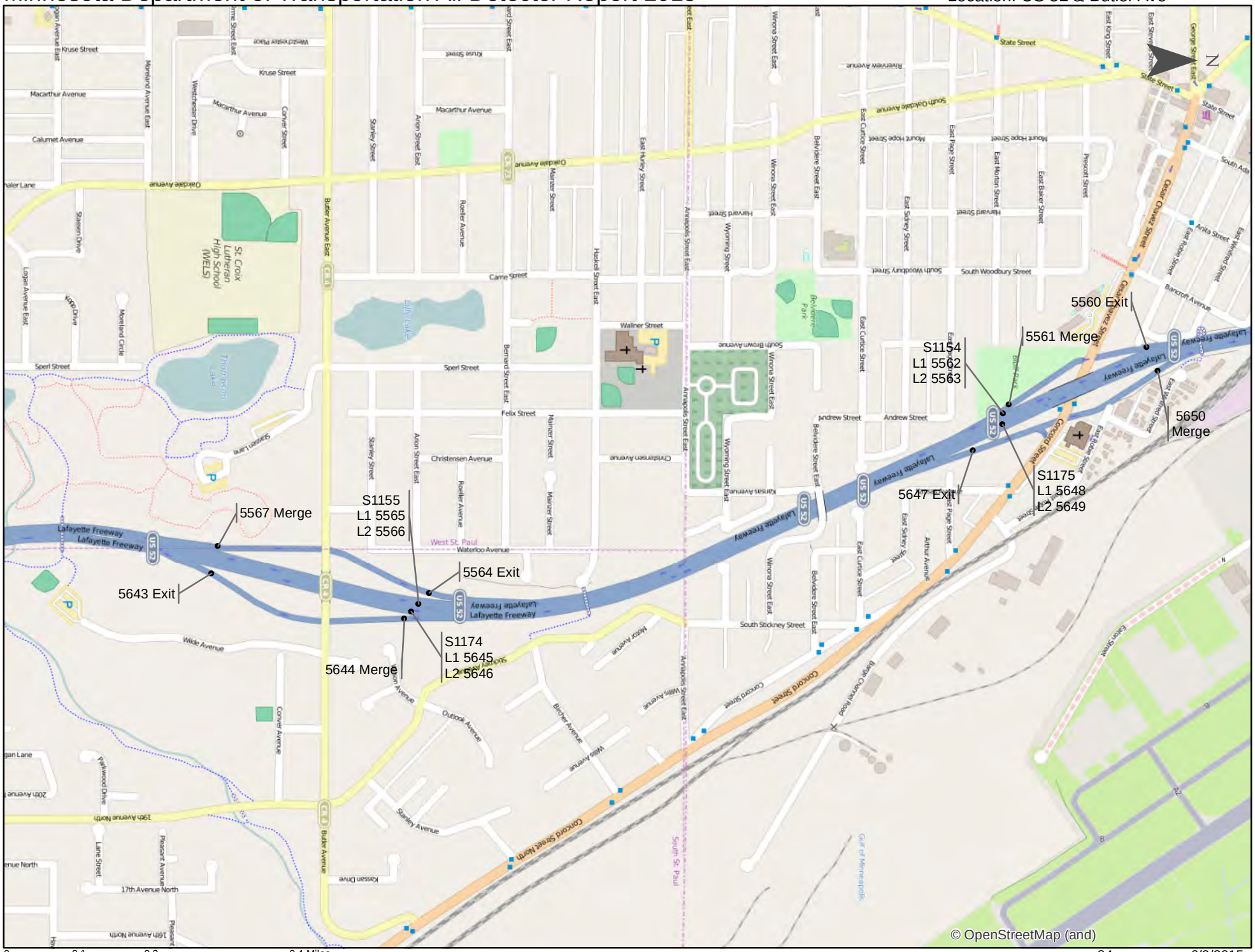

0 0.1 0.2 0.4 Miles

Location: US 52 & Eaton St

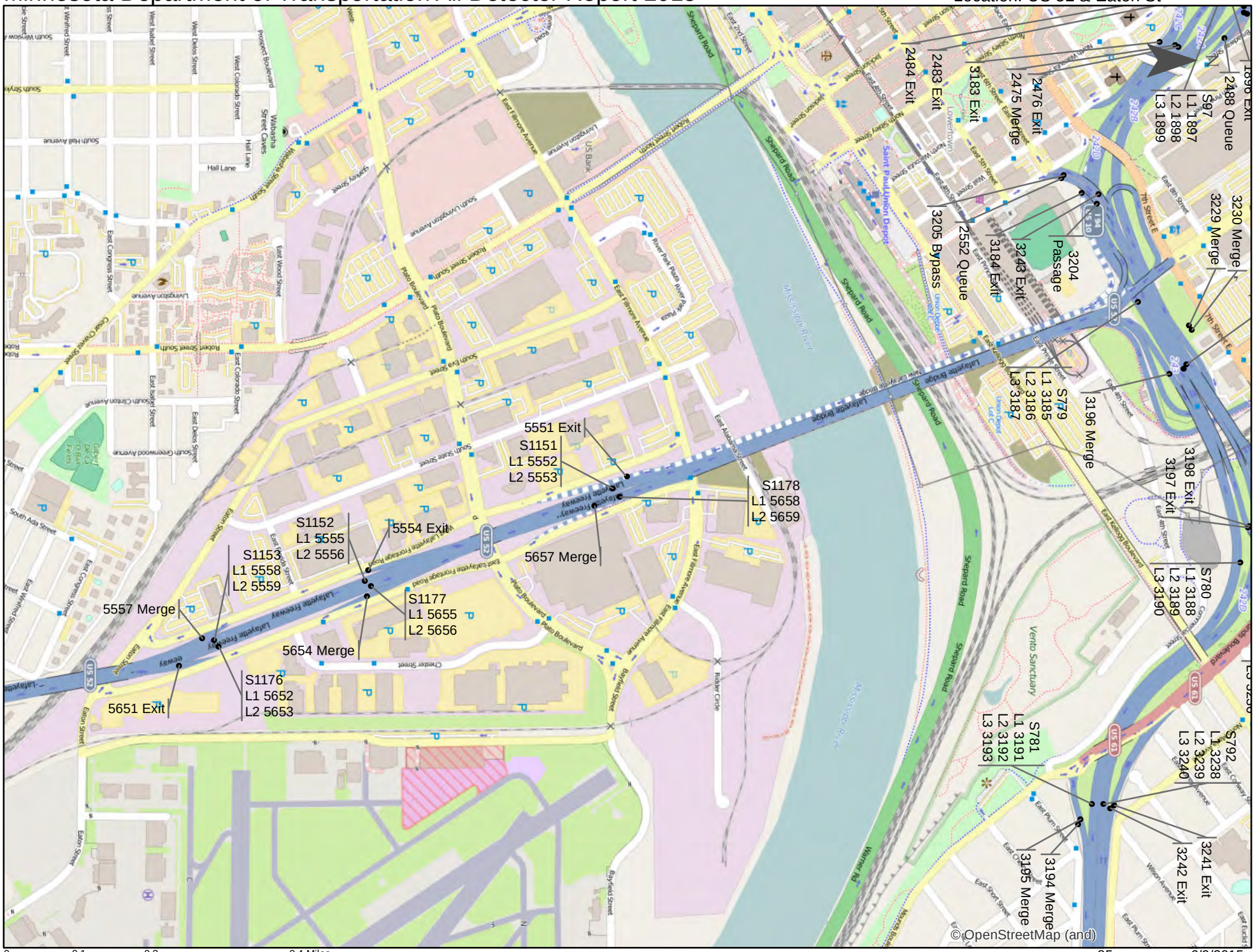

0 0.1 0.2 0.4 Miles

Location: TH 61 & TH 10

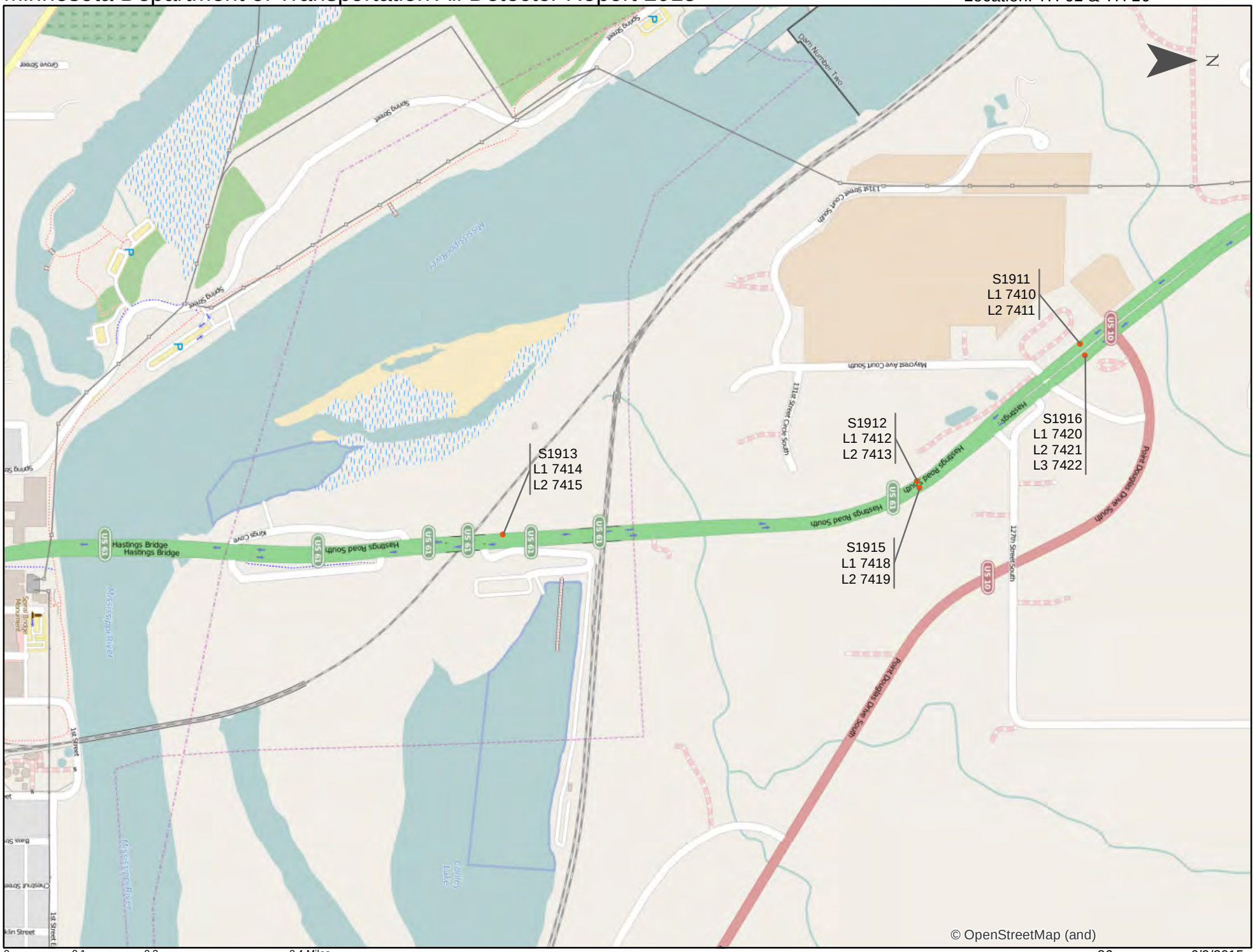

0 0.1 0.2 0.4 Miles

Location: TH 61 & TH 95

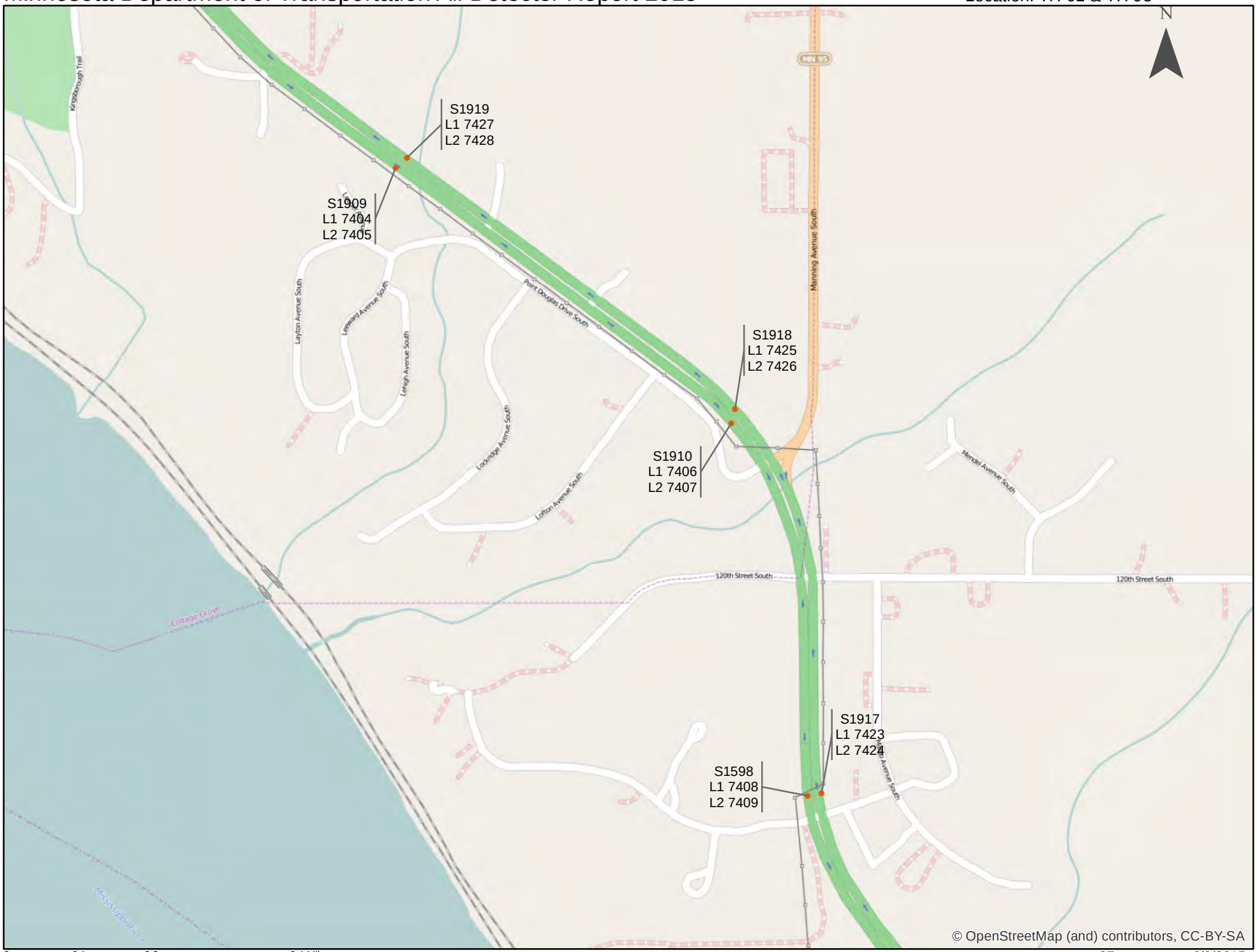

0 0.1 0.2 0.4 Miles

Minnesota Department of Transportation All Detector Report 2015

Location: TH 61 & N of TH 95

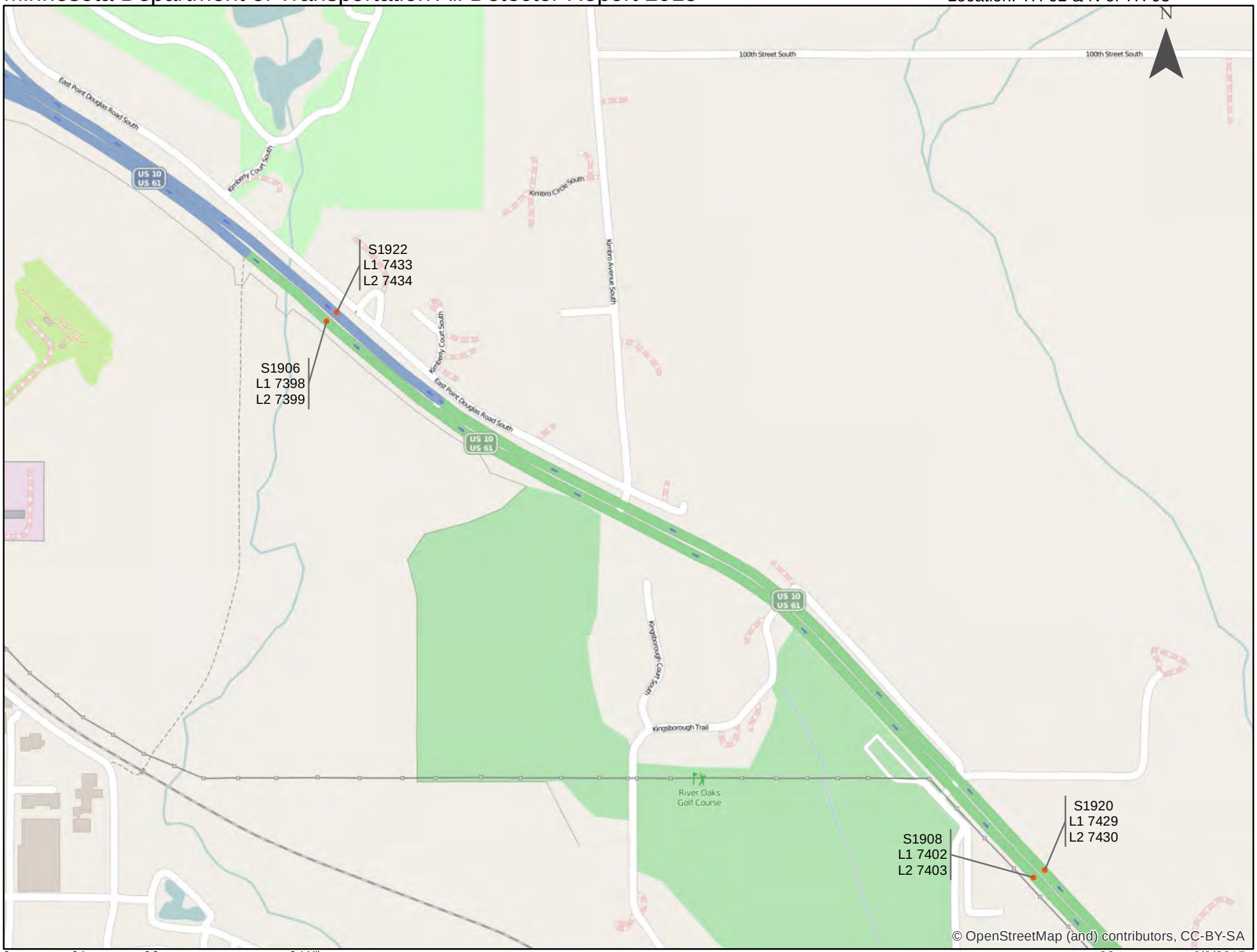

0 0.1 0.2 0.4 Miles

6/9/2015

Location: TH 61 & Jamaica Ave

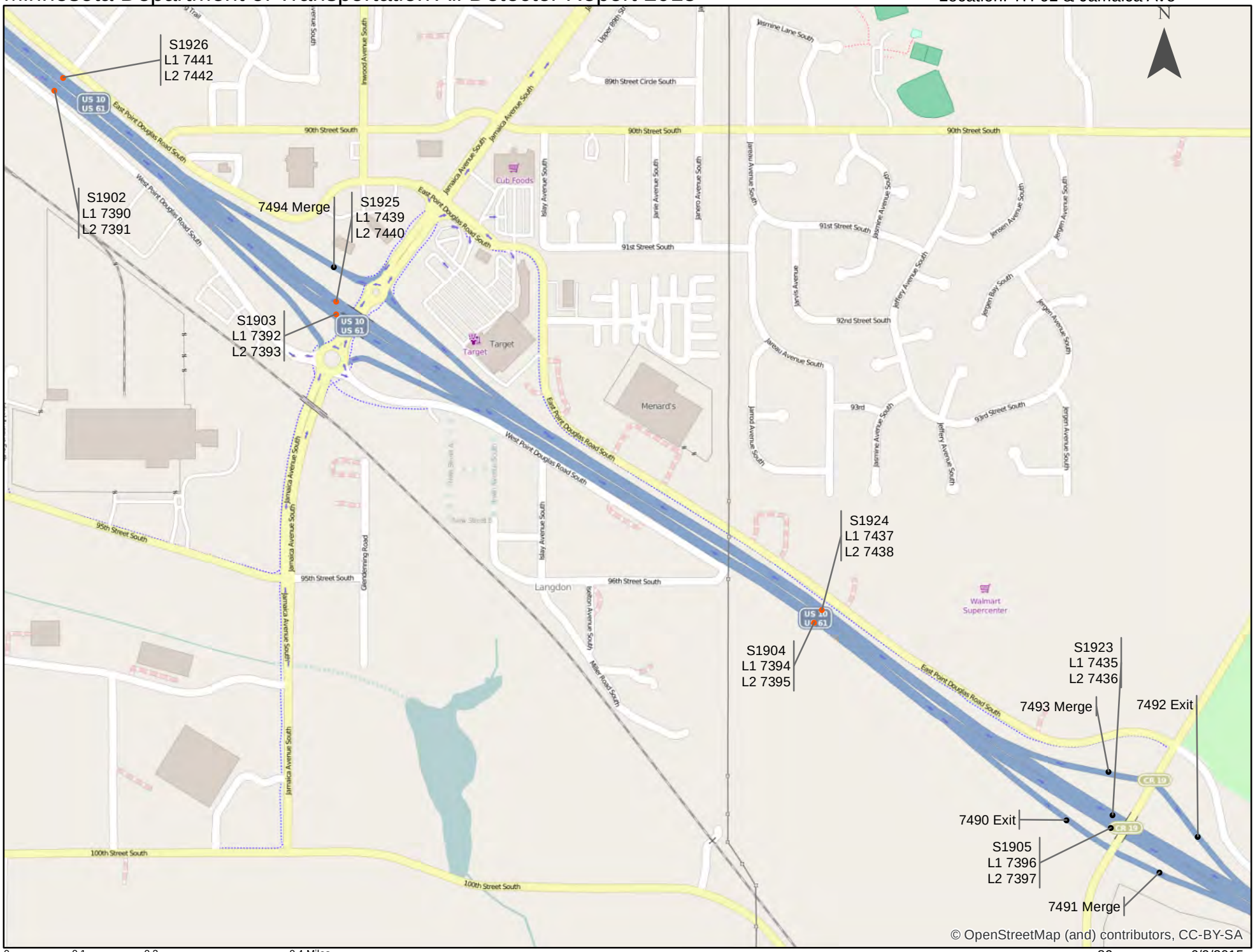

0 0.1 0.2 0.4 Miles

Minnesota Department of Transportation All Detector Report 2015

Location: TH 61 & 80th St

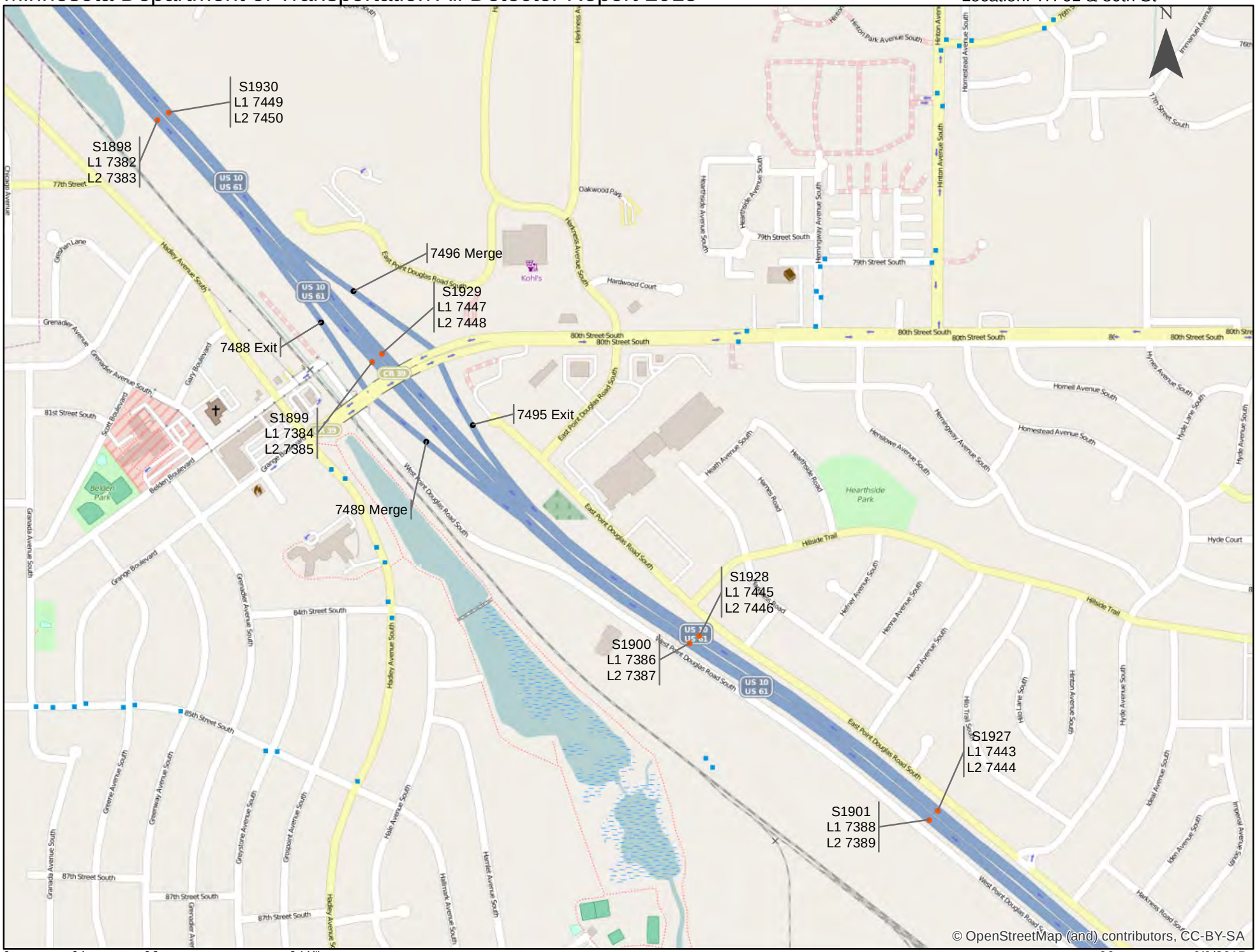
S1930
L1 7449
L2 7450
S1898
L1 7382
L2 7383
7496 Merge
S1929
L1 7447
L2 7448
7488 Exit
S1899
L1 7384
L2 7385
7495 Exit
7489 Merge
S1928
L1 7445
L2 7446
S1900
L1 7386
L2 7387
S1927
L1 7443
L2 7444
S1901
L1 7388
L2 7389
US 10
US 61
CR 39
77th Street
80th Street South
81st Street South
84th Street South
85th Street South
87th Street South
79th Street South
East Point Douglas Road South
West Point Douglas Road South
Hadley Avenue South
Grenadier Avenue South
Grange Boulevard
Belden Boulevard
Scott Boulevard
Gary Boulevard
Granada Avenue South
Greenway Avenue South
Greenway Avenue
Greenway Avenue
Greenway Avenue

Location: TH 61 & 70th St

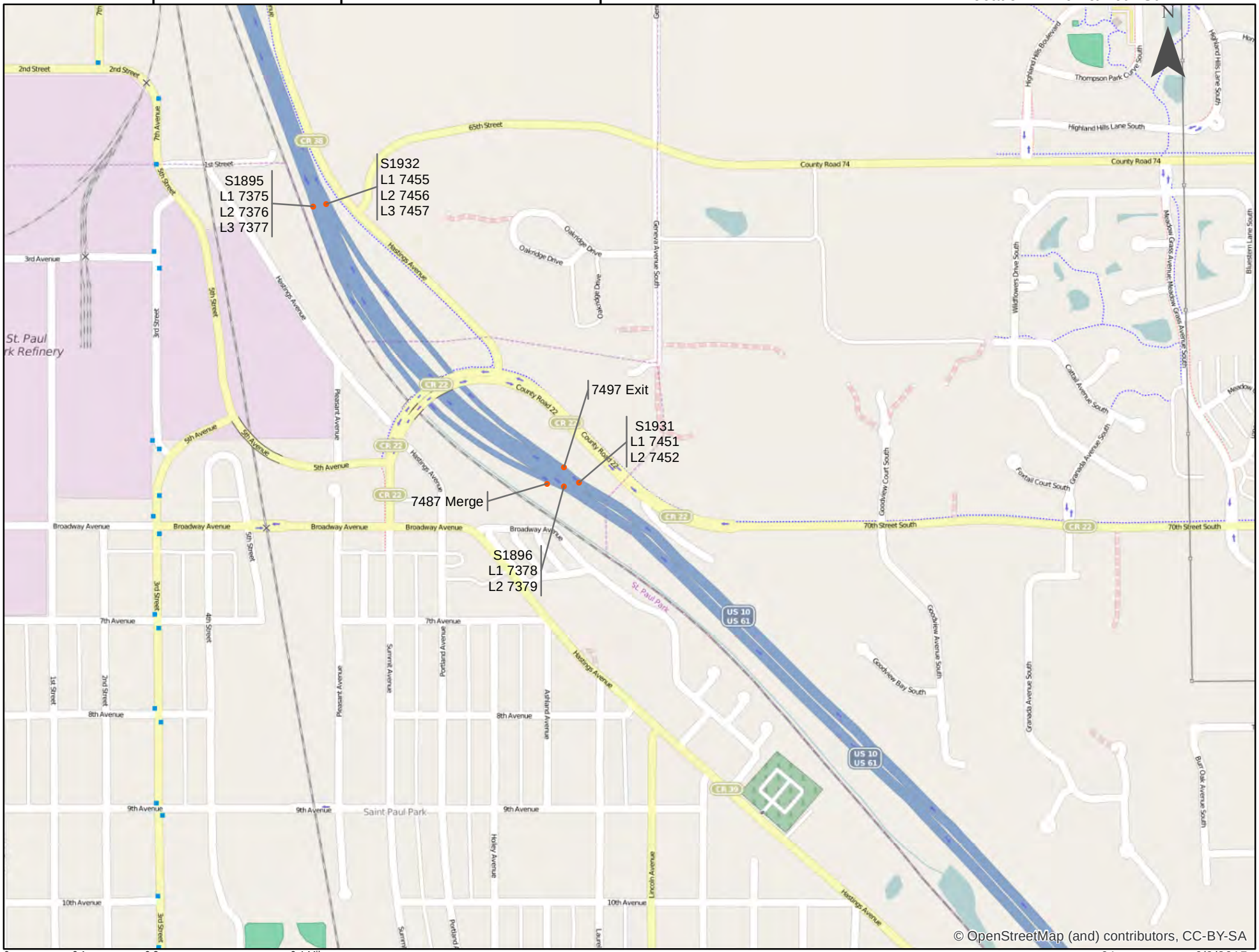

© OpenStreetMap (and) contributors, CC-BY-SA

0 0.1 0.2 0.4 Miles

Location: TH 61 & Glen Rd

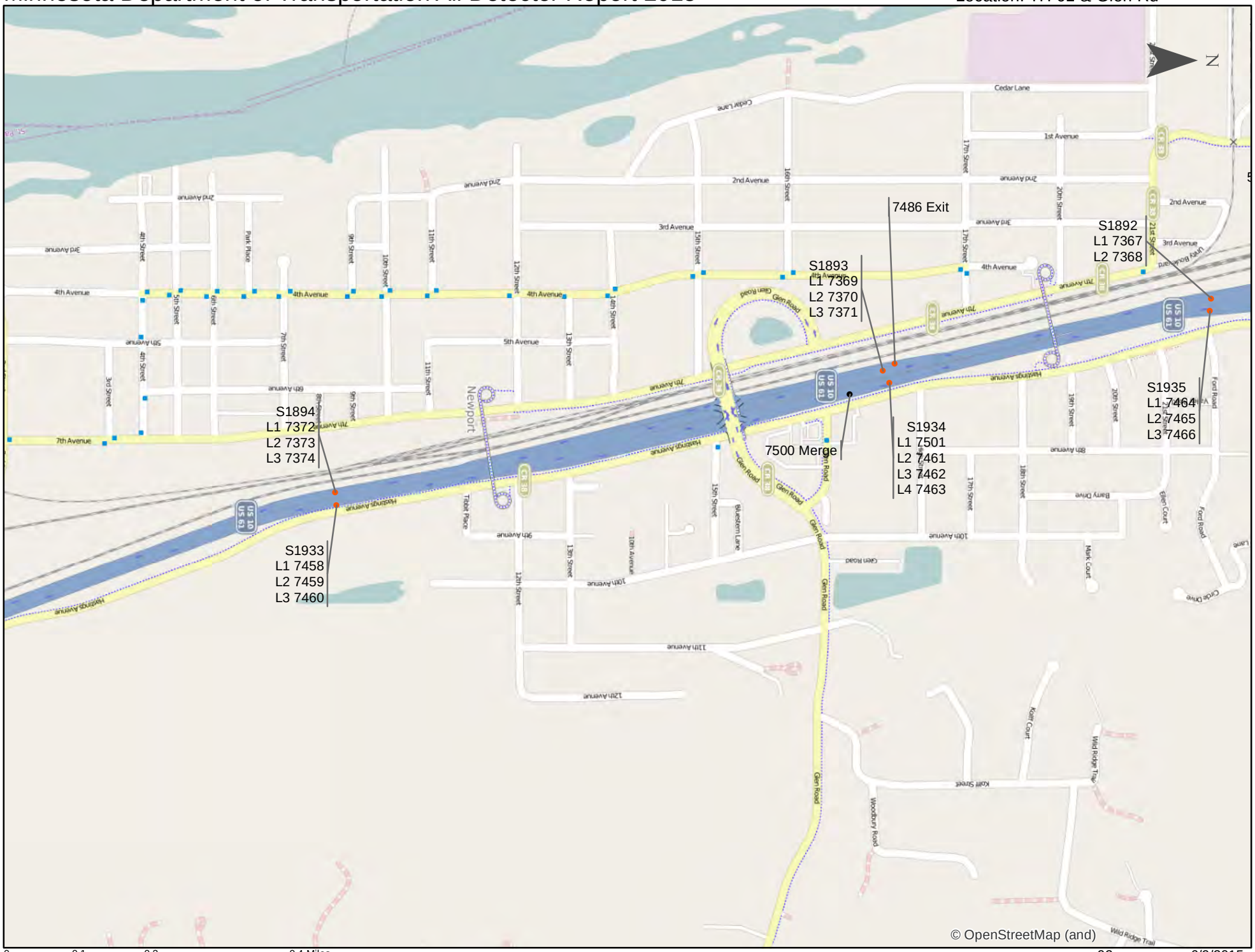

© OpenStreetMap (and)

0 0.1 0.2 0.4 Miles

Location: TH 61 & I-494

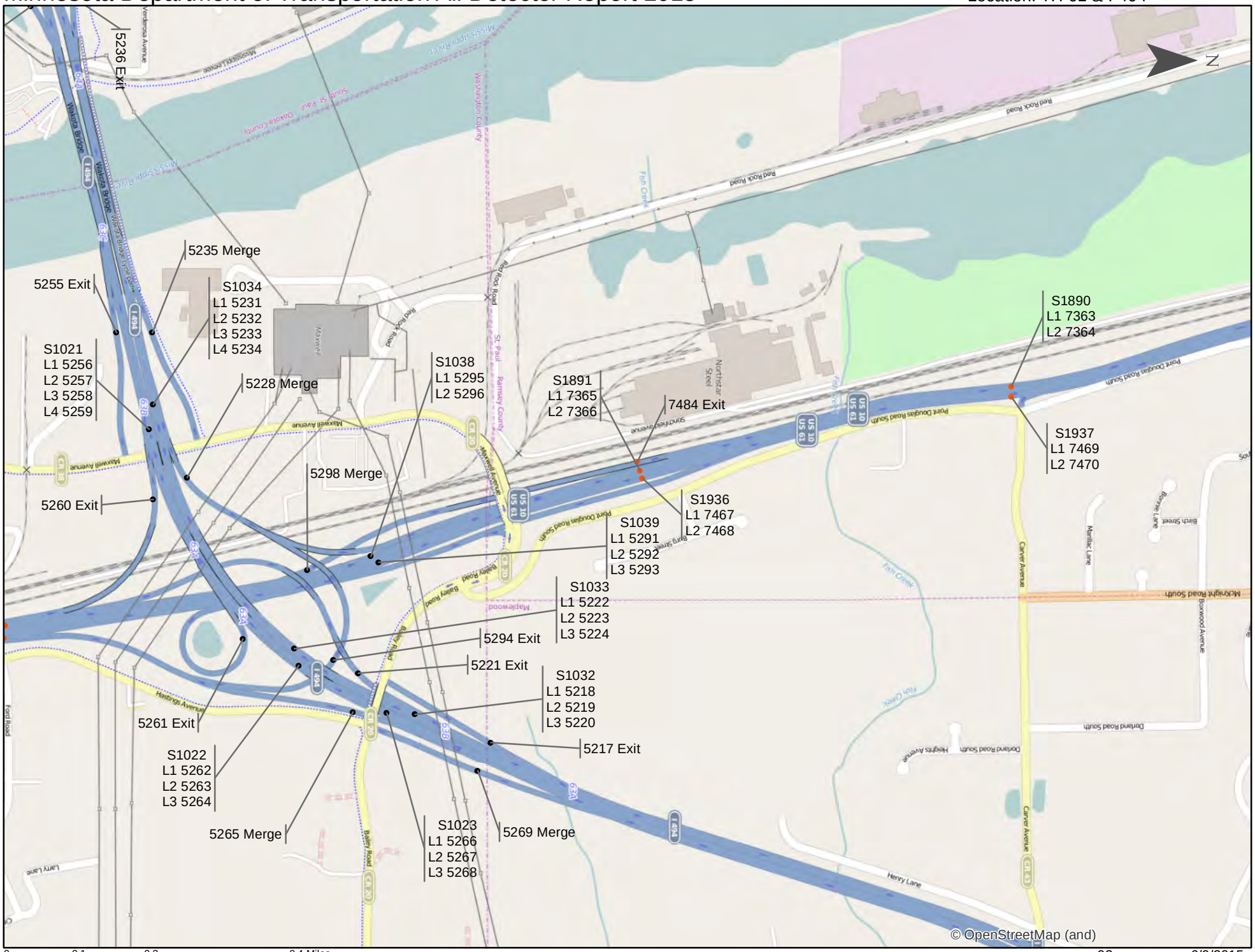

0 0.1 0.2 0.4 Miles

Location: TH 61 & Lower Afton Rd

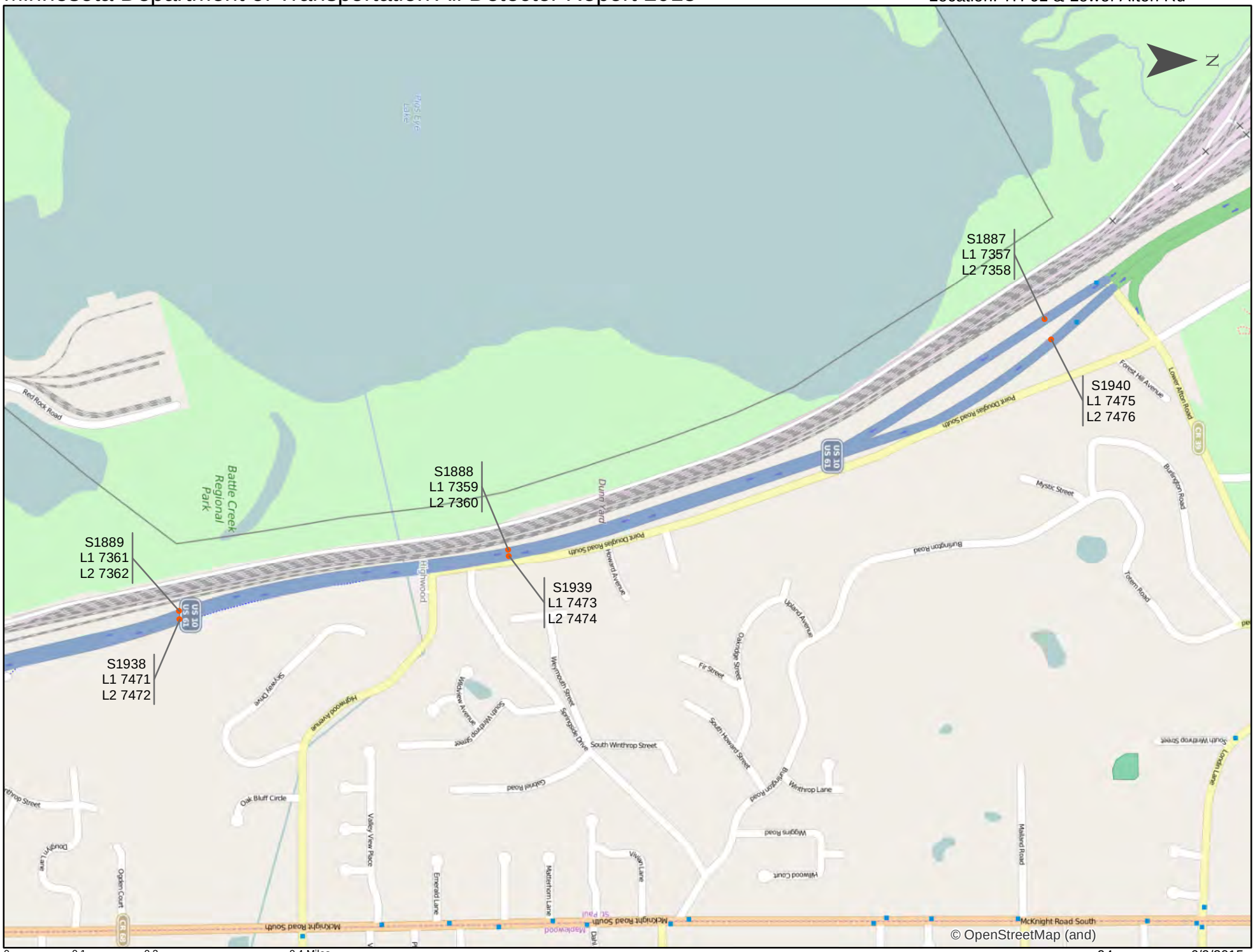

0 0.1 0.2 0.4 Miles

Minnesota Department of Transportation All Detector Report 2015

Location: TH 61 & I-94

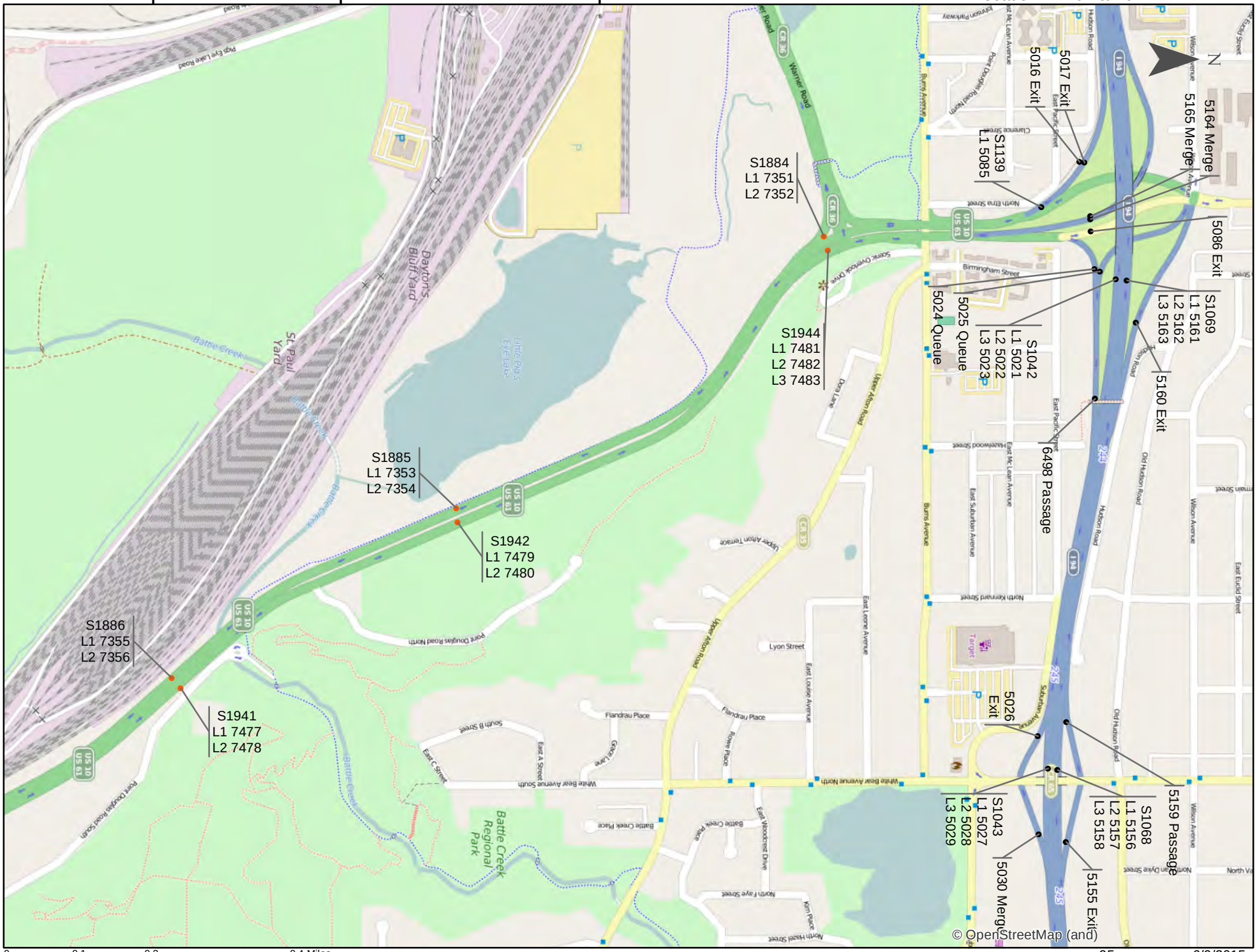

0 0.1 0.2 0.4 Miles

6/9/2015

Minnesota Department of Transportation All Detector Report 2015

Location: TH 62 & I-494

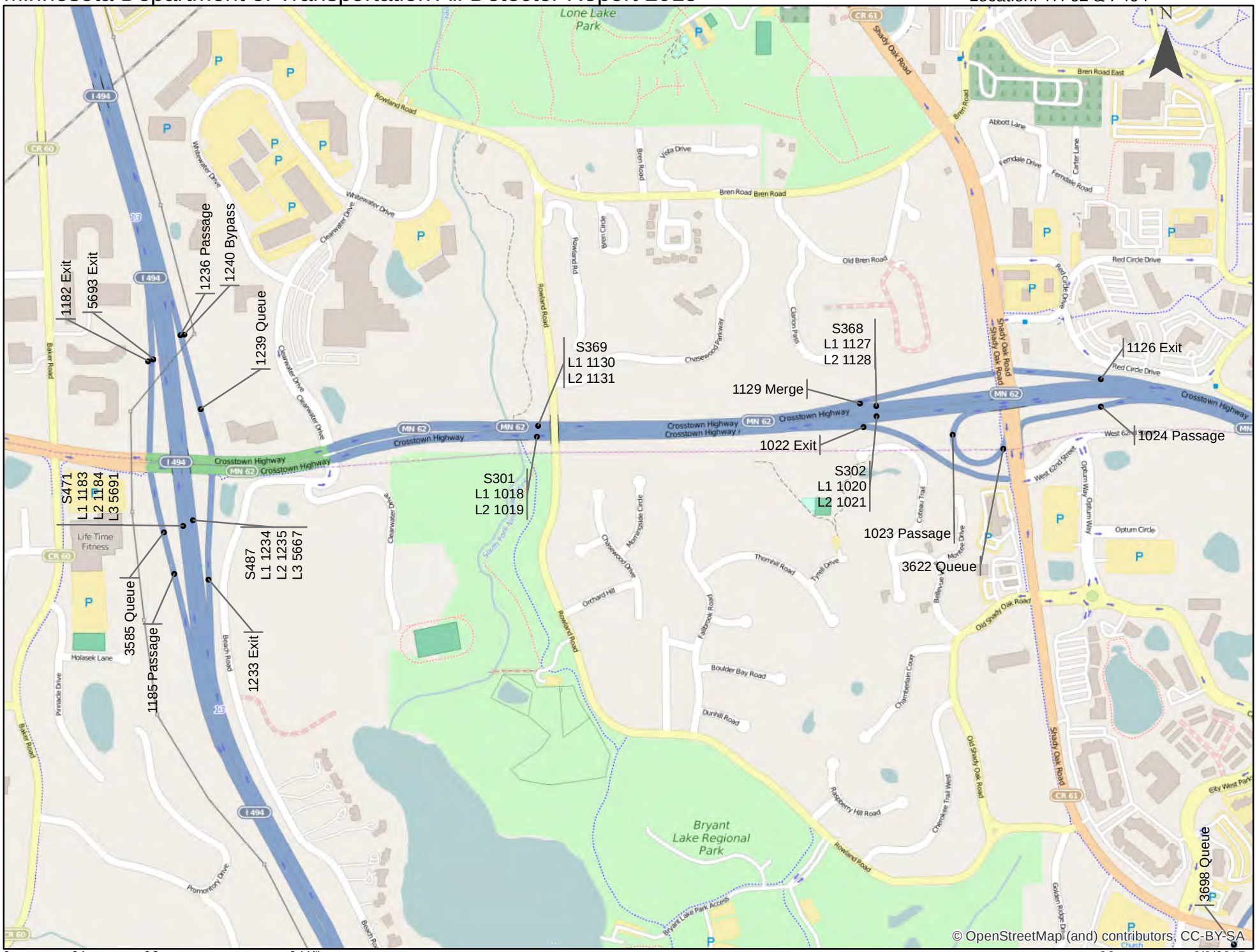

0 0.1 0.2 0.4 Miles

6/9/2015

Minnesota Department of Transportation All Detector Report 2015

Location: TH 62 & US 169

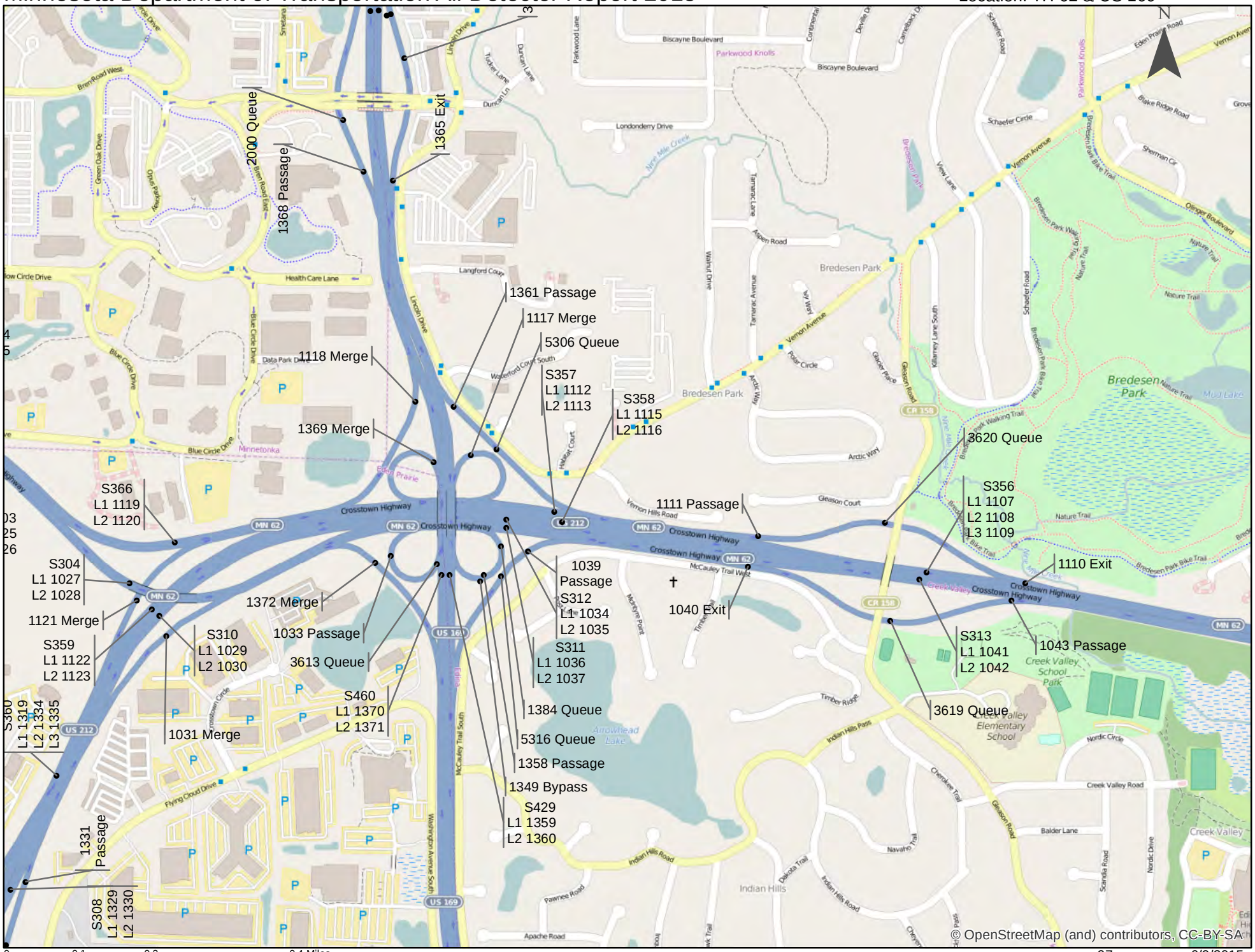
2000 Queue
1368 Passage
1365 Exit
1361 Passage
1117 Merge
5306 Queue
1118 Merge
S357
L1 1112
L2 1113
S358
L1 1115
L2 1116
1369 Merge
3620 Queue
S366
L1 1119
L2 1120
1111 Passage
S356
L1 1107
L2 1108
L3 1109
S304
L1 1027
L2 1028
1039
Passage
S312
L1 1034
L2 1035
1110 Exit
1121 Merge
1372 Merge
1040 Exit
S359
L1 1122
L2 1123
S310
L1 1029
L2 1030
1033 Passage
3613 Queue
S311
L1 1036
L2 1037
S313
L1 1041
L2 1042
1043 Passage
S360
L1 1319
L2 1334
L3 1335
S460
L1 1370
L2 1371
1384 Queue
3619 Queue
1031 Merge
5316 Queue
1358 Passage
1349 Bypass
S429
L1 1359
L2 1360
1331
Passage
S308
L1 1329
L2 1330
Crosstown Highway
MN 62
US 212
US 169
CR 158
Bredesen Park
Creek Valley School Park
Creek Valley Elementary School
Arrowhead Lake
Indian Hills
Eden Prairie
Minnetonka
Lincoln Drive
McCauley Trail South
Vernon Avenue
Schaefer Road
Gleason Road
Parkwood Knolls
Biscayne Boulevard
Londonderry Drive
Nine Mile Creek
Health Care Lane
Blue Circle Drive
Data Park Drive
Langford Court
Waterford Court South
Hubert Court
Vernon Hills Road
Gleason Court
McCauley Trail West
Timber Ridge
Indian Hills Pass
Creek Valley Road
Balder Lane
Nordic Circle
Indian Hills Road
Pawnee Road
Apache Road
Washington Avenue South
Flying Cloud Drive
Crosstown Circle
Arctic Way
Polar Circle
Glacier Place
Aspen Road
Tamarac Lane
Walnut Drive
View Lane
Killarney Lane South
Bredesen Park Bike Trail
Nature Trail
Mud Lake
Olinger Boulevard
Blake Ridge Road
Eden Prairie Road
Sherman Cir
Schaefer Circle
Cherokee Trail
Navaho Trail
Dakota Trail
Scandia Road
Nordic Drive
Creek Valley
Brem Road West
Green Oak Drive
Orne Park Road
Brem Road East
Smeaine
Tucker Lane
Duncan Lane
Parkwood Lane
Continental
Devitt Dr
Camelback Dr
Tamarac Lane
Turnway Avenue
Bredesen Park Walking Trail
Nine Mile Creek Walking Trail
McKenna Point
Timber Ridge
Cherokee Trail
Gleason Road
Washington Avenue South
Flying Cloud Drive
Crosstown Circle
Blue Circle Drive
Lincoln Drive
Vernon Avenue
Schaefer Road
Gleason Road
Killarney Lane South
Bredesen Park Bike Trail
Nature Trail
Mud Lake
Olinger Boulevard
Blake Ridge Road
Eden Prairie Road
Sherman Cir
Schaefer Circle
Cherokee Trail
Navaho Trail
Dakota Trail
Scandia Road
Nordic Drive
Creek Valley
Balder Lane
Creek Valley Road
Nordic Circle
Indian Hills Pass
Indian Hills Road
Pawnee Road
Apache

Location: TH 62 & TH 100

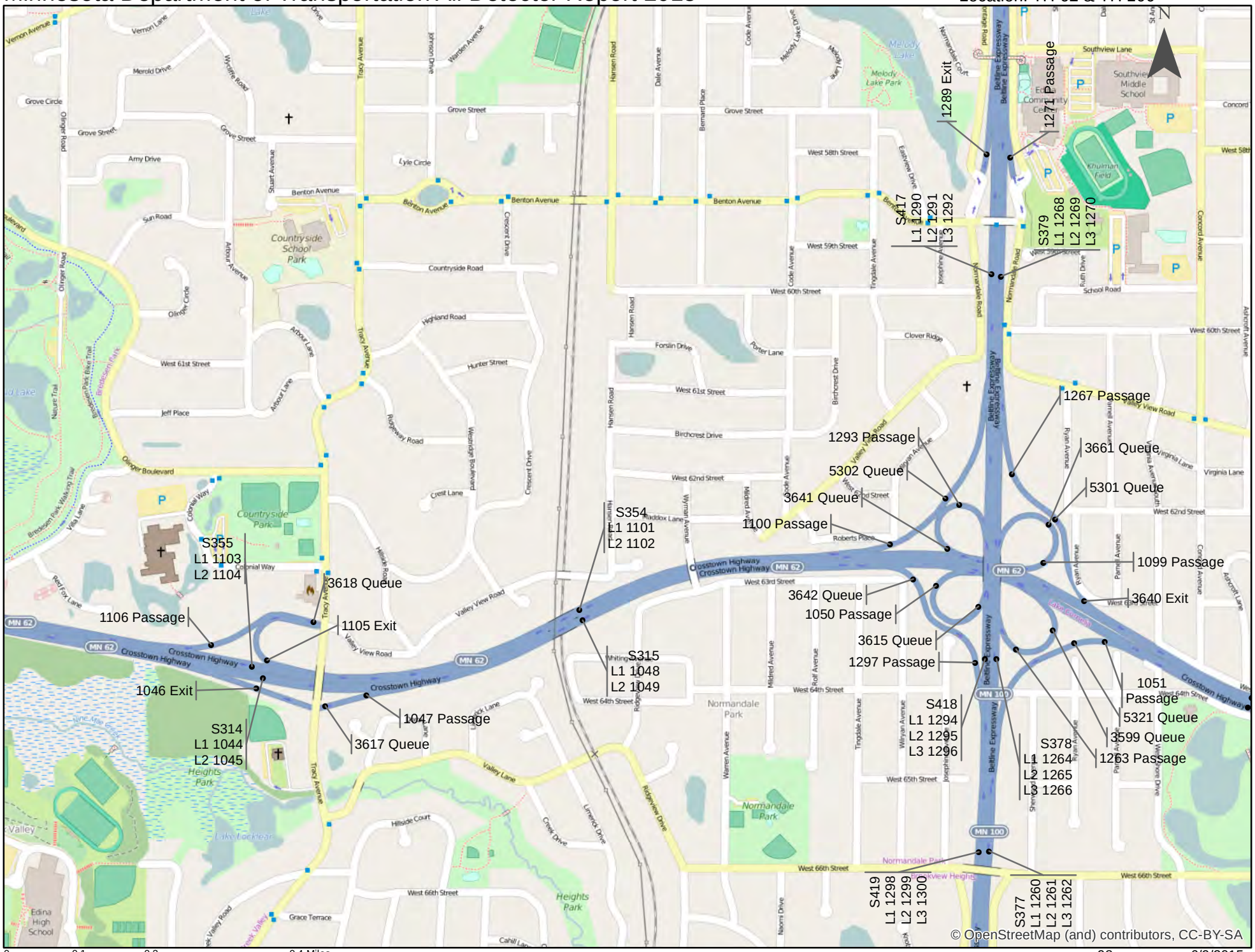

0 0.1 0.2 0.4 Miles

Minnesota Department of Transportation All Detector Report 2015

Location: TH 62 & France Ave

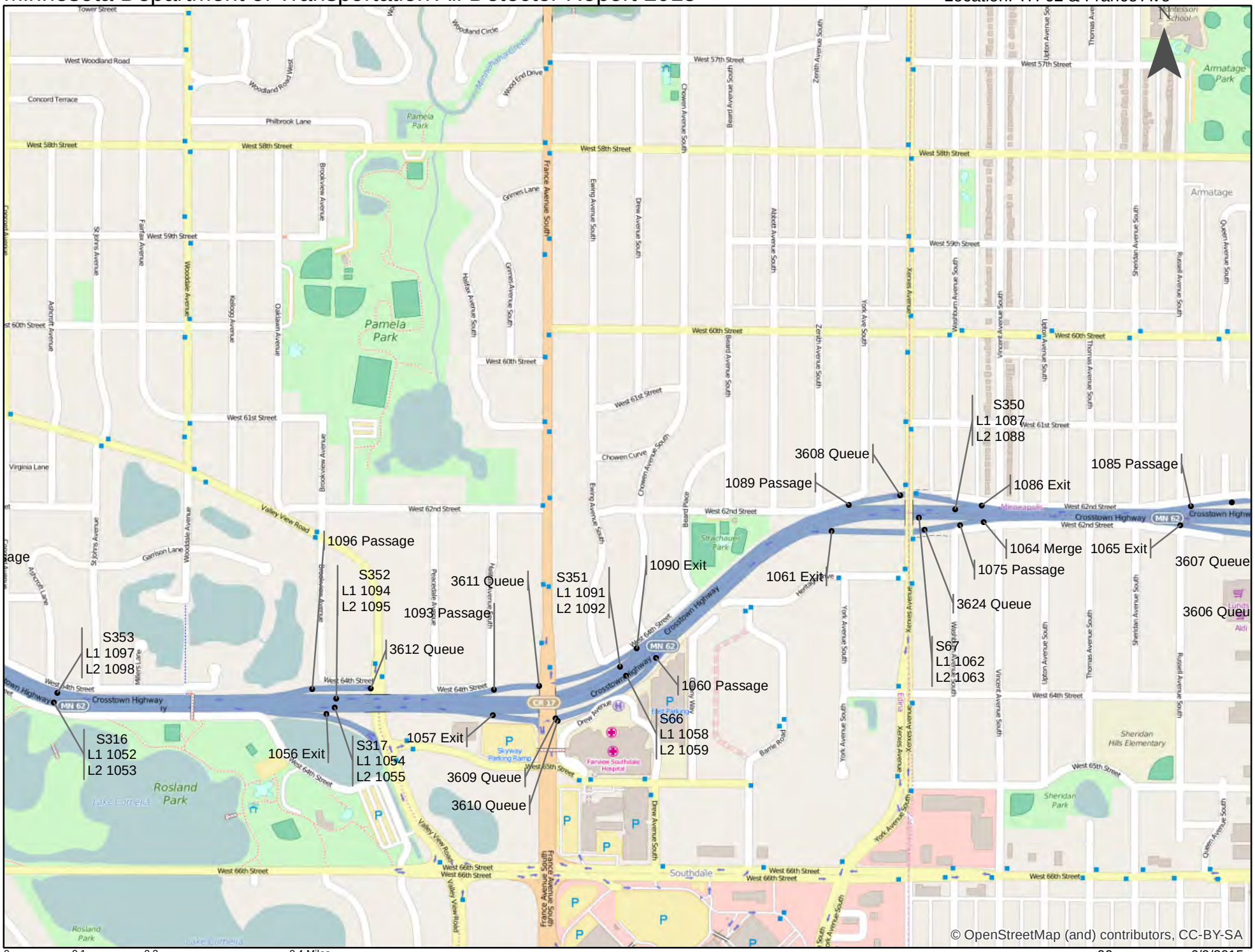

0 0.1 0.2 0.4 Miles

Minnesota Department of Transportation All Detector Report 2015

Location: TH 62 & I-35W

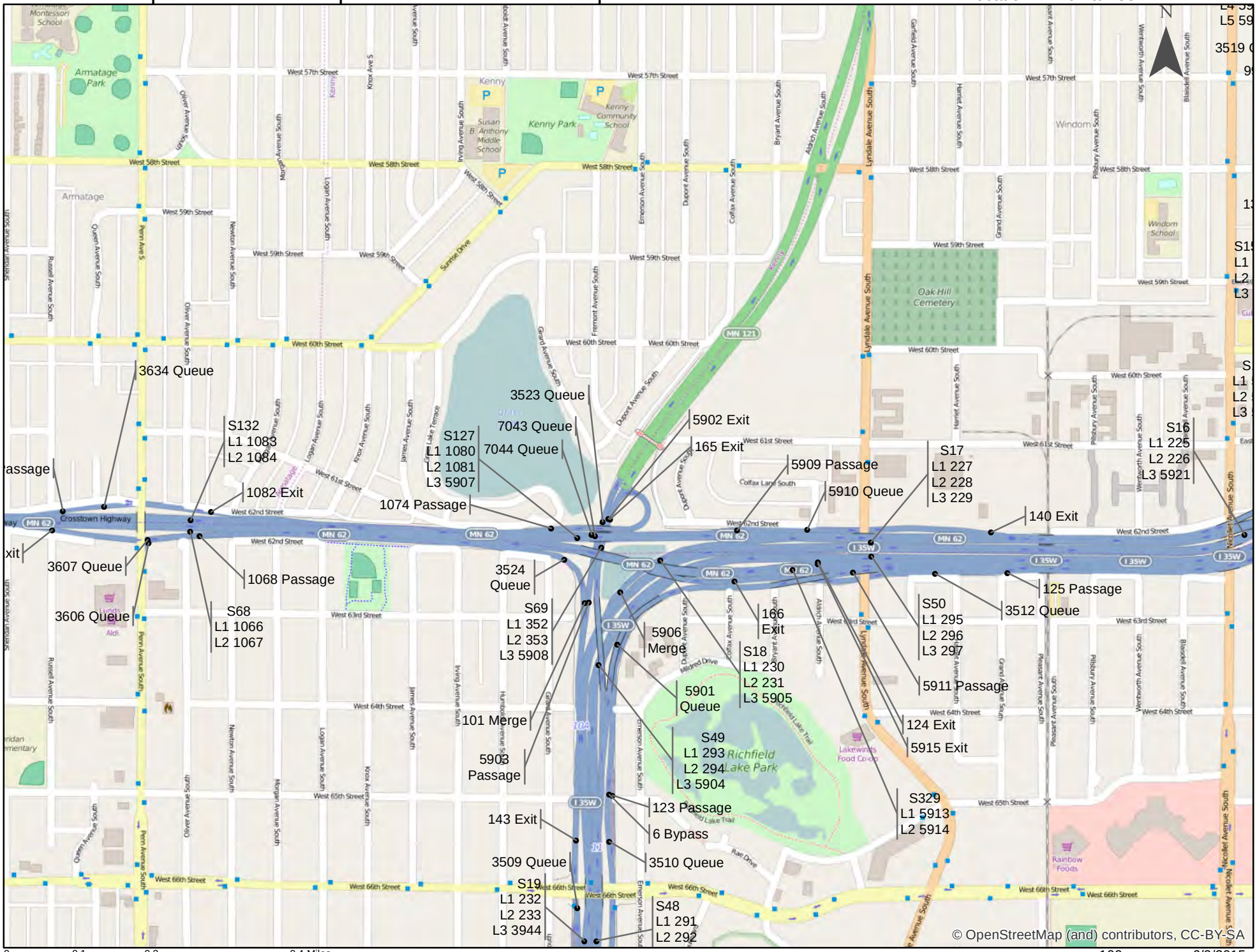

0 0.1 0.2 0.4 Miles

Minnesota Department of Transportation All Detector Report 2015

Location: TH 62 & Bloomington Ave

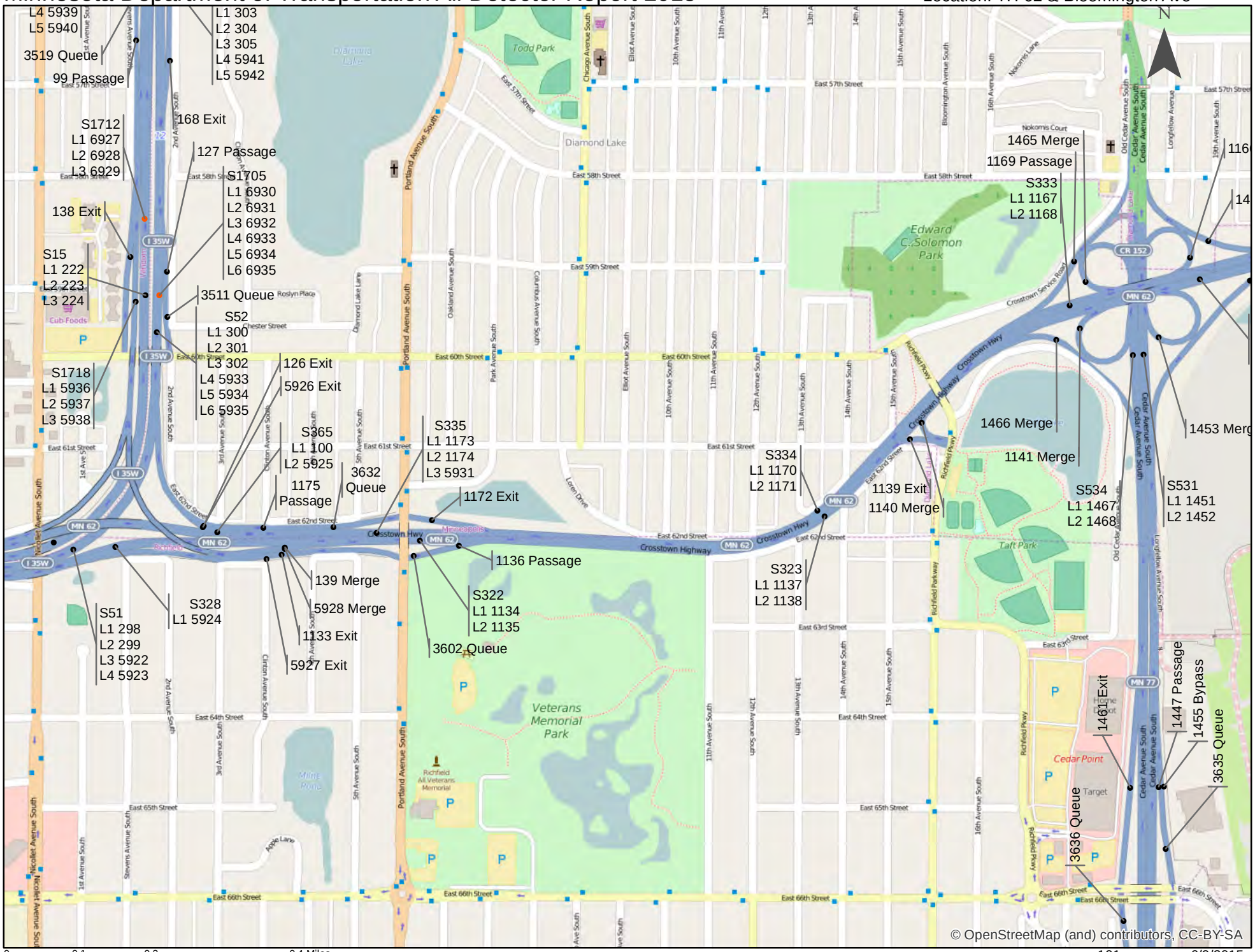

0 0.1 0.2 0.4 Miles

6/9/2015

Minnesota Department of Transportation All Detector Report 2015

Location: TH 62 & TH 77

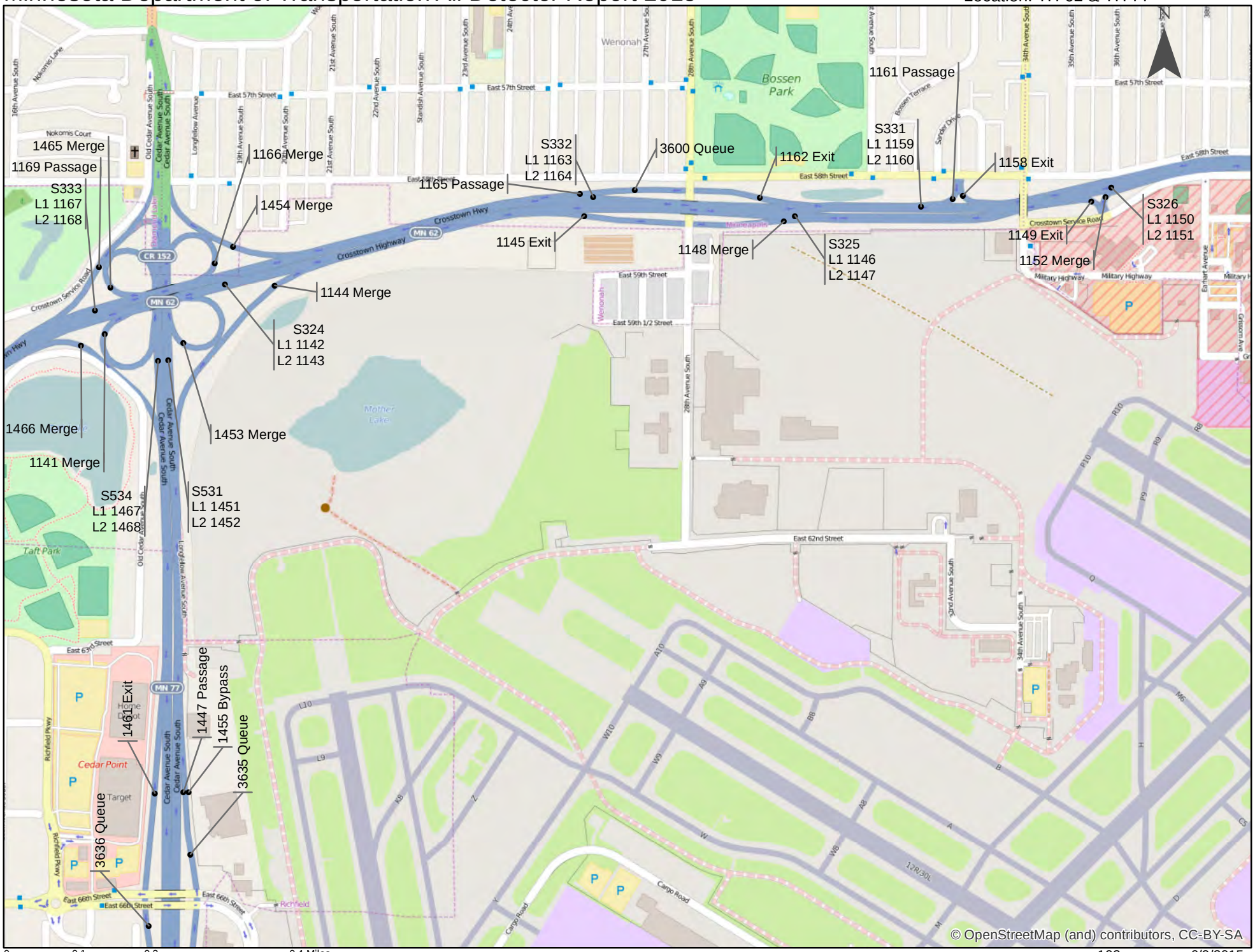

0 0.1 0.2 0.4 Miles

Minnesota Department of Transportation All Detector Report 2015

Location: TH 62 & TH 55

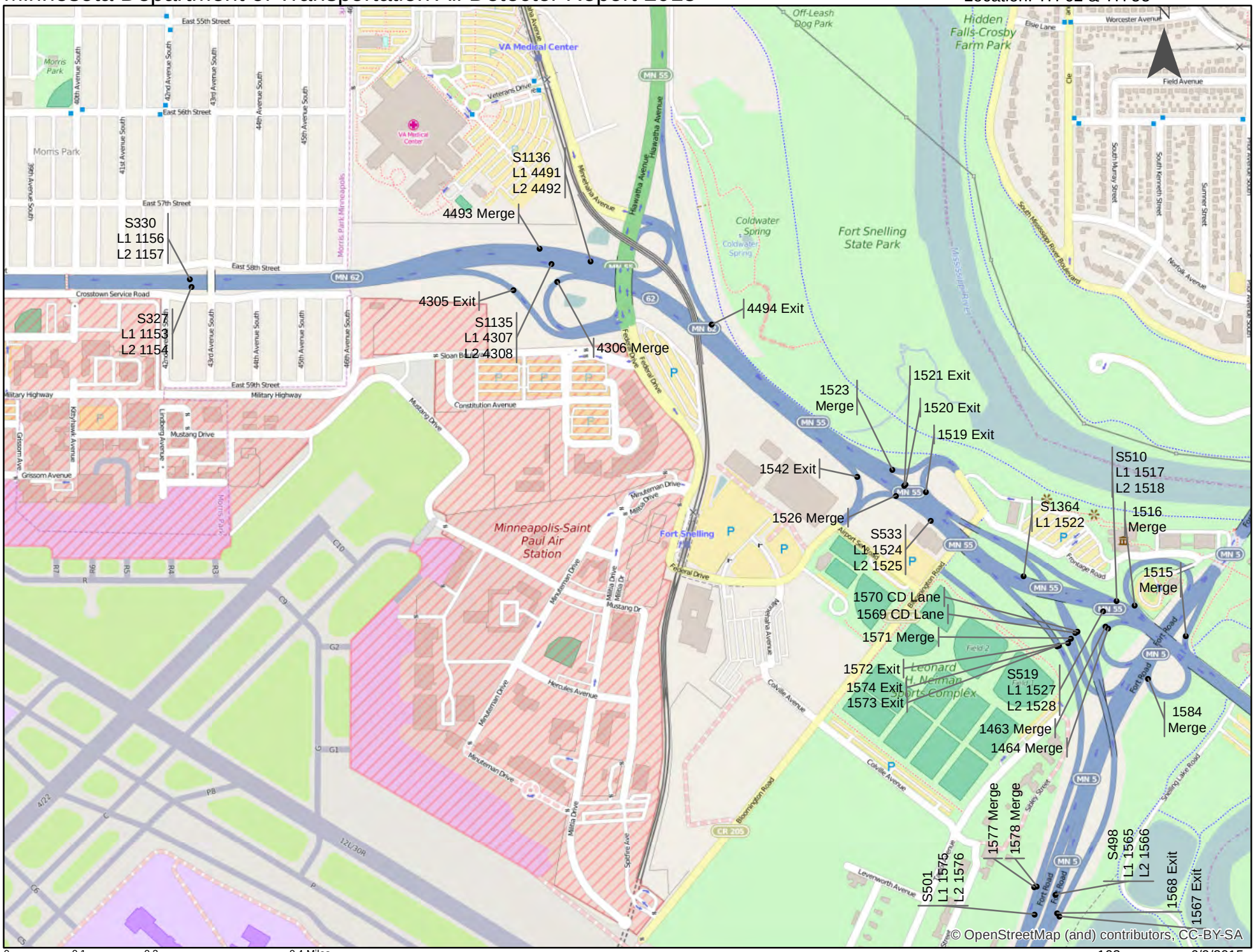

0 0.1 0.2 0.4 Miles

6/9/2015

Location: TH 55 & TH 110

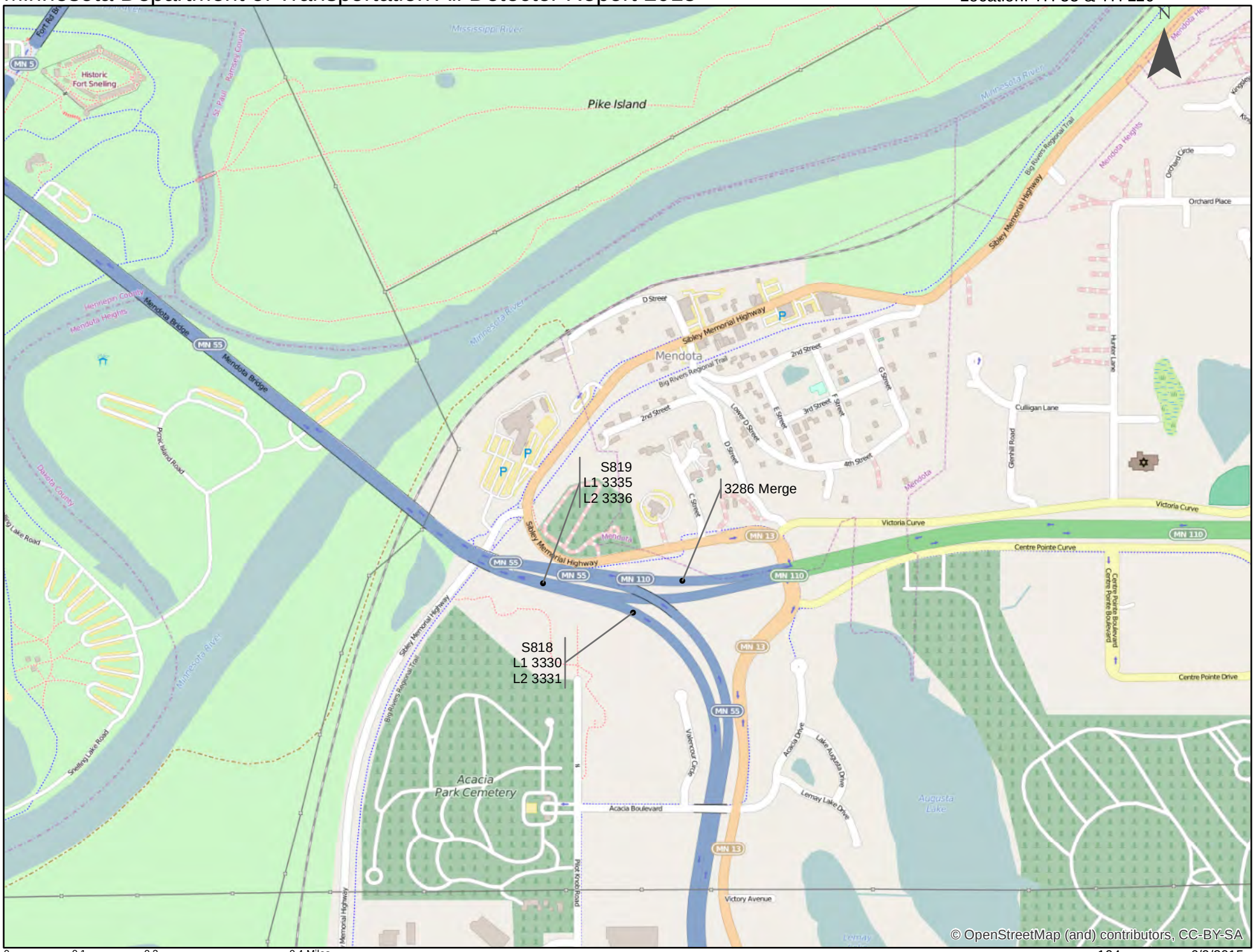

0 0.1 0.2 0.4 Miles

Minnesota Department of Transportation All Detector Report 2015

Location: TH 77 & I-35E

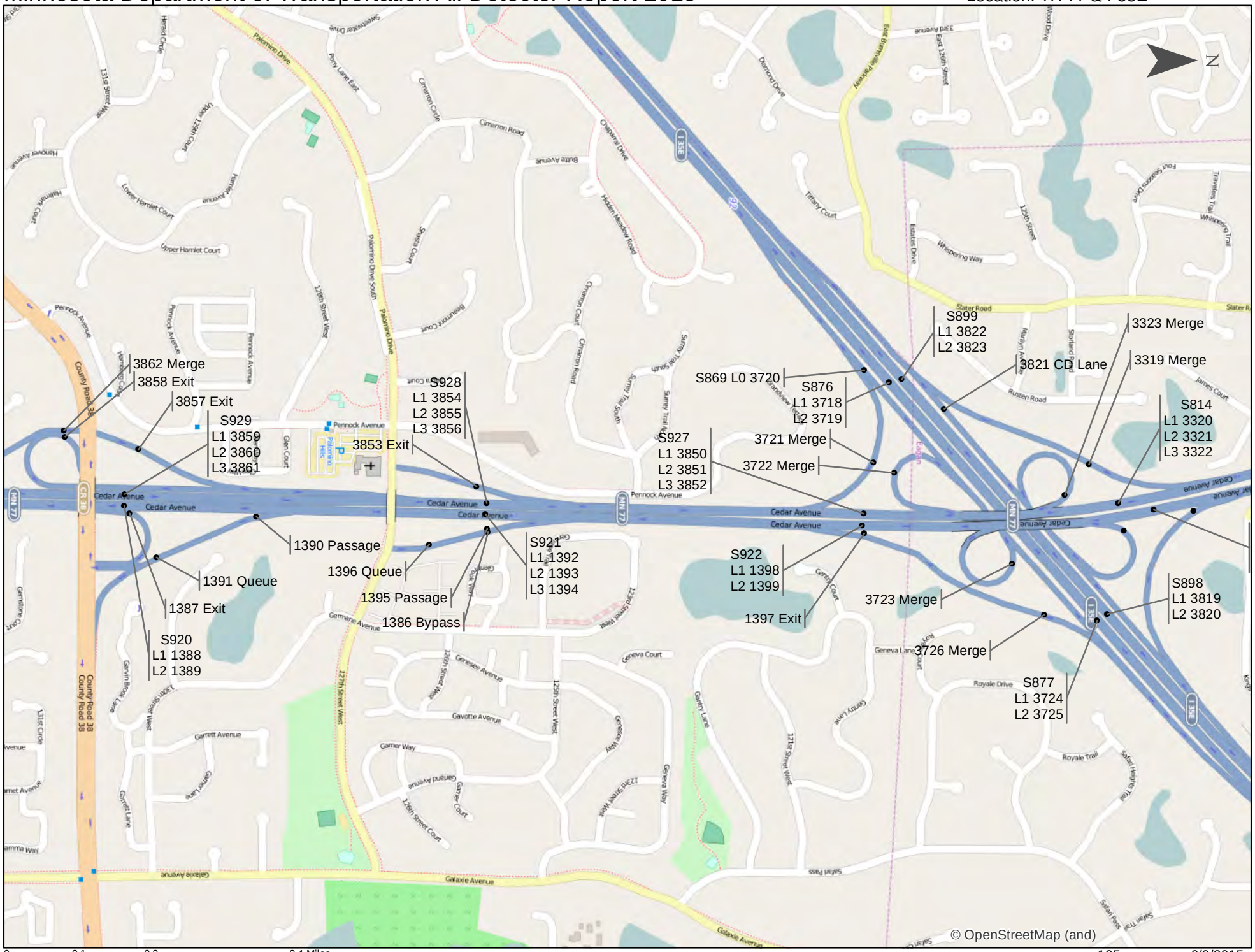

0 0.1 0.2 0.4 Miles

6/9/2015

Location: TH 77 & Cliff Rd

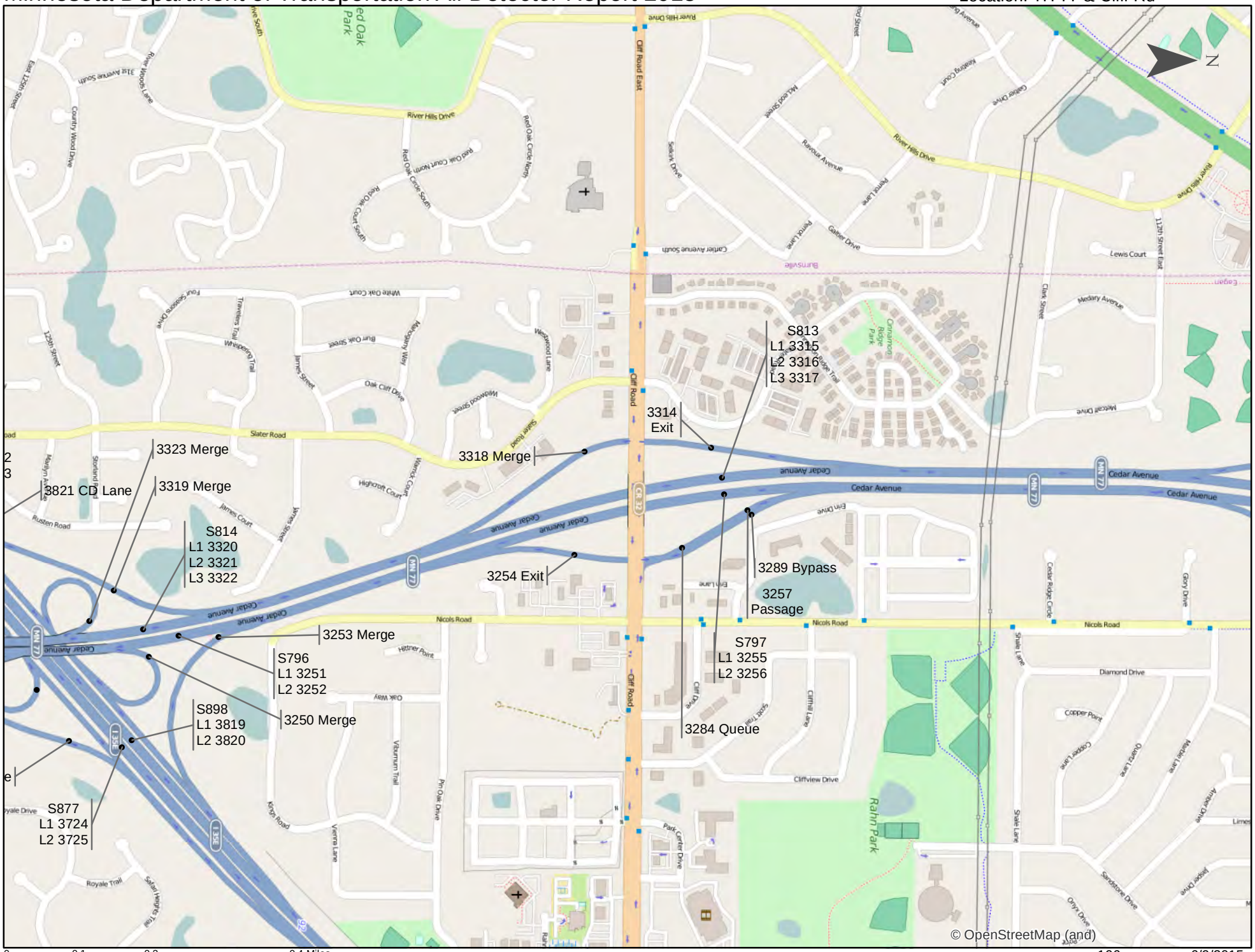

0 0.1 0.2 0.4 Miles

Minnesota Department of Transportation All Detector Report 2015

Location: TH 77 & TH 13

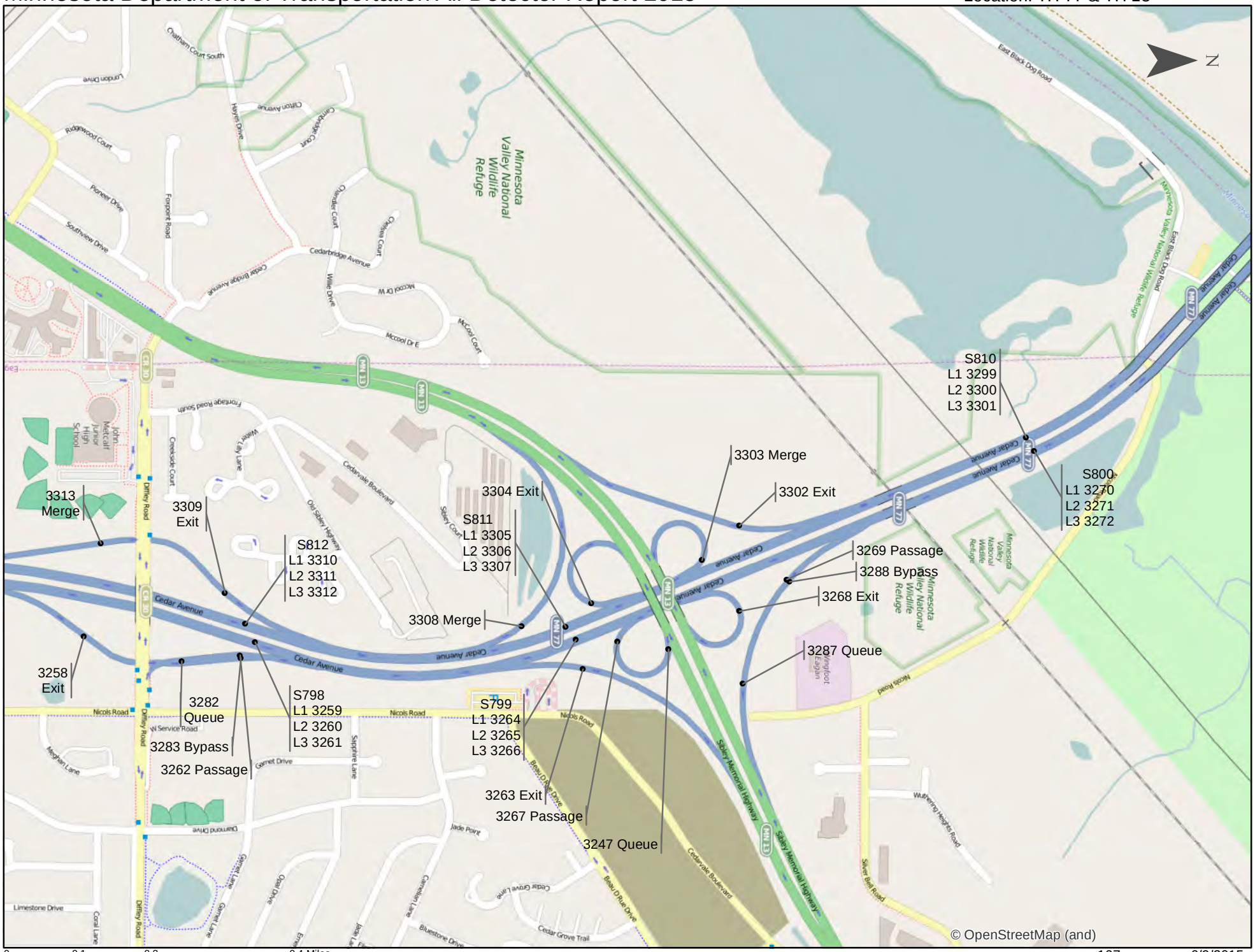

0 0.1 0.2 0.4 Miles

Location: TH 77 & Old Shakopee Rd

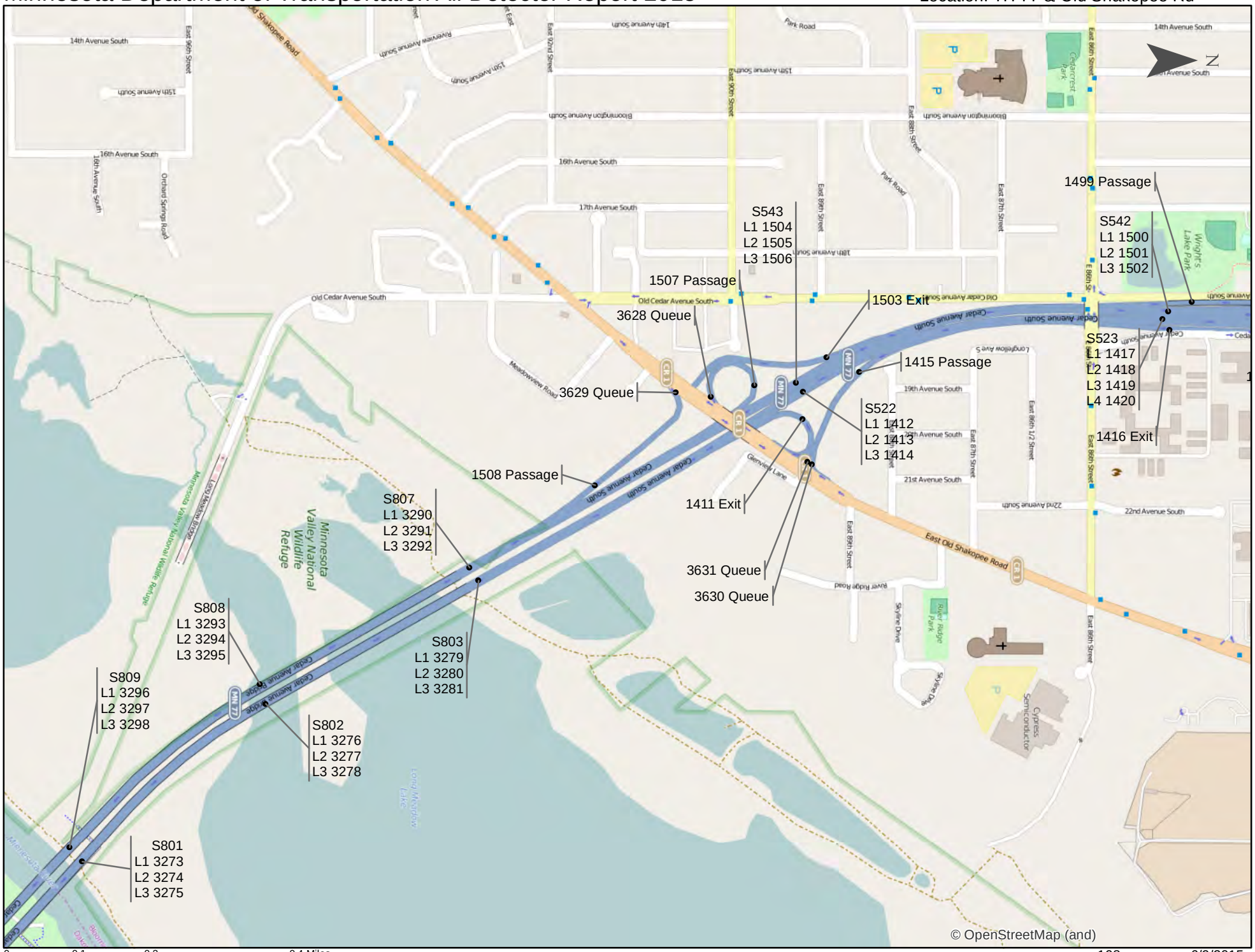

0 0.1 0.2 0.4 Miles

Minnesota Department of Transportation All Detector Report 2015

Location: Th 77 & I-494

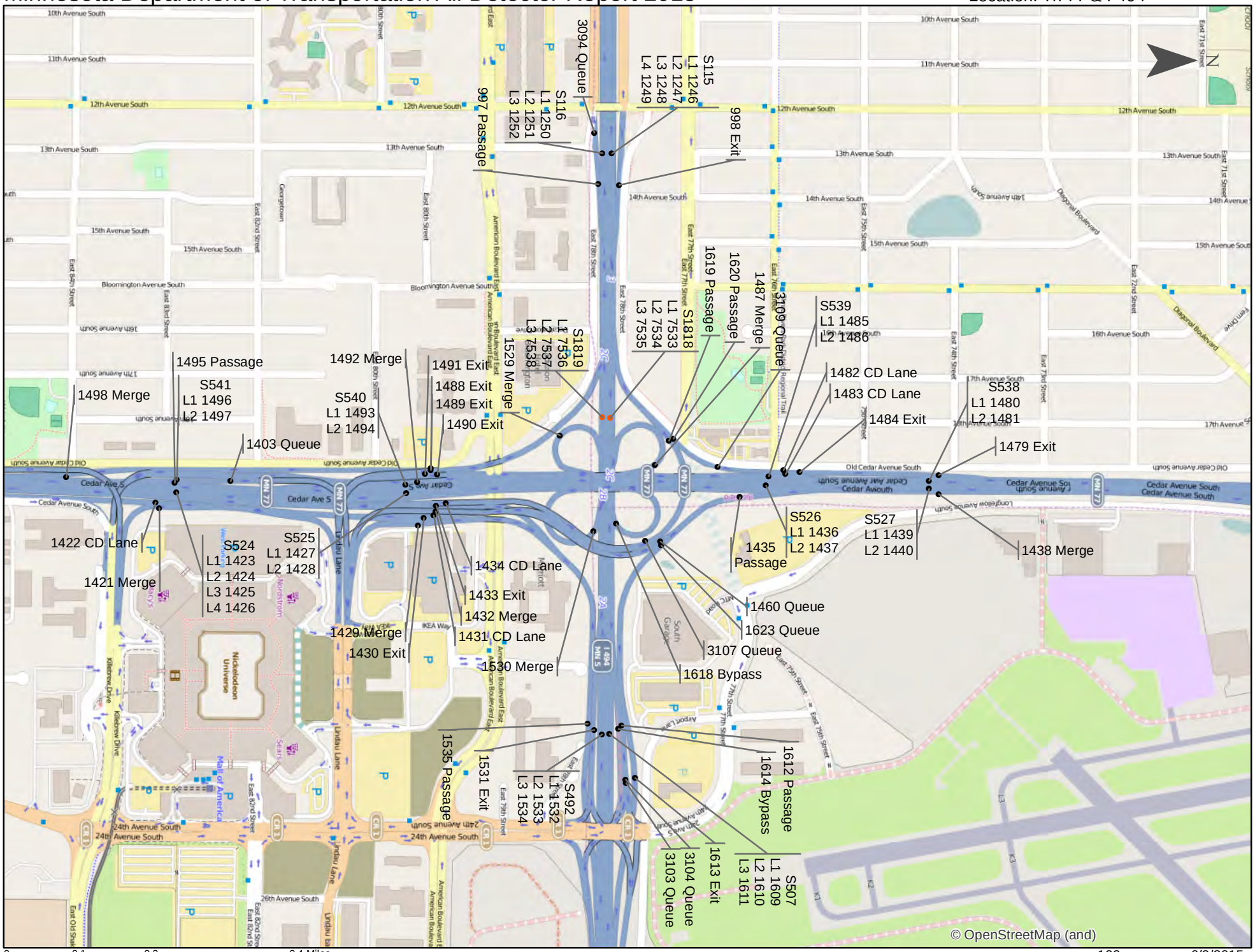

0 0.1 0.2 0.4 Miles

Minnesota Department of Transportation All Detector Report 2015

Location: TH 77 & TH 62

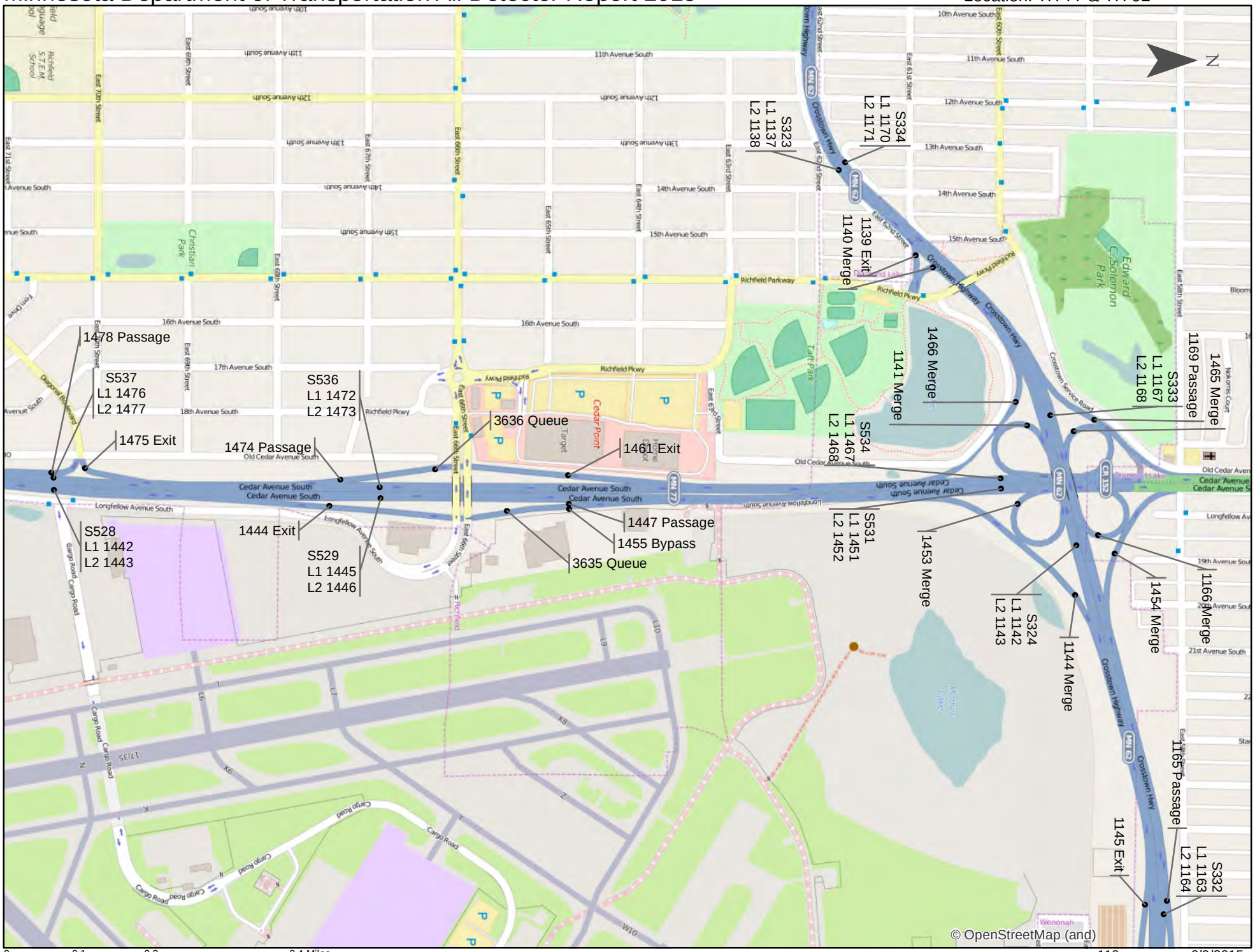

0 0.1 0.2 0.4 Miles

6/9/2015

Location: I-94 & TH 101

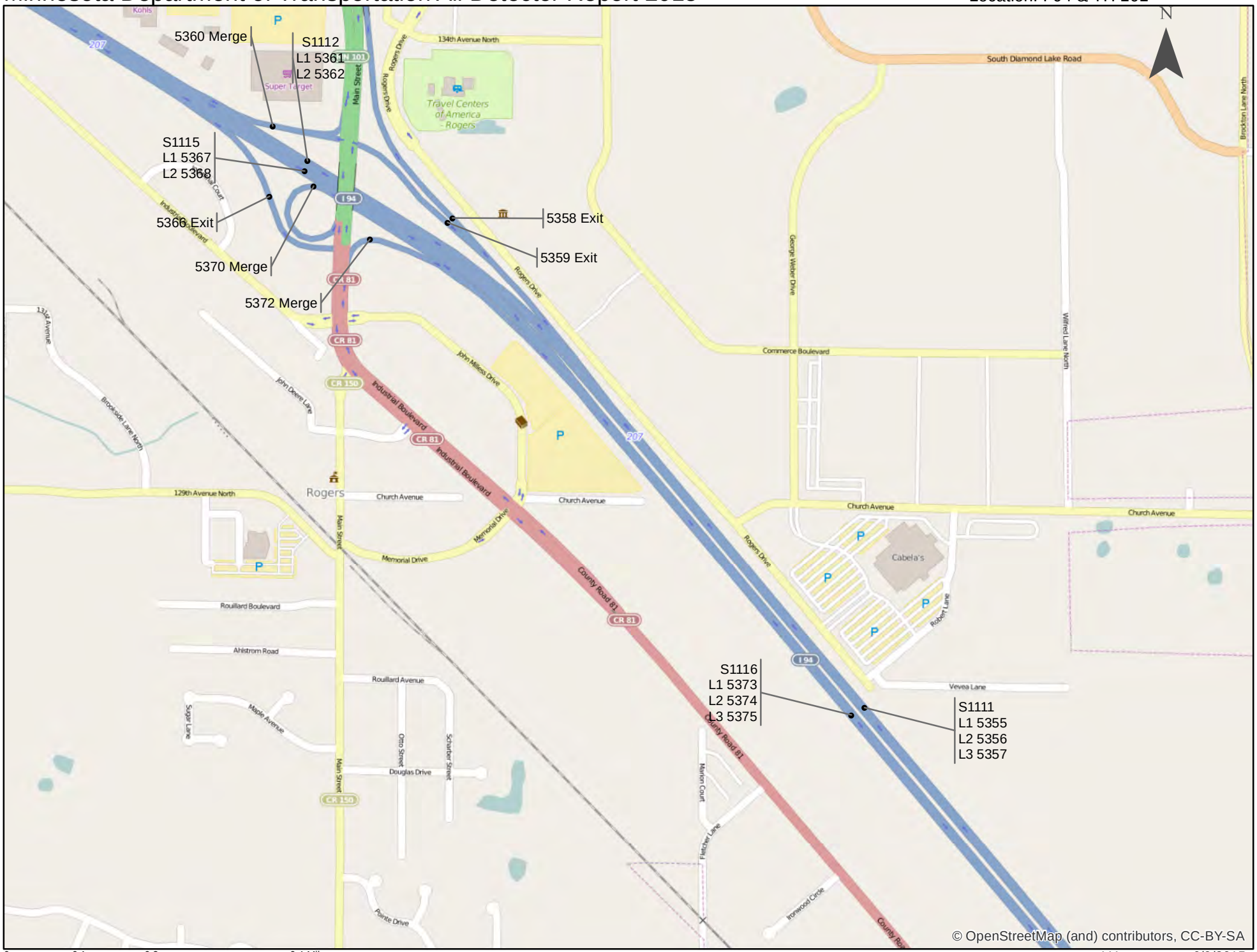

Minnesota Department of Transportation All Detector Report 2015

Location: I-94 & Brokton Ln

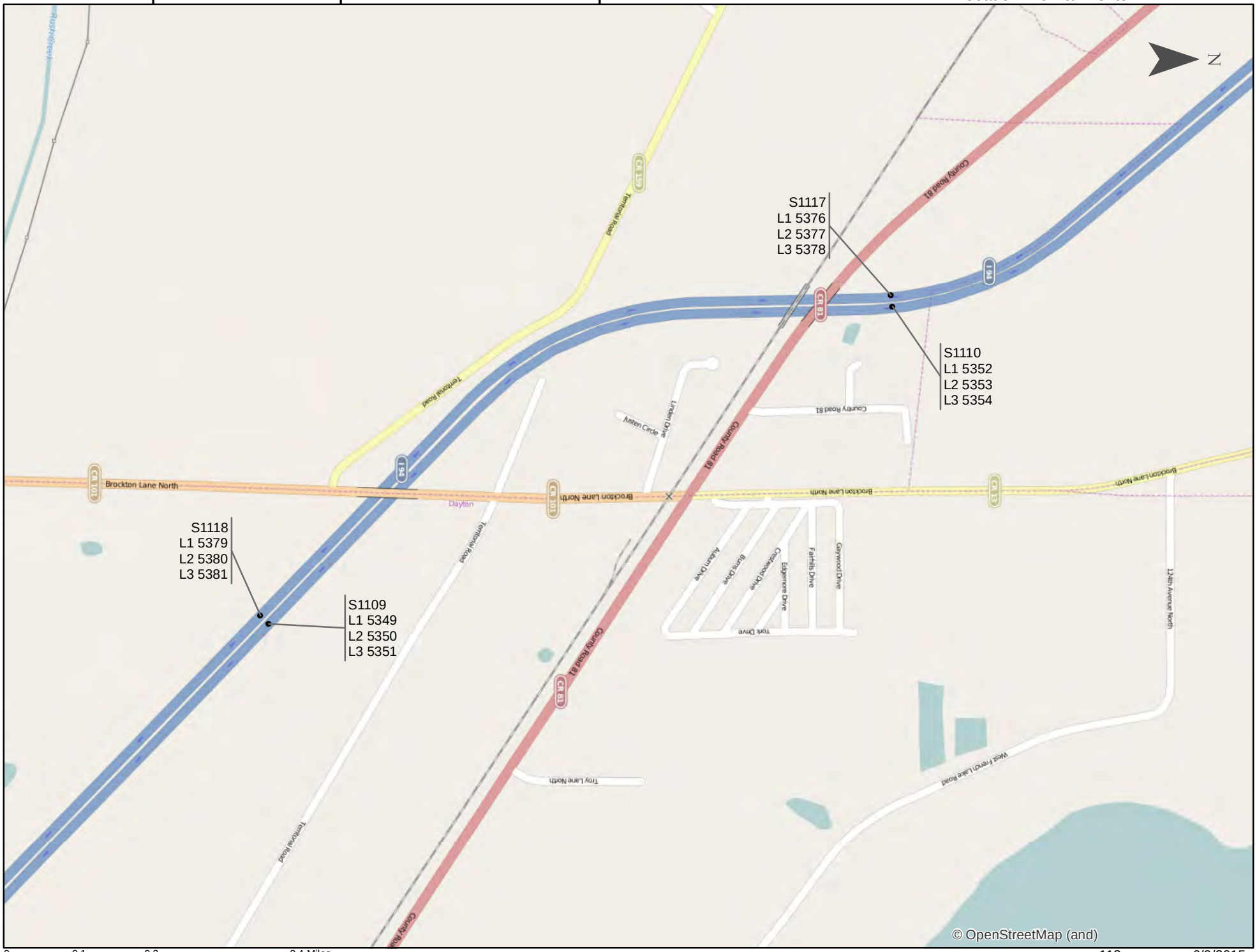

0 0.1 0.2 0.4 Miles

Location: I-94 & Rush Creek

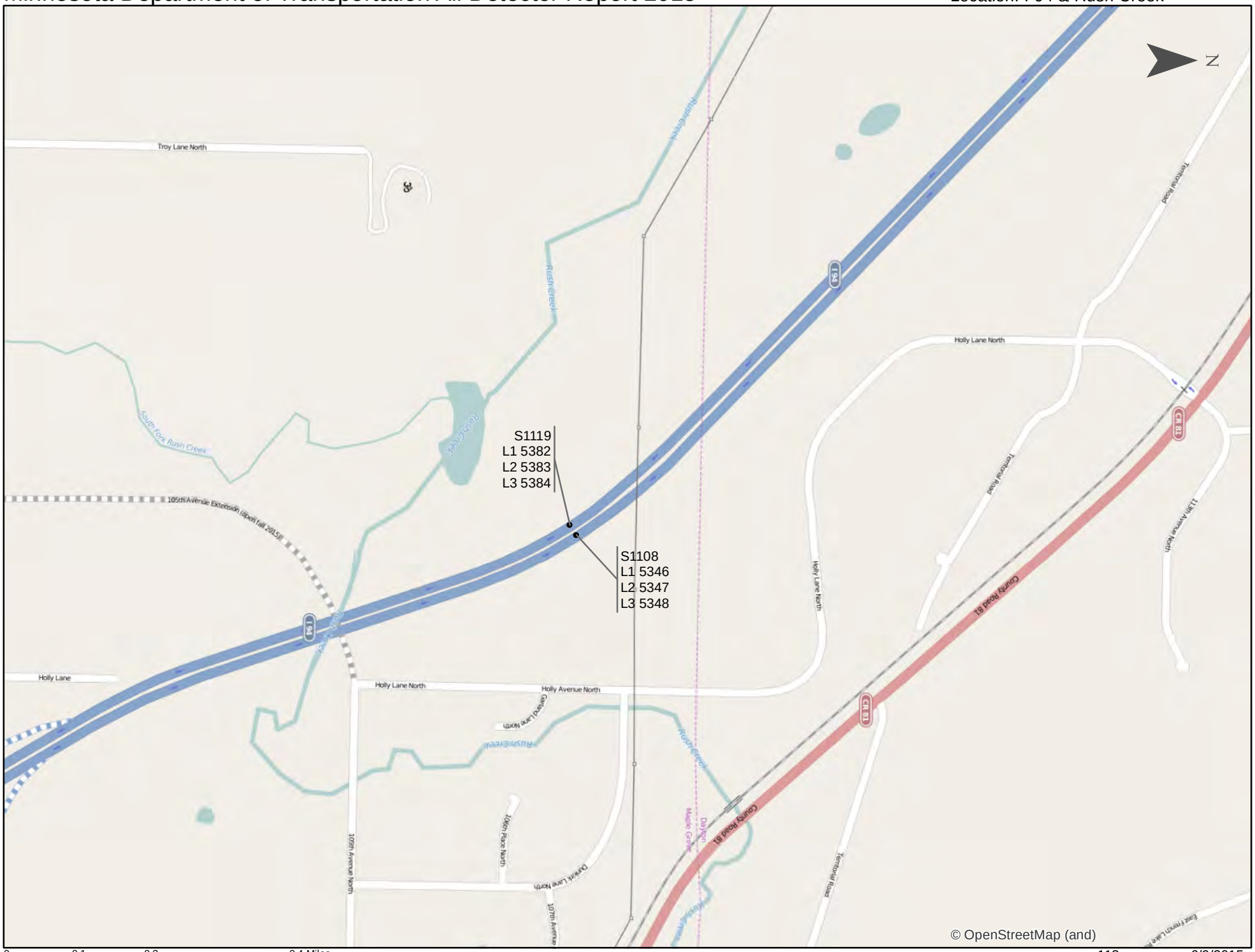

0 0.1 0.2 0.4 Miles

Location: I-94 & 93rd Ave N

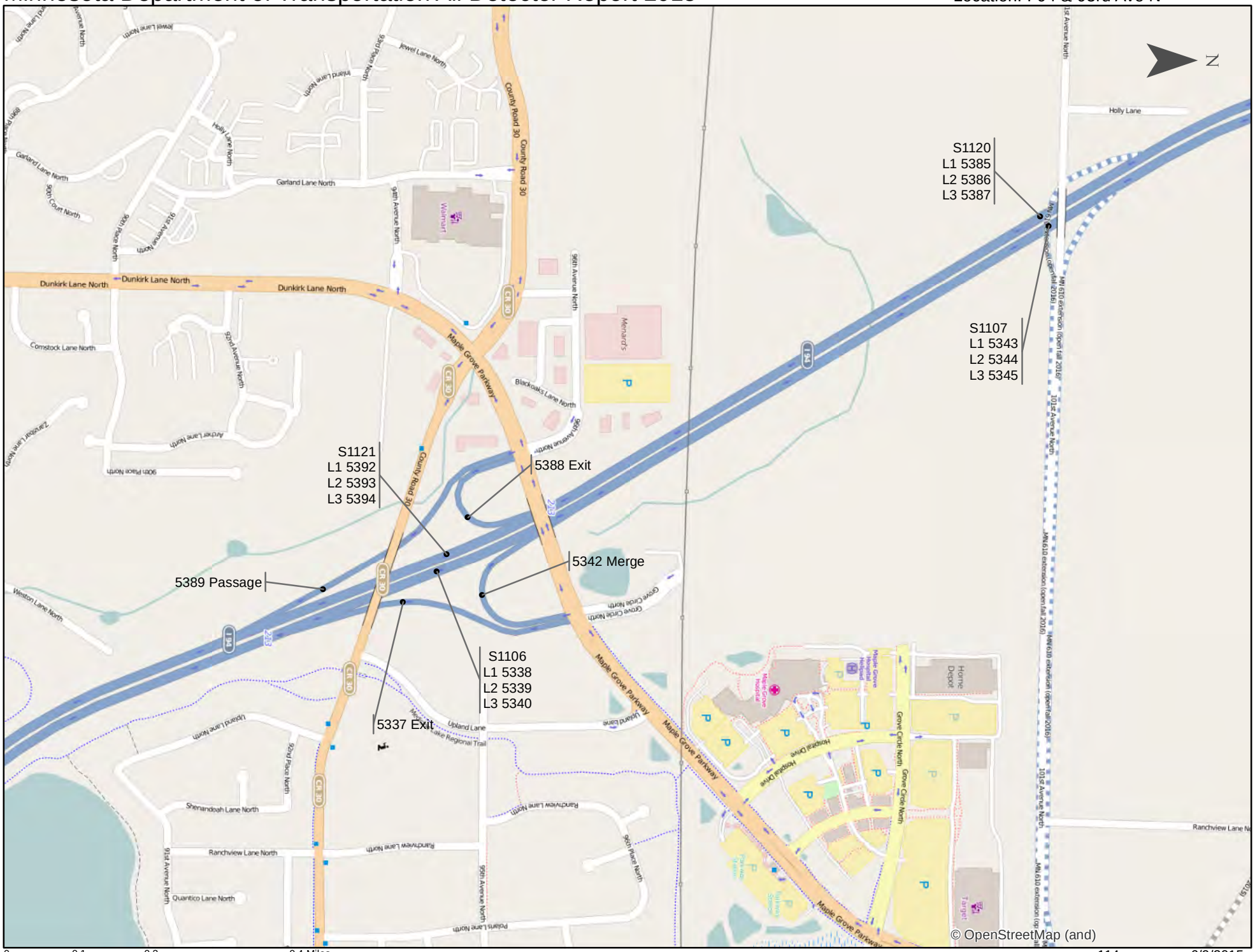

0 0.1 0.2 0.4 Miles

Location: I-94 & Weaver Lake Rd

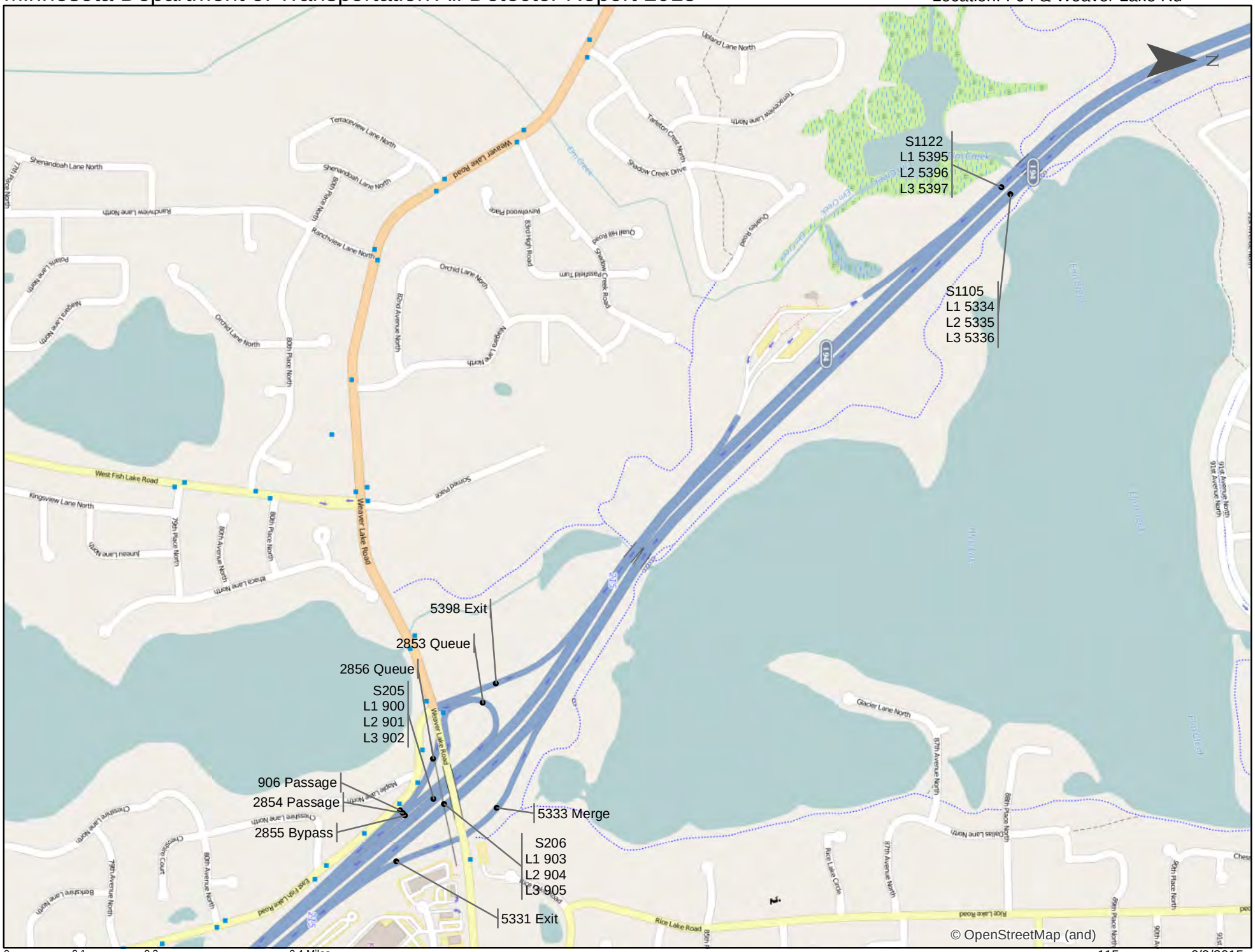

0 0.1 0.2 0.4 Miles

Minnesota Department of Transportation All Detector Report 2015

Location: I-94 & I-494 & I-694 Split in Maple Grove

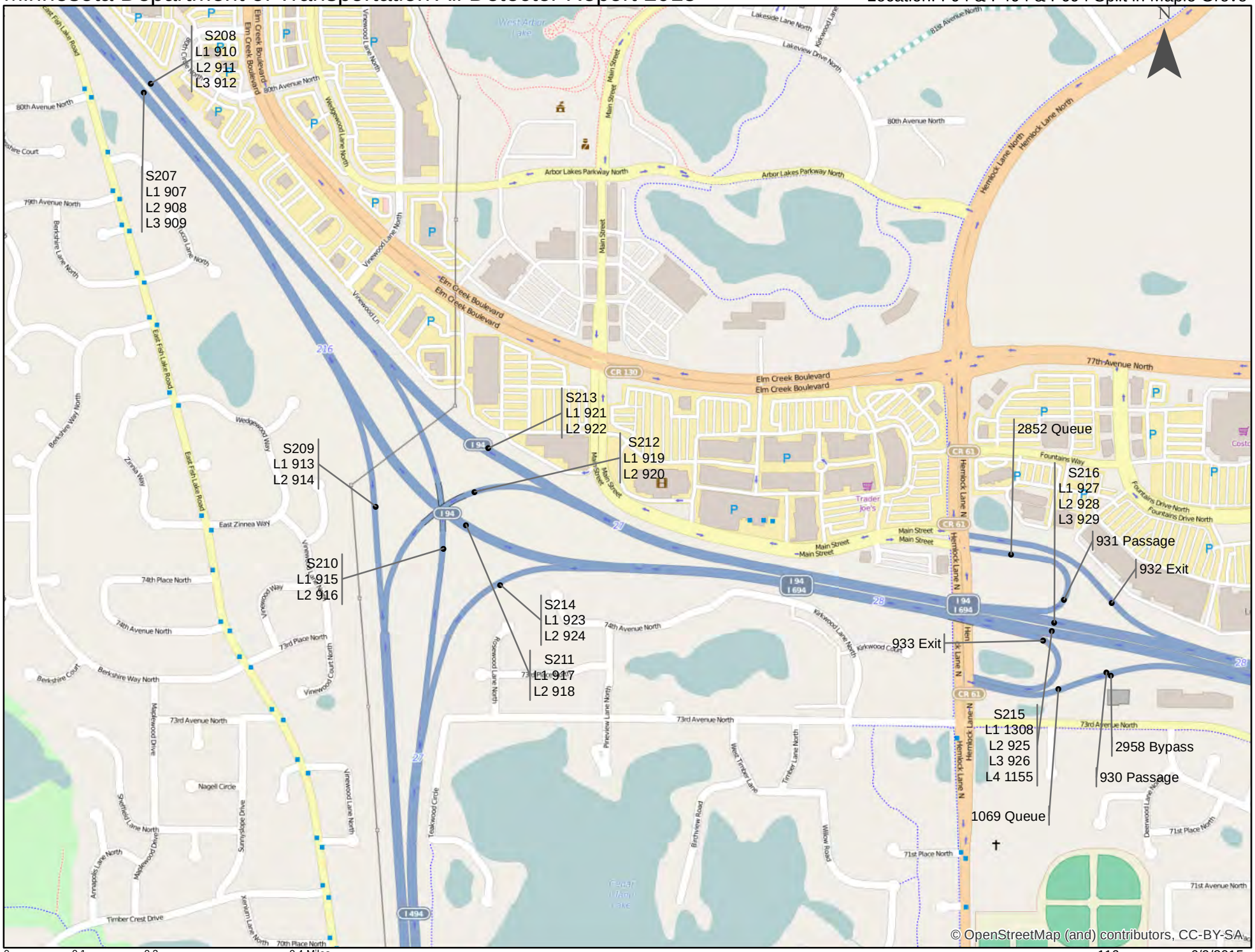

0 0.1 0.2 0.4 Miles

Minnesota Department of Transportation All Detector Report 2015

Location: I-94 & US 169

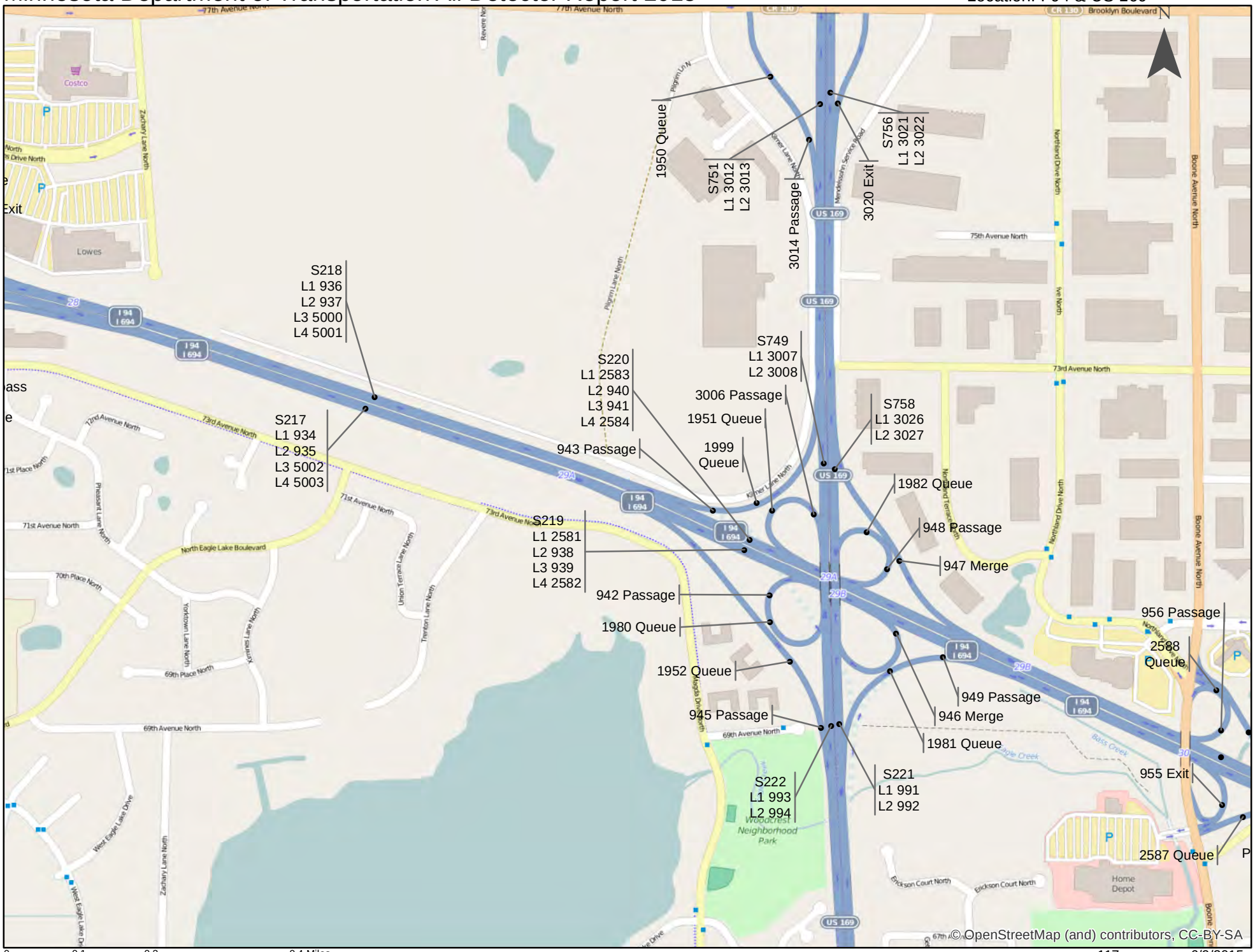

6/9/2015

Minnesota Department of Transportation All Detector Report 2015

Location: I-94 & CR 81

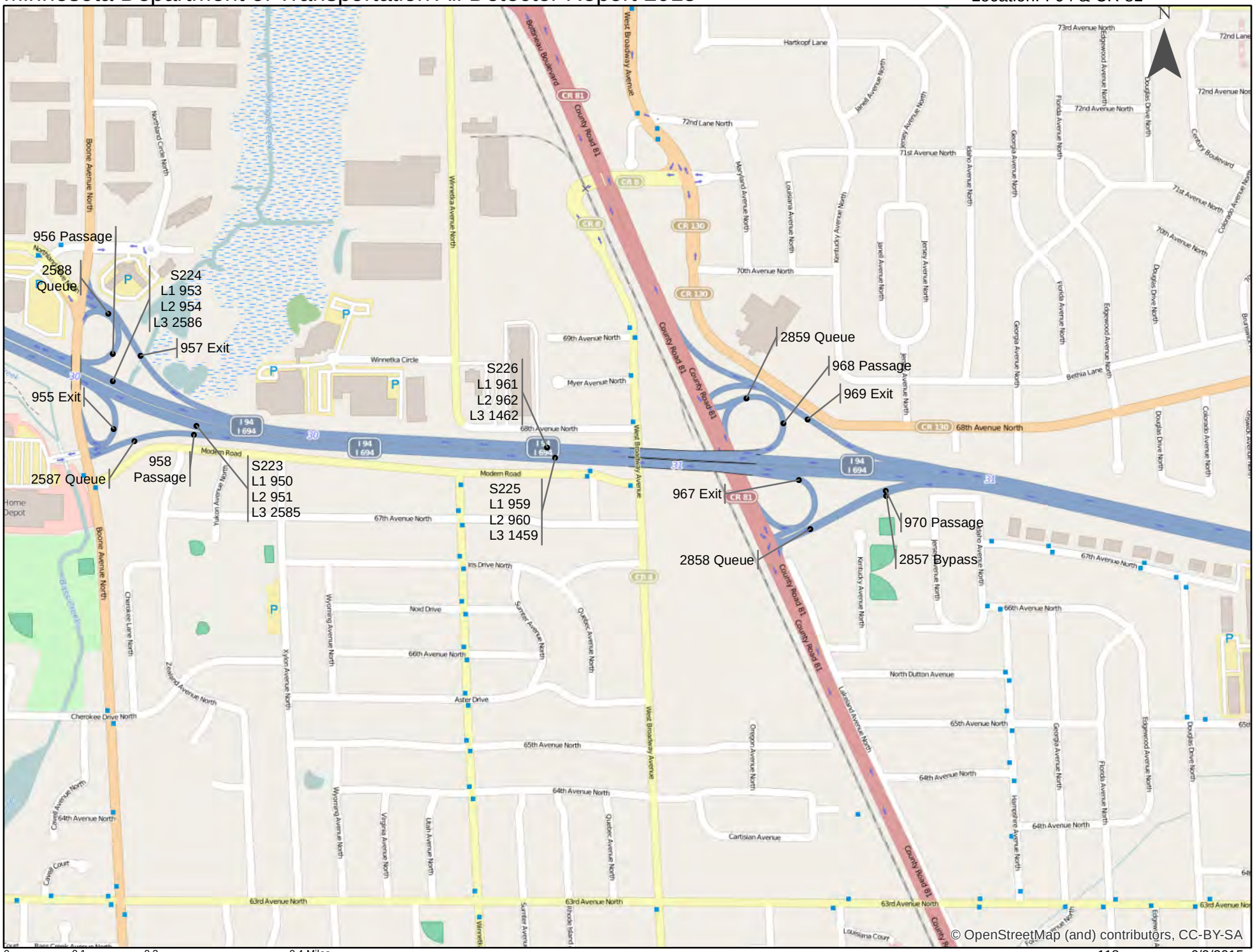

0 0.1 0.2 0.4 Miles

Minnesota Department of Transportation All Detector Report 2015

Location: I-94 & Brooklyn Blvd

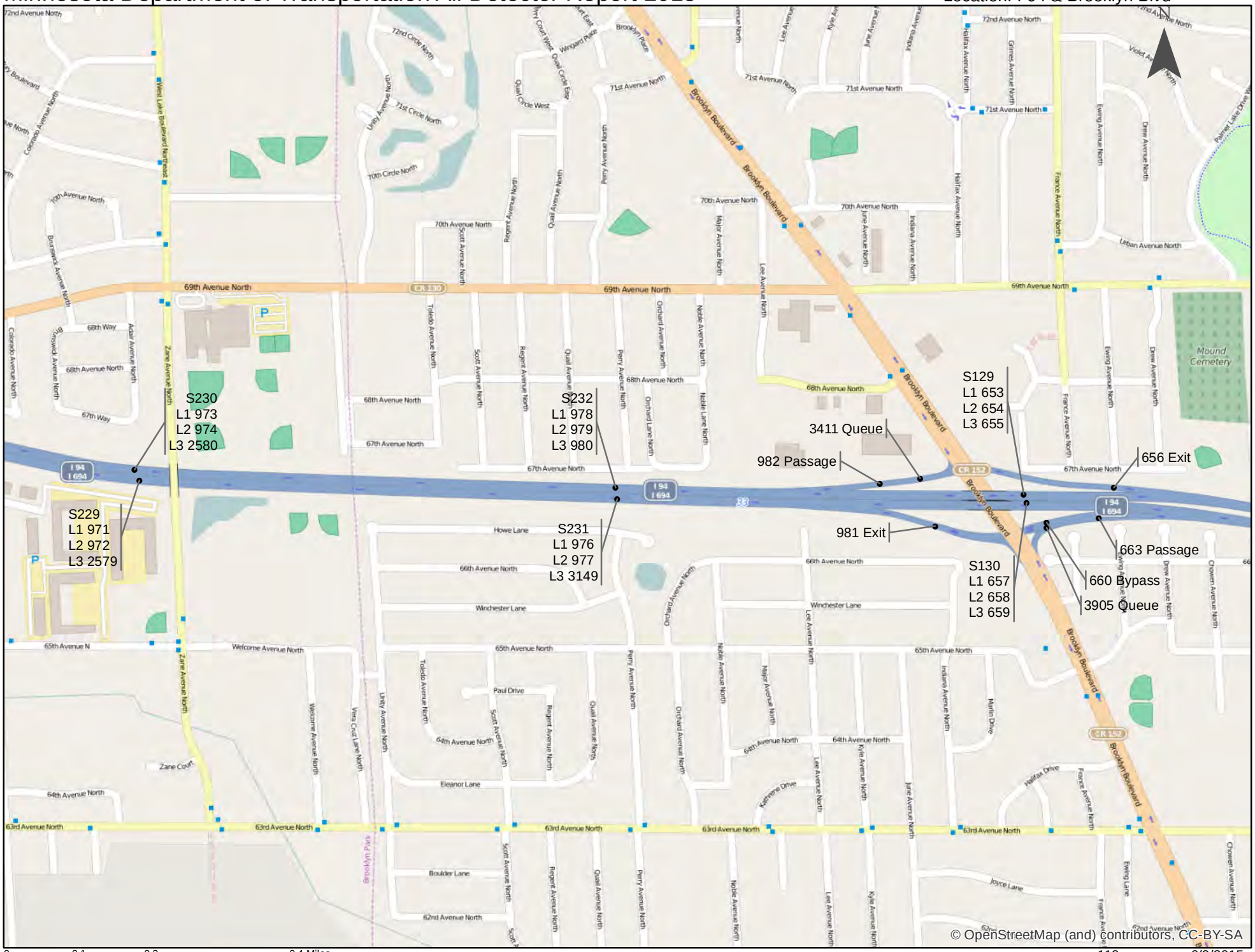

0 0.1 0.2 0.4 Miles

Location: I-94 & TH 100

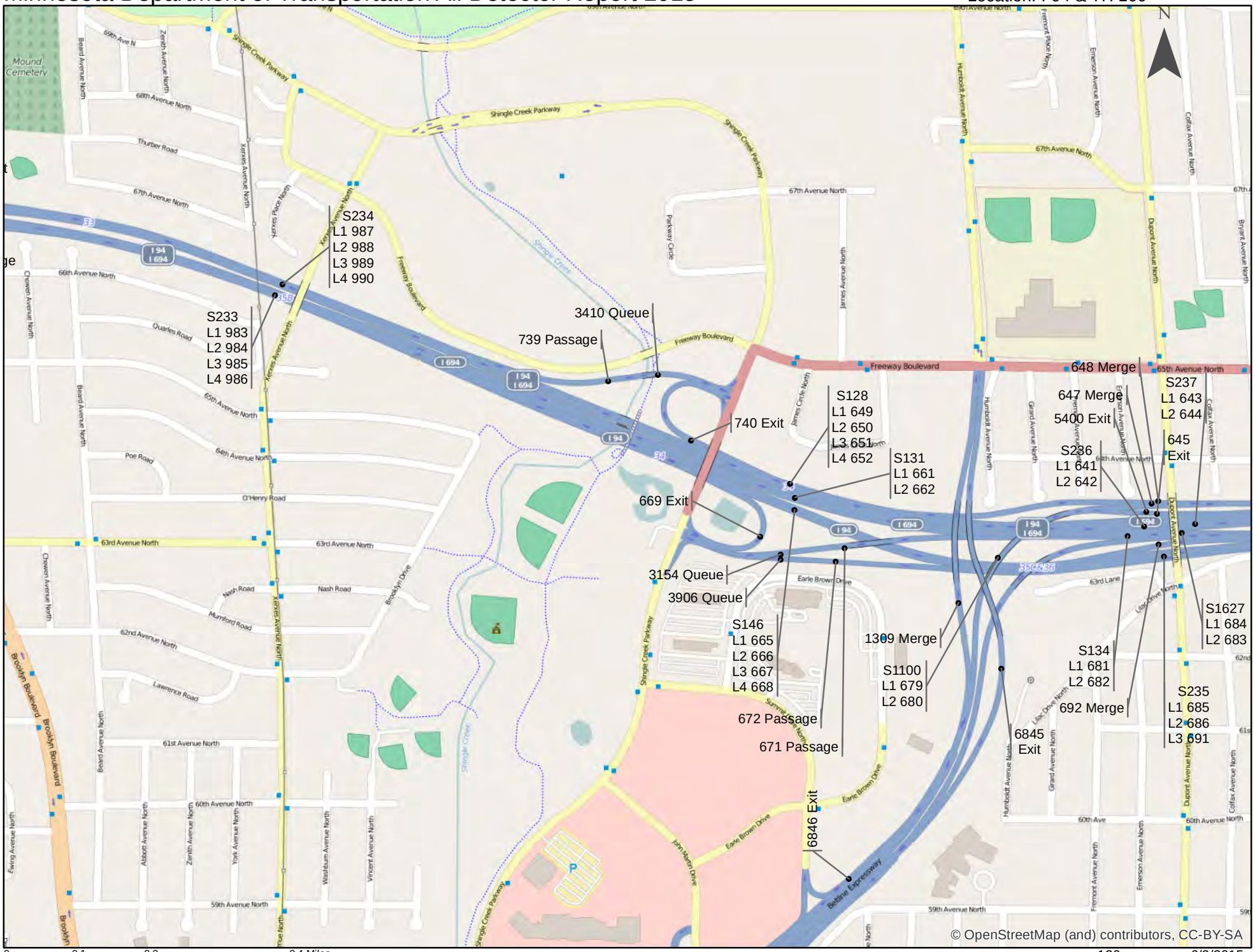

0 0.1 0.2 0.4 Miles

Location: I-94 & 57th Ave

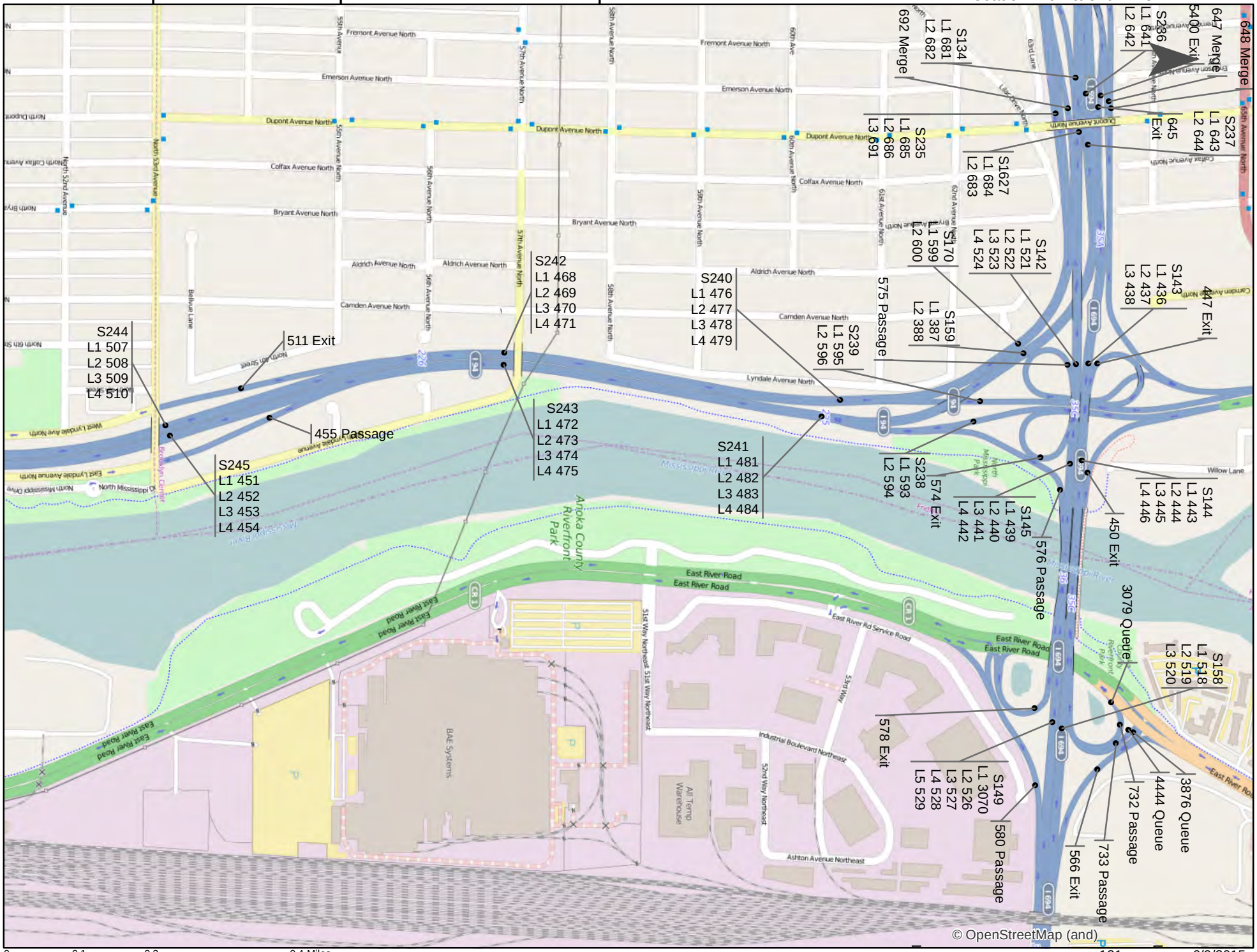

0 0.1 0.2 0.4 Miles

Location: I-94 & 49th Ave

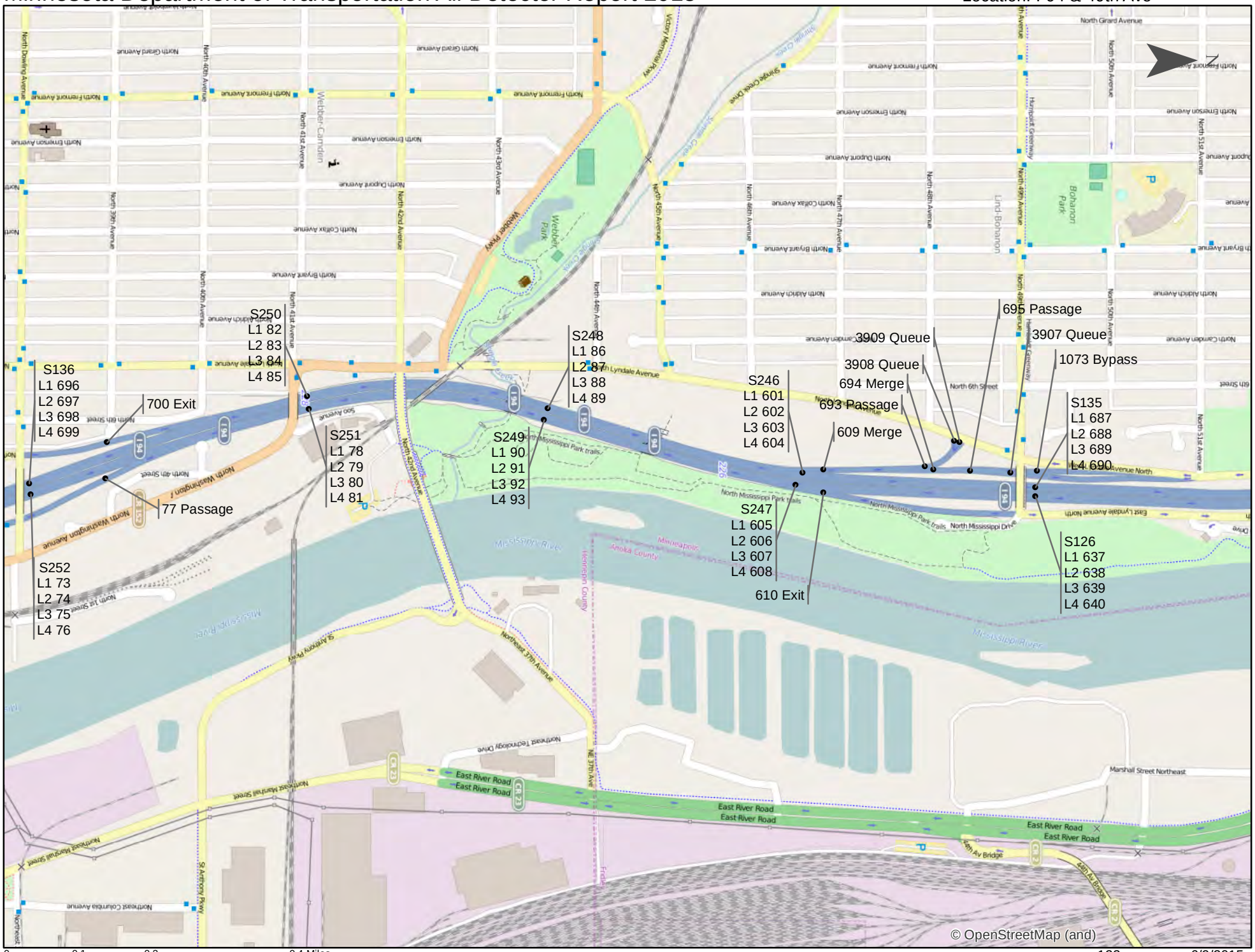

0 0.1 0.2 0.4 Miles

Minnesota Department of Transportation All Detector Report 2015

Location: I-94 & Lowry Ave

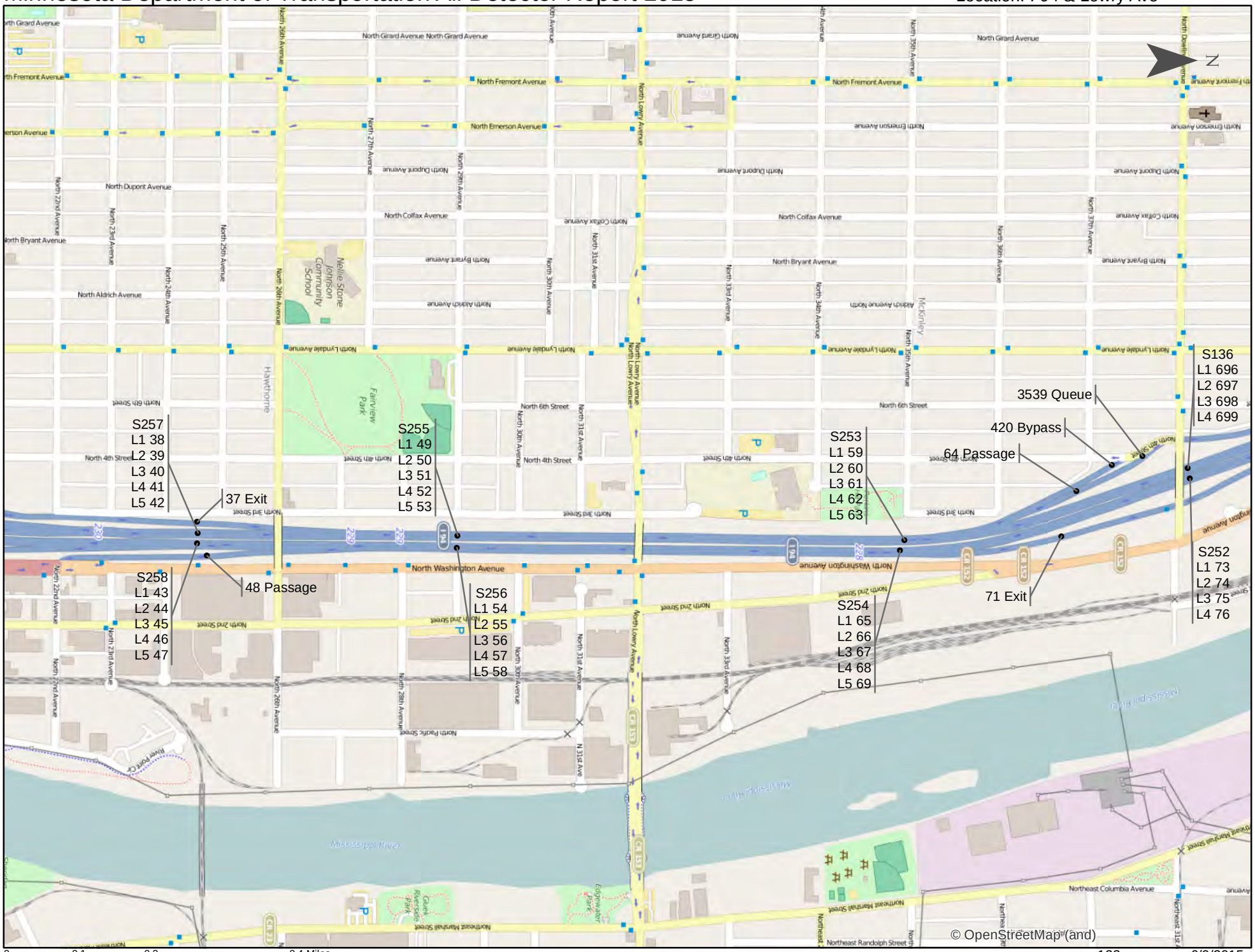

0 0.1 0.2 0.4 Miles

Minnesota Department of Transportation All Detector Report 2015

Location: I-94 & Broadway Ave

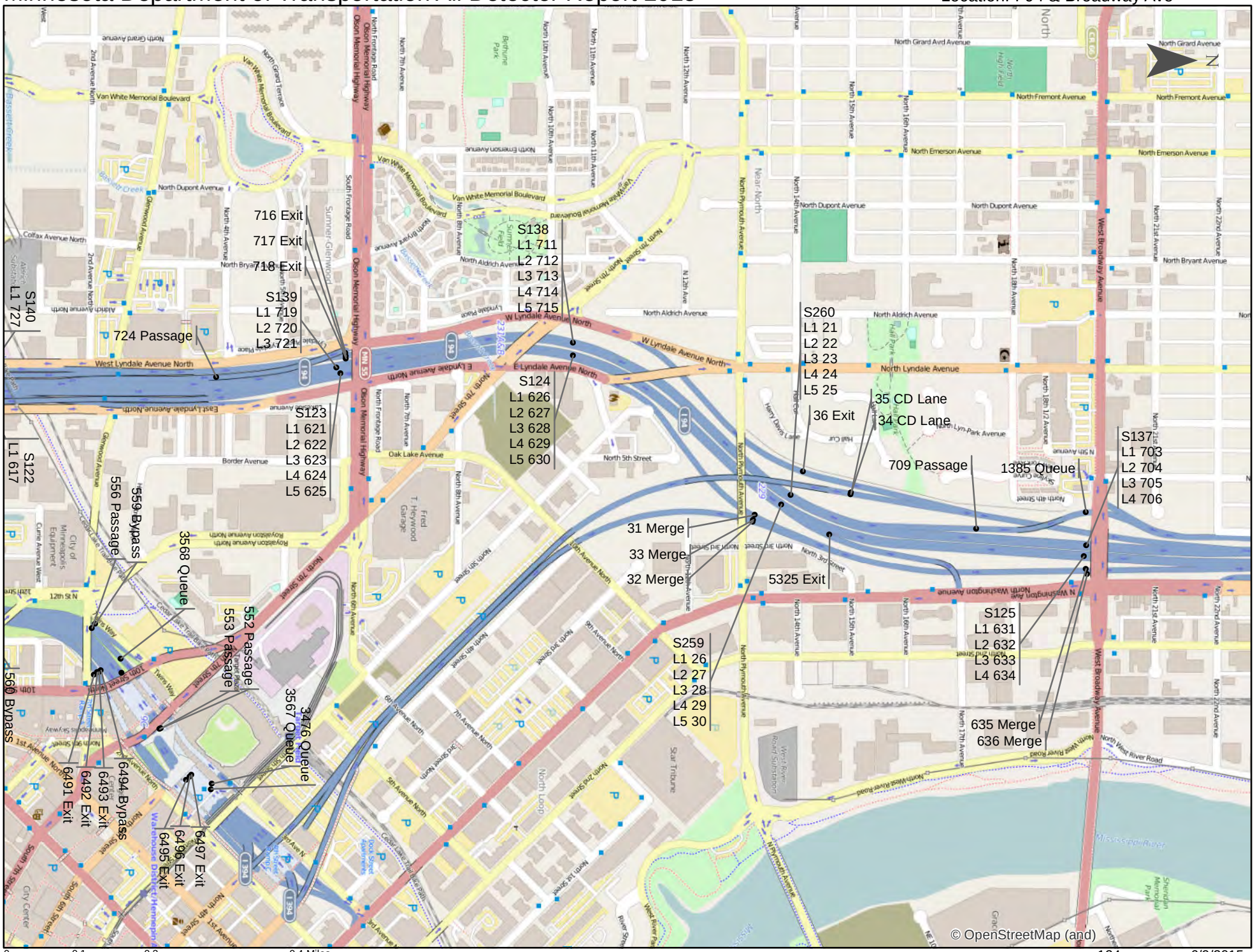

0 0.1 0.2 0.4 Miles

Minnesota Department of Transportation All Detector Report 2015

Location: I-94 & Lowry Hill Tunnel

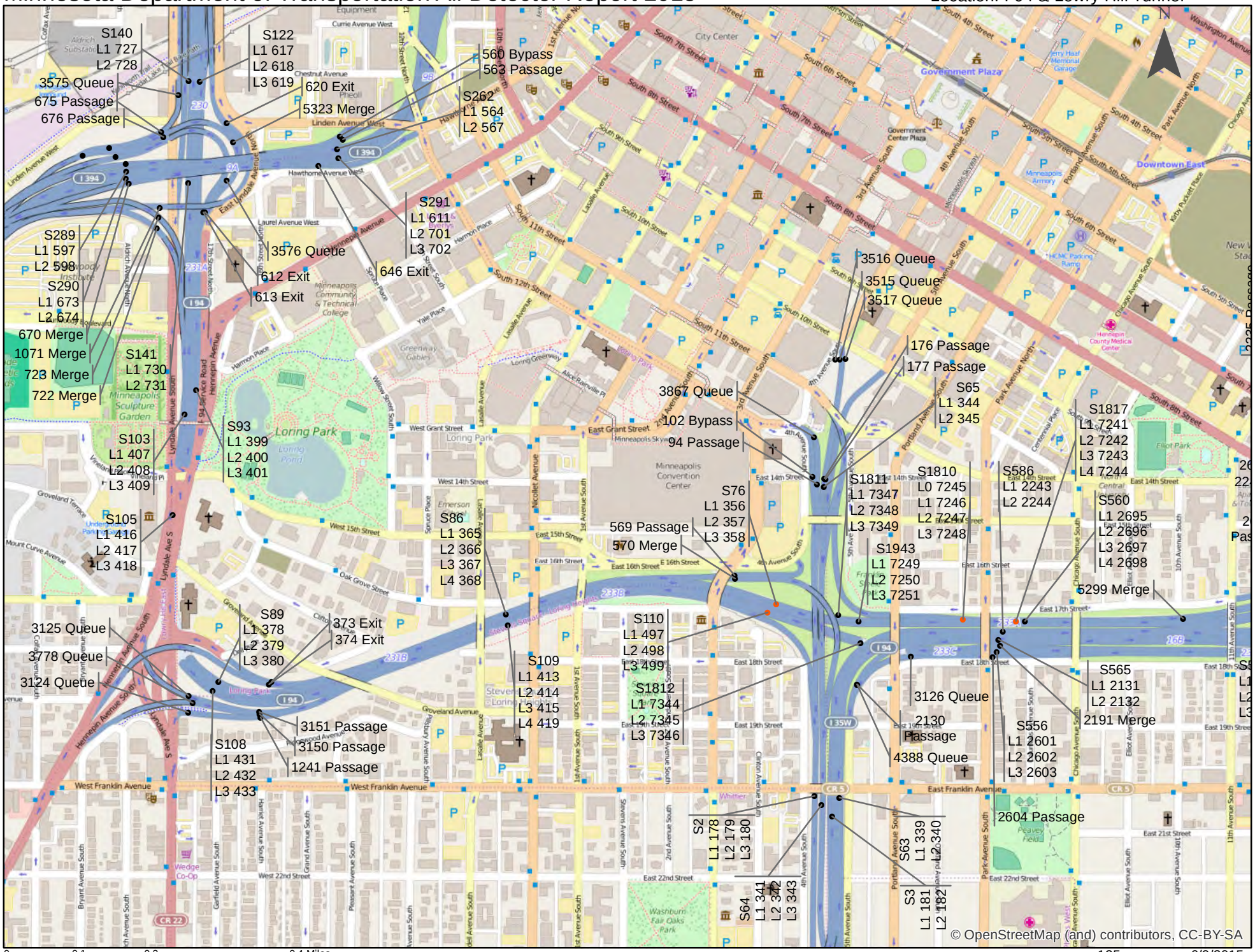

0 0.1 0.2 0.4 Miles

Minnesota Department of Transportation All Detector Report 2015

Location: I-94 & TH 55

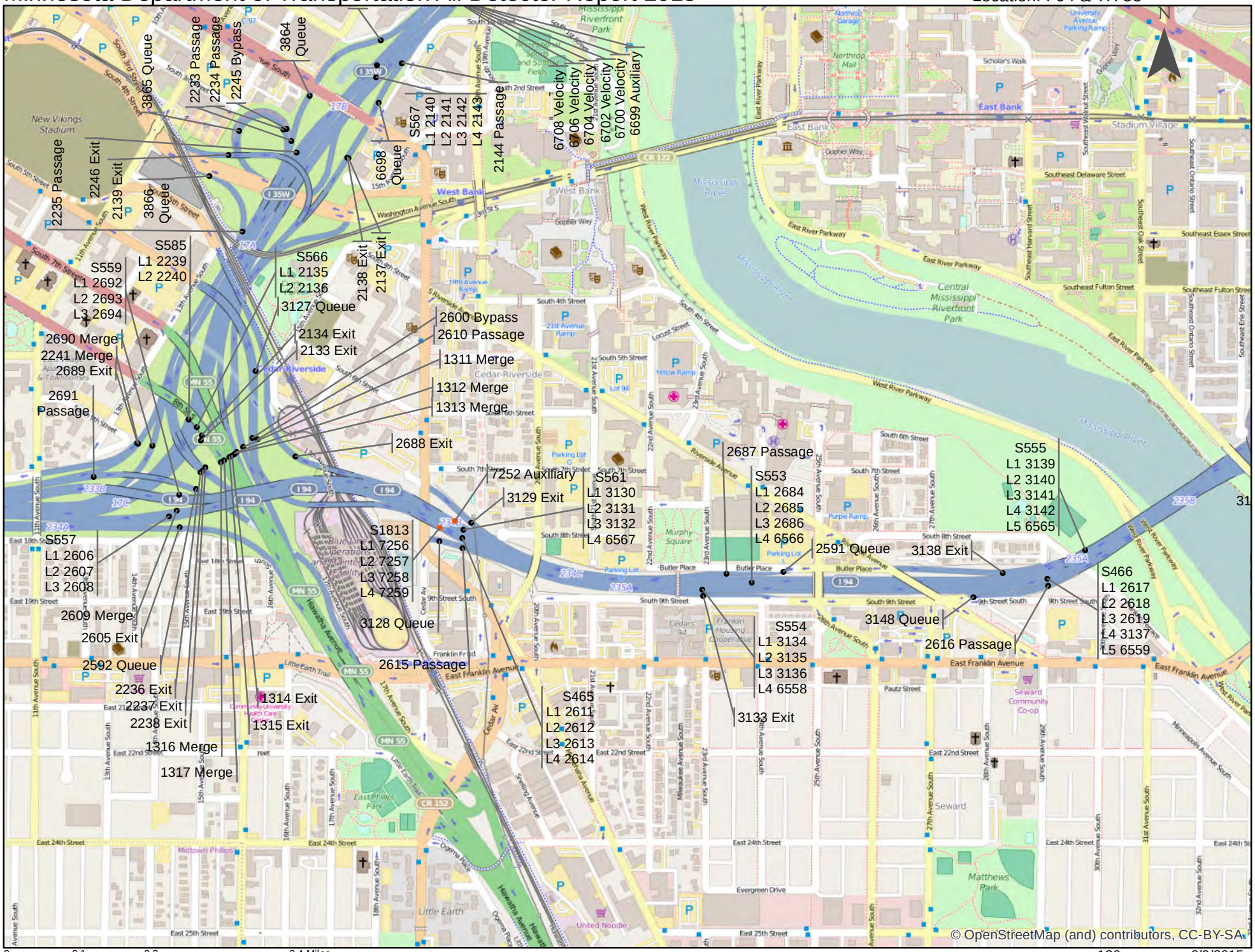

0 0.1 0.2 0.4 Miles

Minnesota Department of Transportation All Detector Report 2015

Location: I-94 & TH 280

0 0.1 0.2 0.4 Miles

Minnesota Department of Transportation All Detector Report 2015

Location: I-94 & Snelling Ave

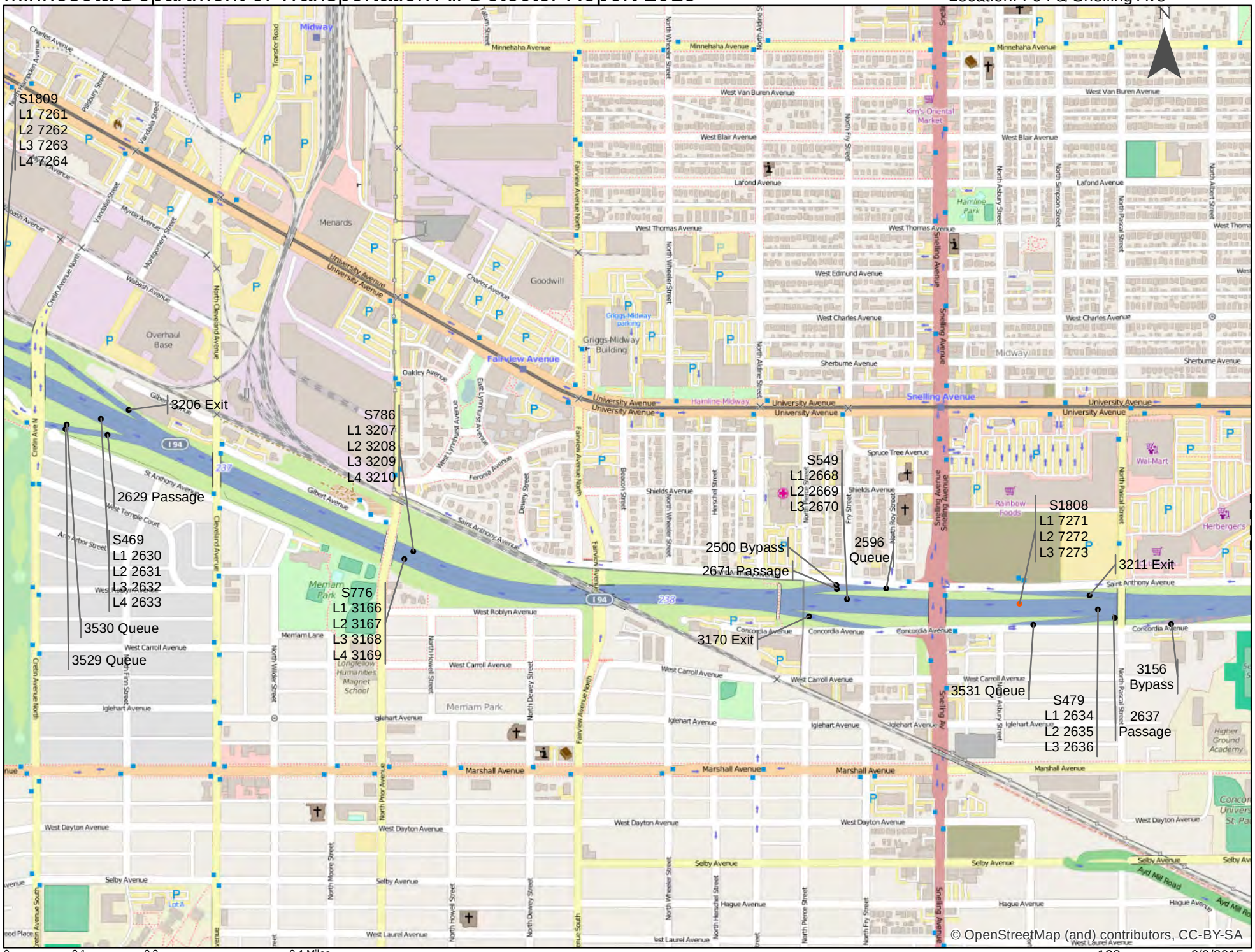

0 0.1 0.2 0.4 Miles

Minnesota Department of Transportation All Detector Report 2015

Location: I-94 & Lexington Ave

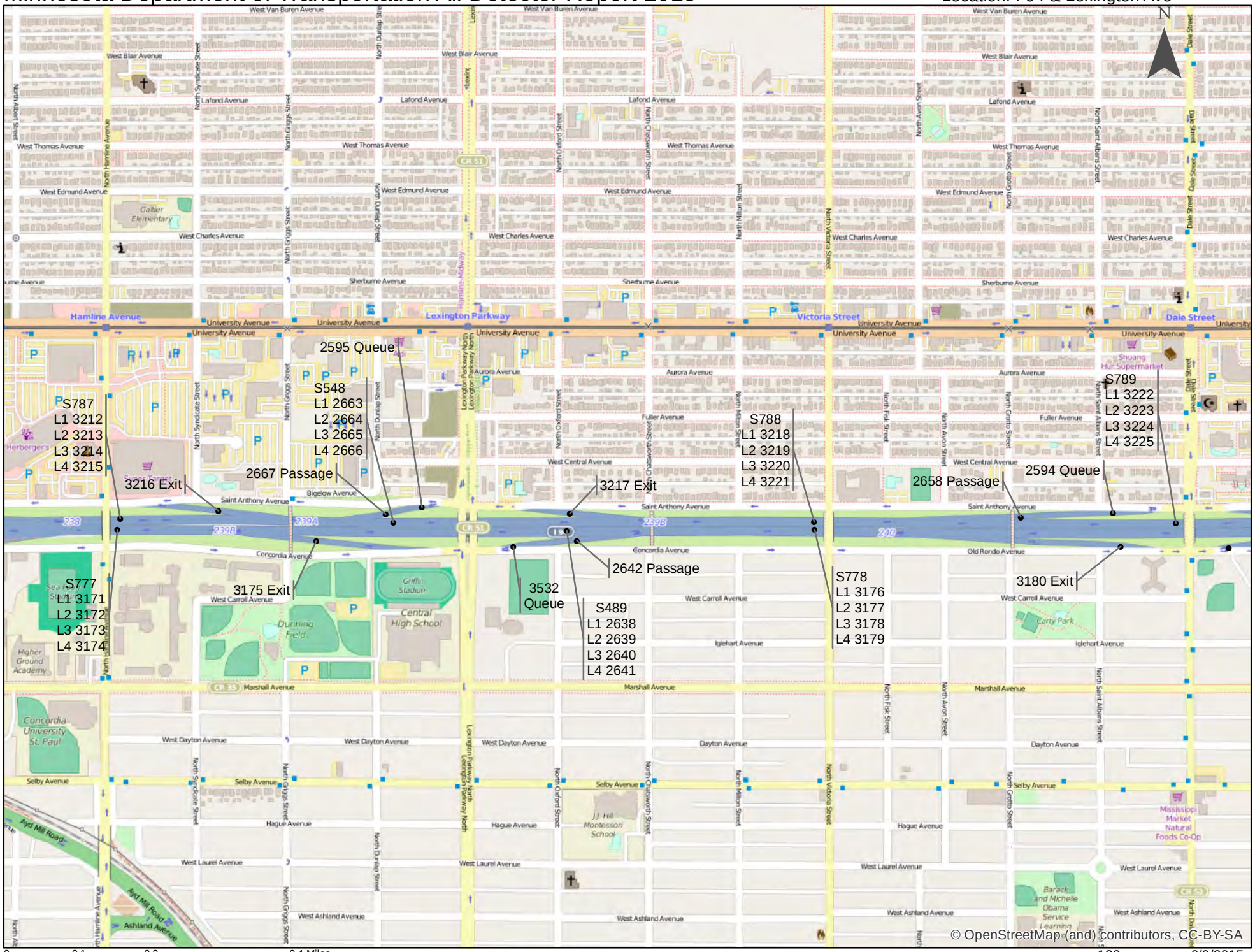

0 0.1 0.2 0.4 Miles

Minnesota Department of Transportation All Detector Report 2015

Location: I-94 & Marion St

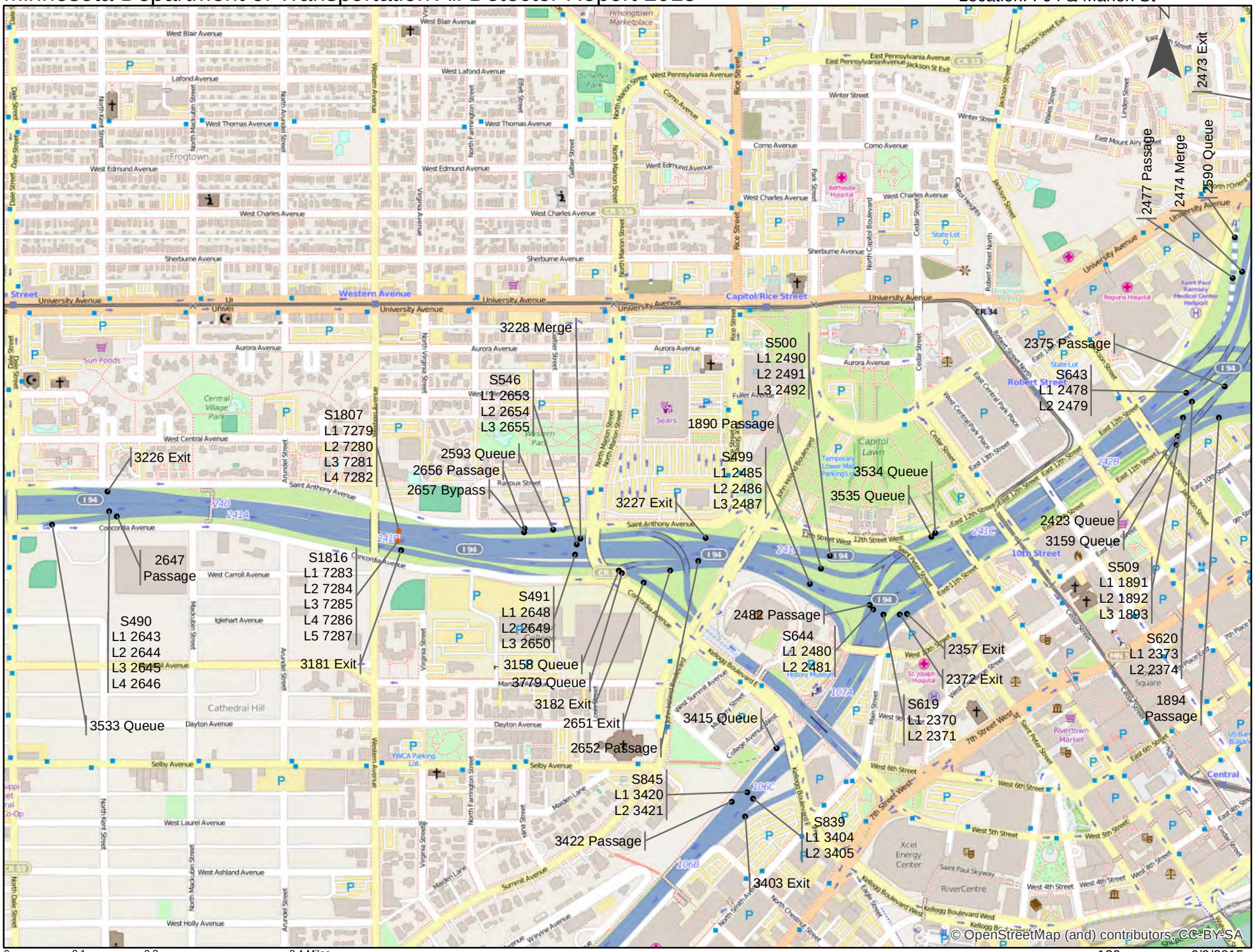

0 0.1 0.2 0.4 Miles

Minnesota Department of Transportation All Detector Report 2015

Location: I-94 & US 52

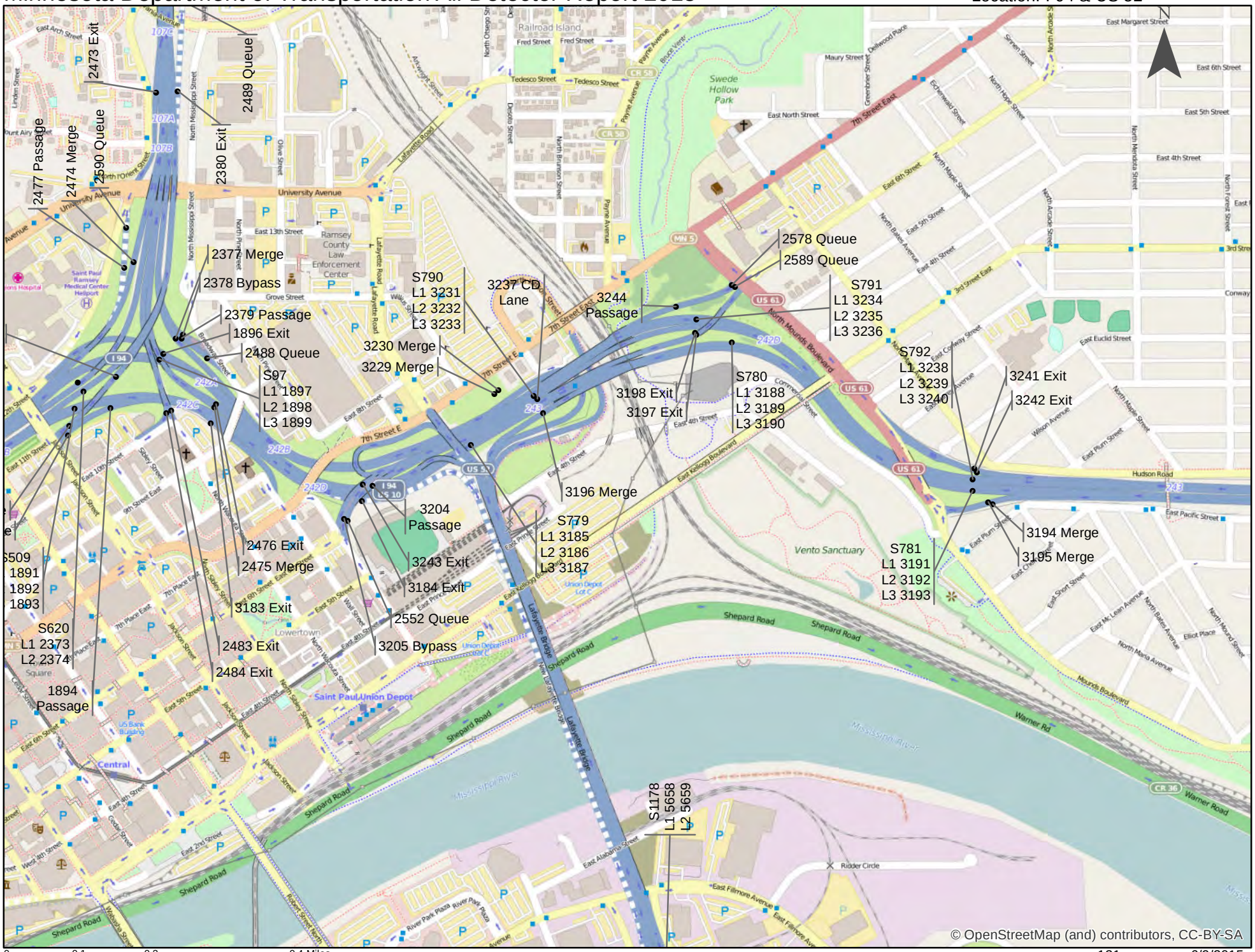

0 0.1 0.2 0.4 Miles

Location: I-94 & TH 61

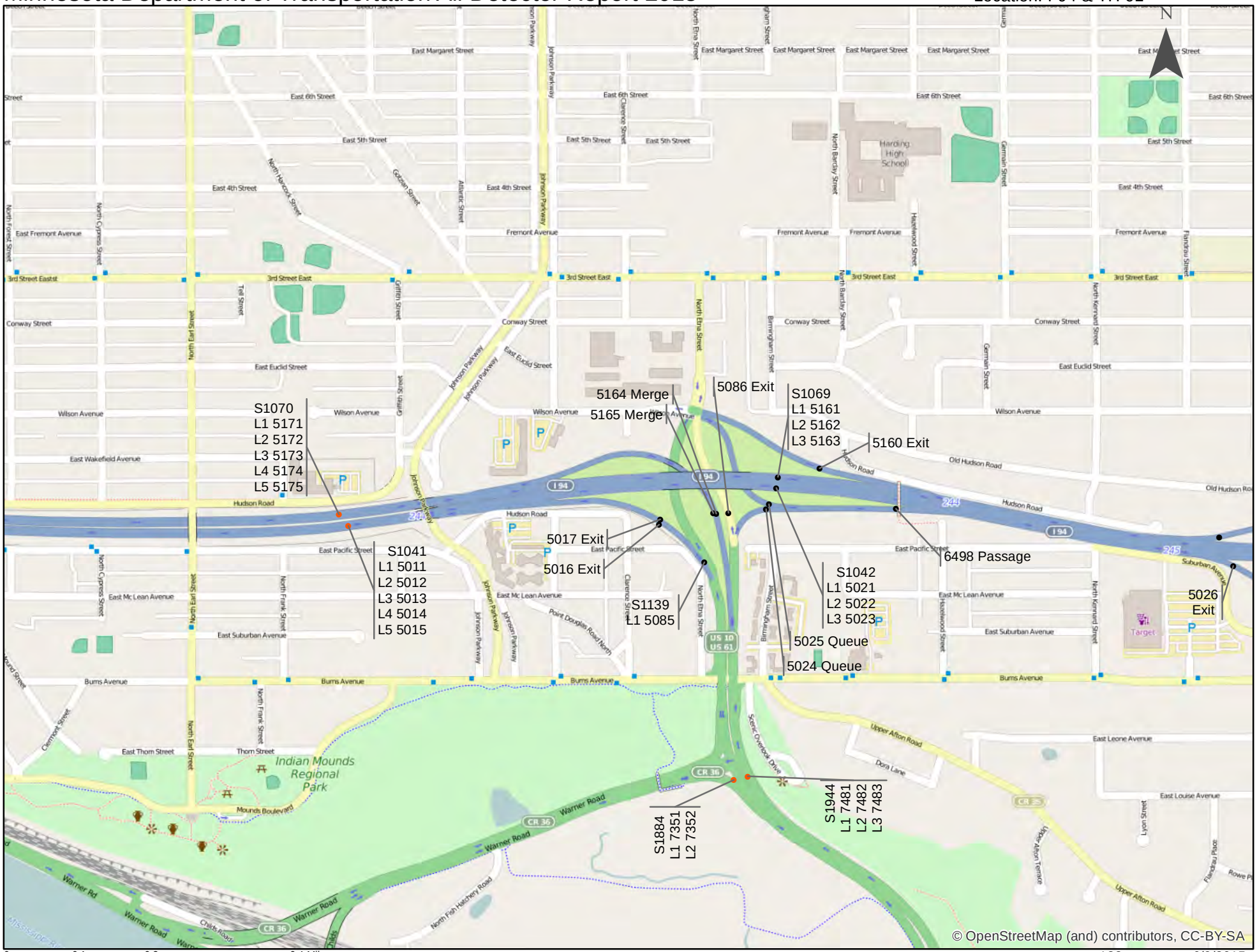

0 0.1 0.2 0.4 Miles

Location: I-94 & McKnight Rd

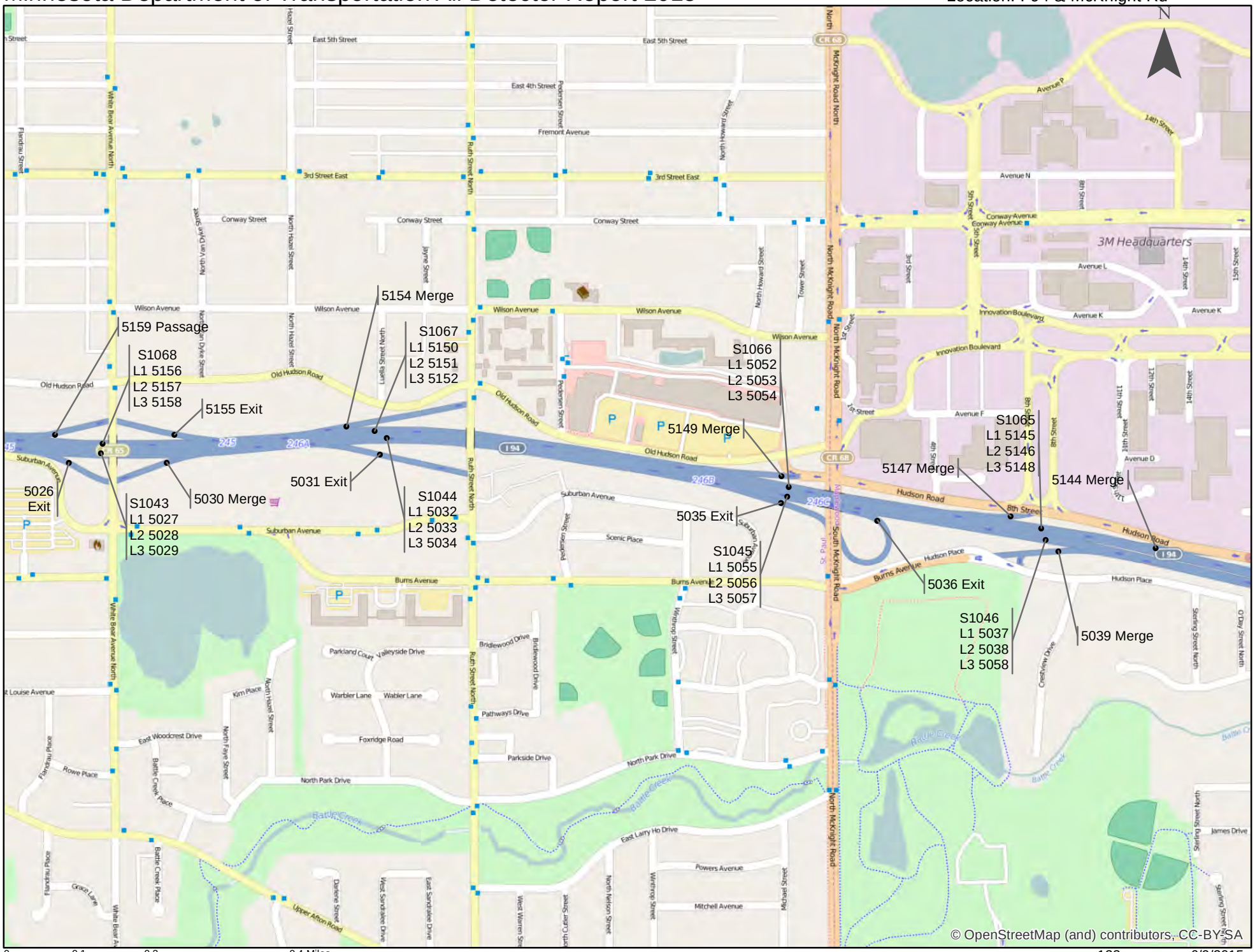

0 0.1 0.2 0.4 Miles

Location: I-94 & TH 120 / Century Ave

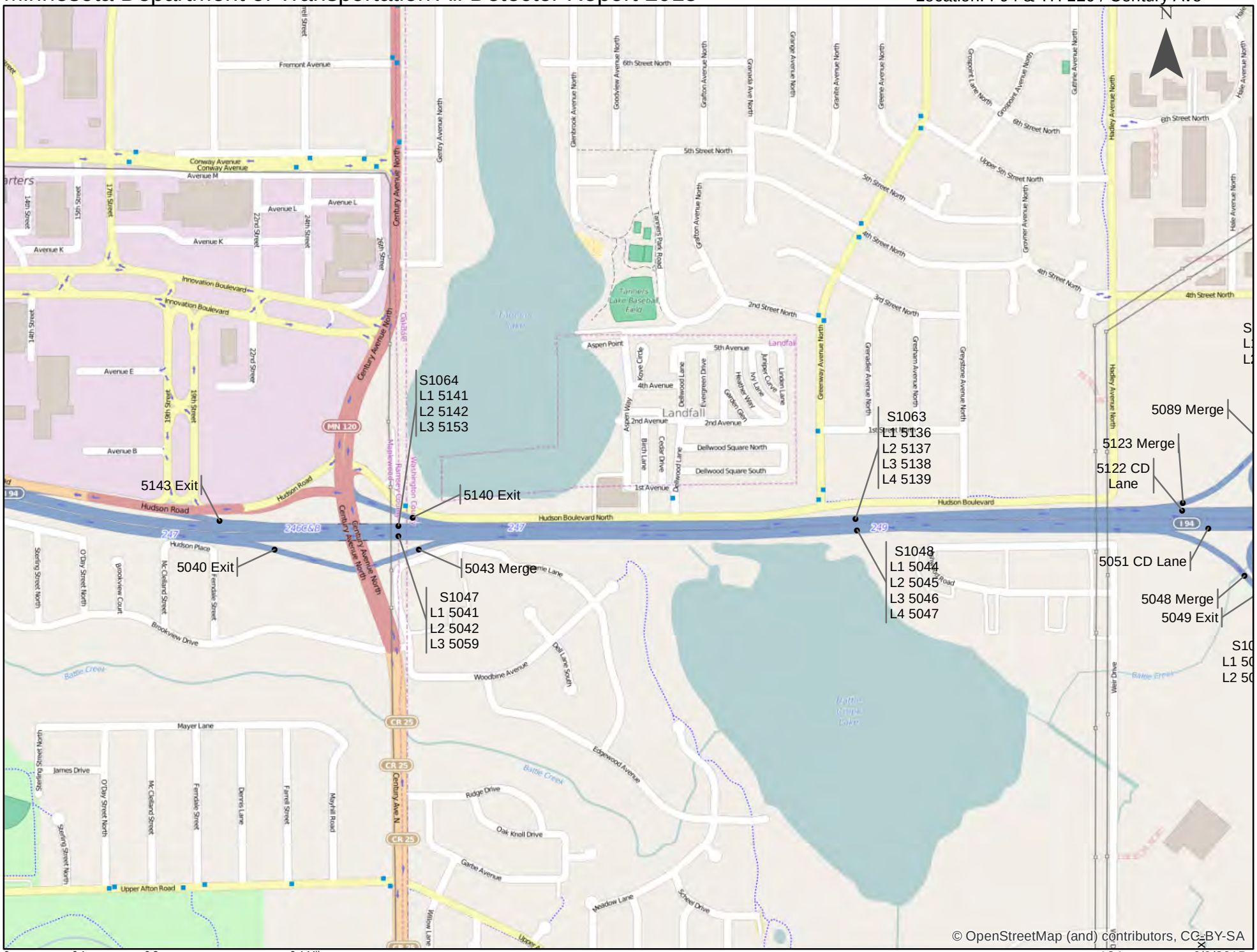

© OpenStreetMap (and) contributors, CC-BY-SA

Location: I-94 & I-694 & I-494 in Woodbury

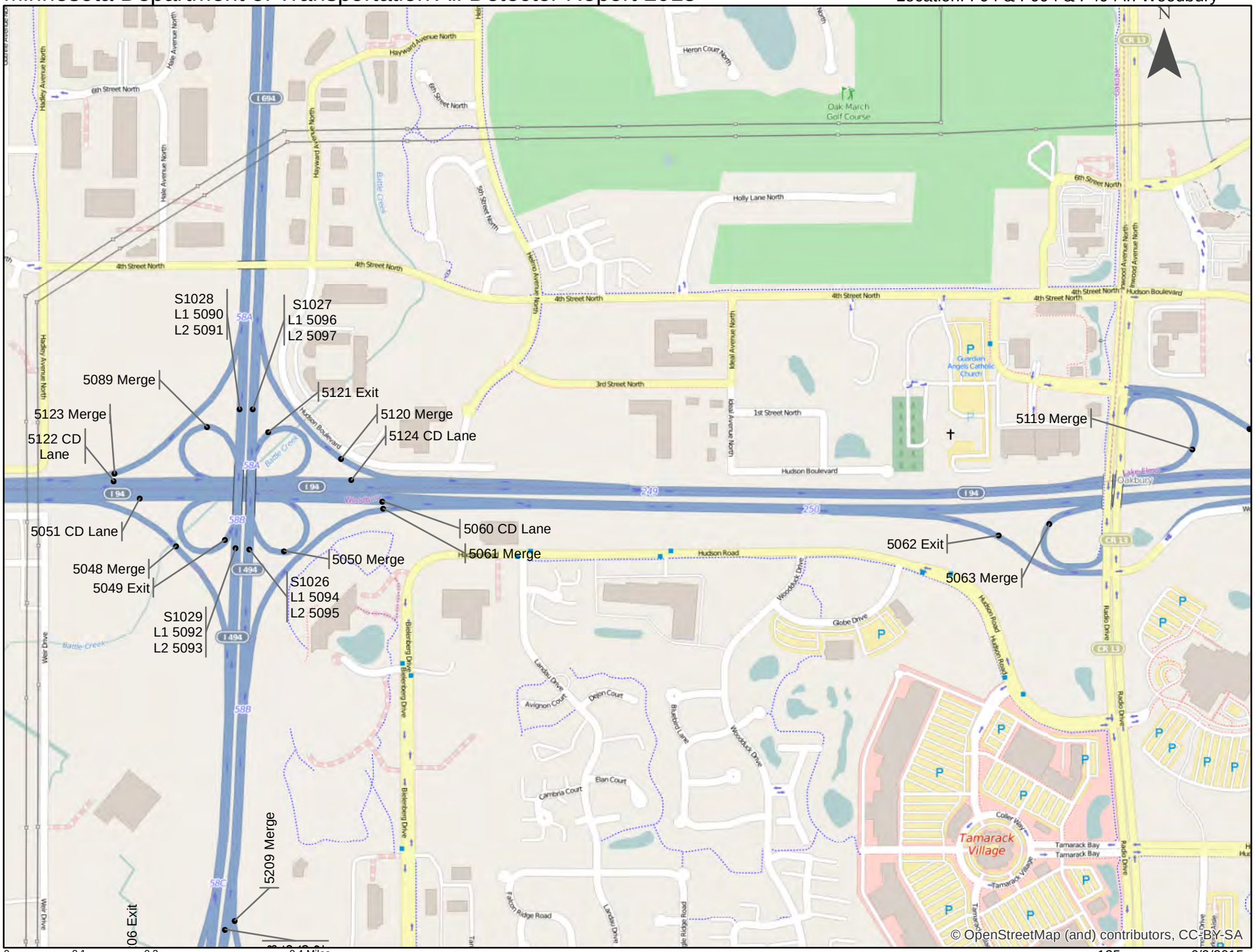

0 0.1 0.2 0.4 Miles

Location: I-94 & Woodbury Drive / Keats Ave

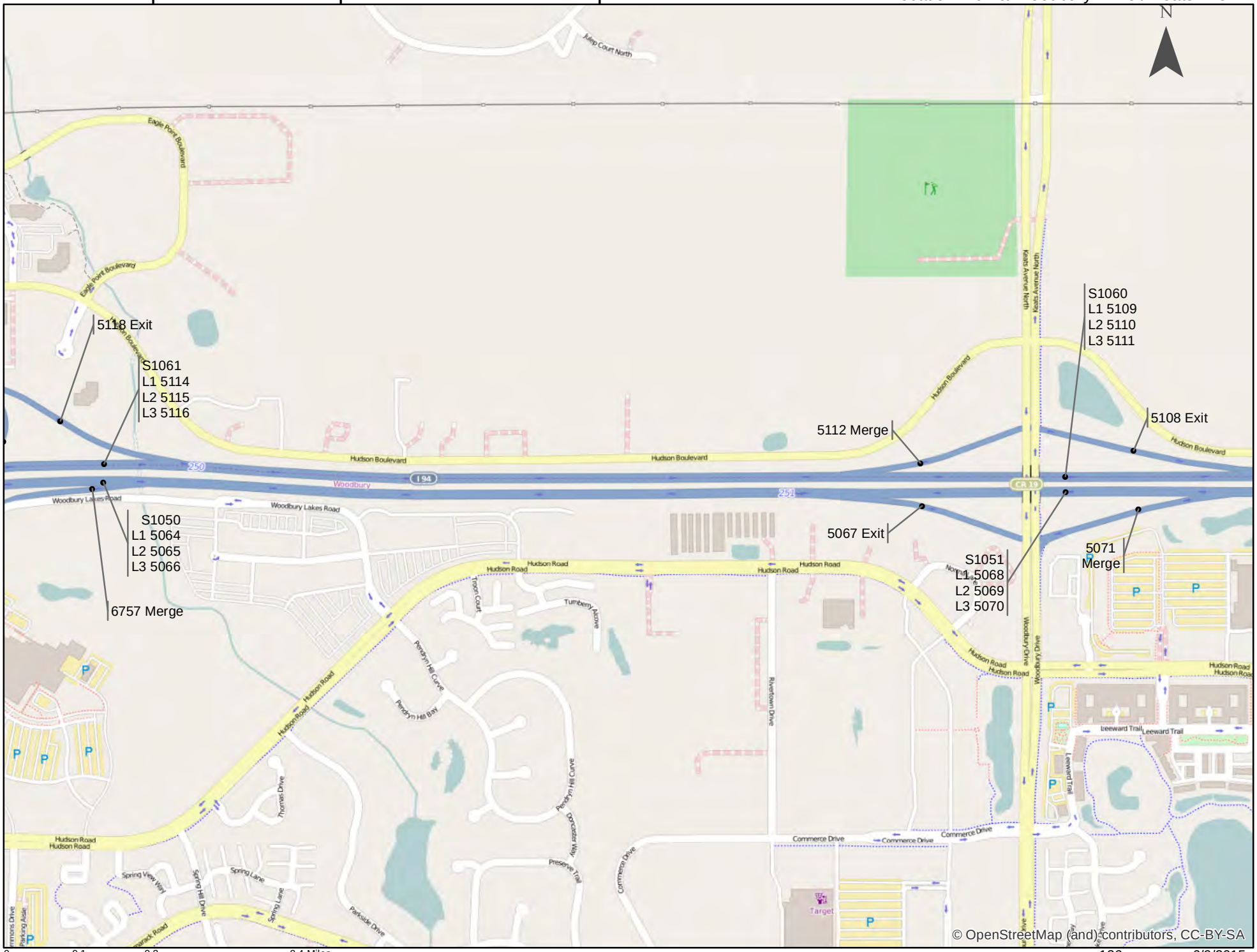

0 0.1 0.2 0.4 Miles

Location: I-94 & West of Manning Ave / TH 95

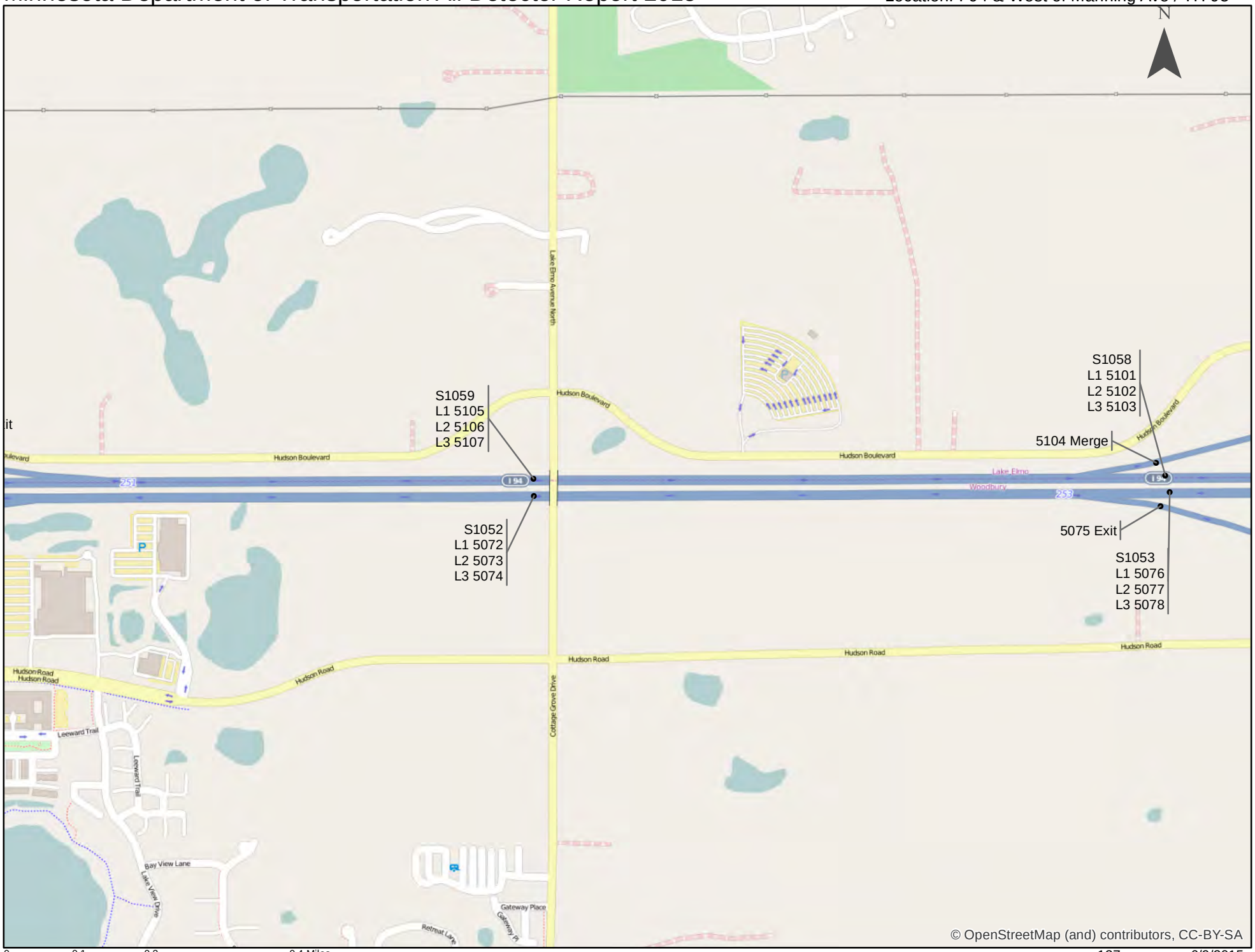

0 0.1 0.2 0.4 Miles

Location: I-94 & Manning Ave / TH 95

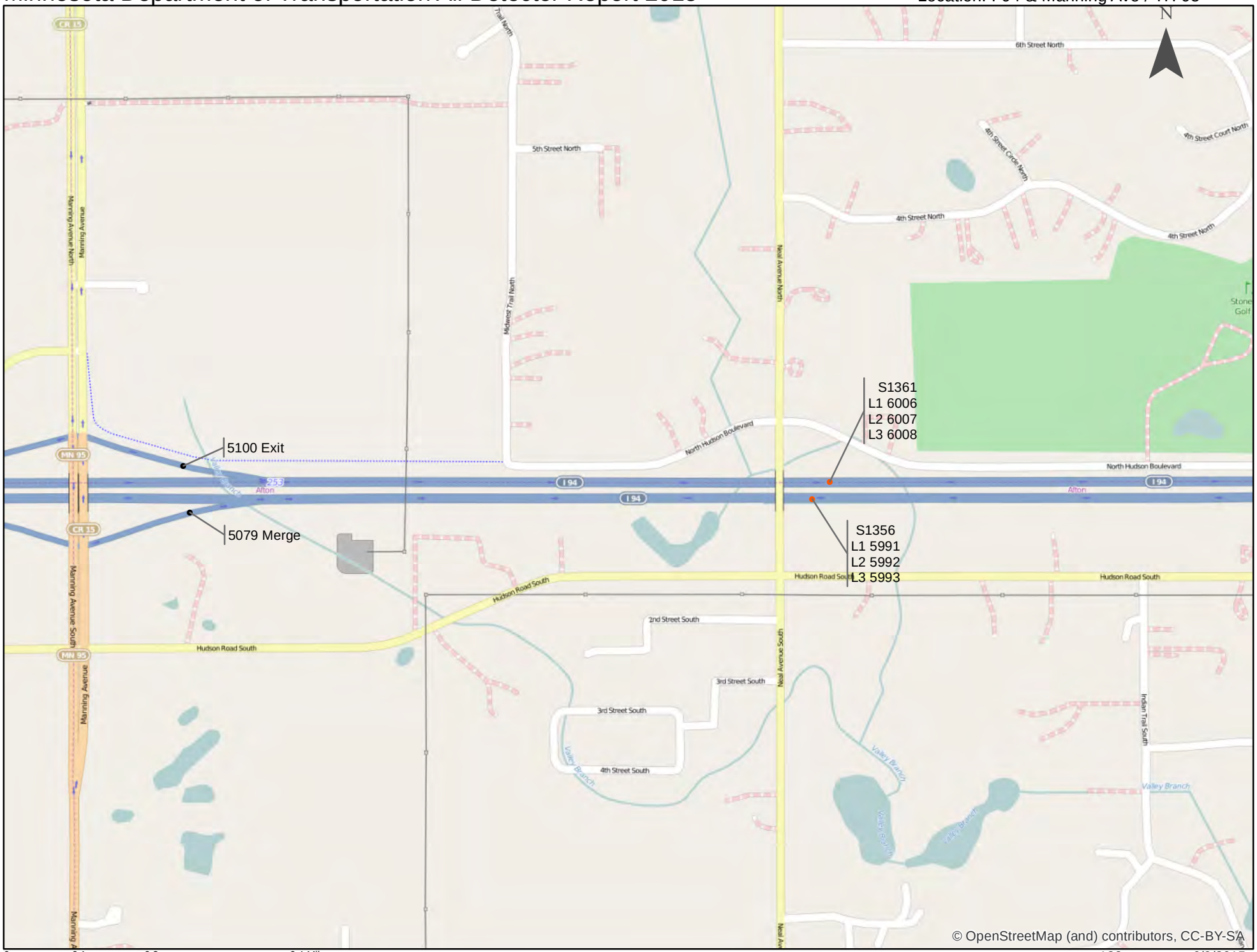

0 0.1 0.2 0.4 Miles

Location: I-94 & Stagecoach Trail

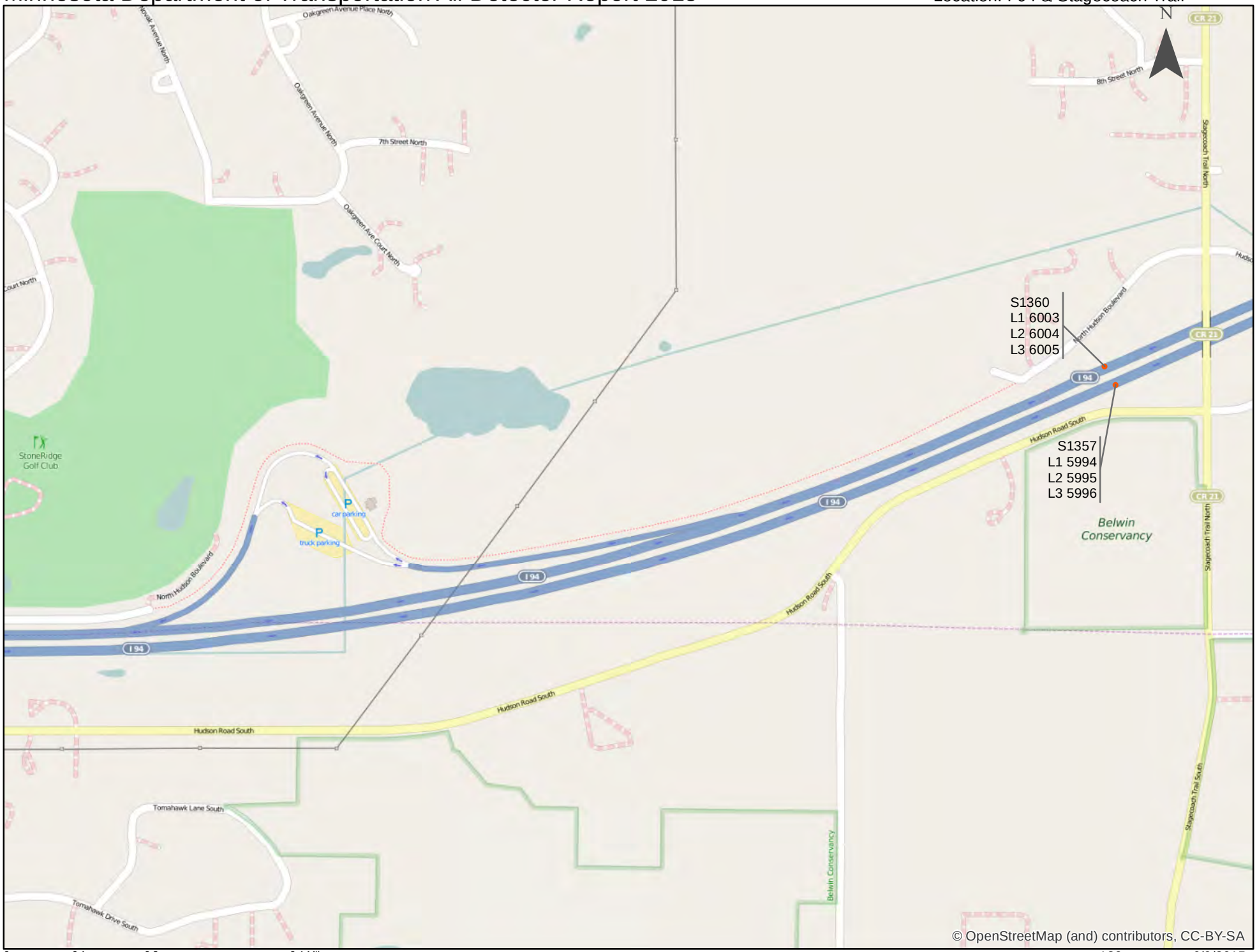

0 0.1 0.2 0.4 Miles

Location: I-94 & TH 95 / WI Border

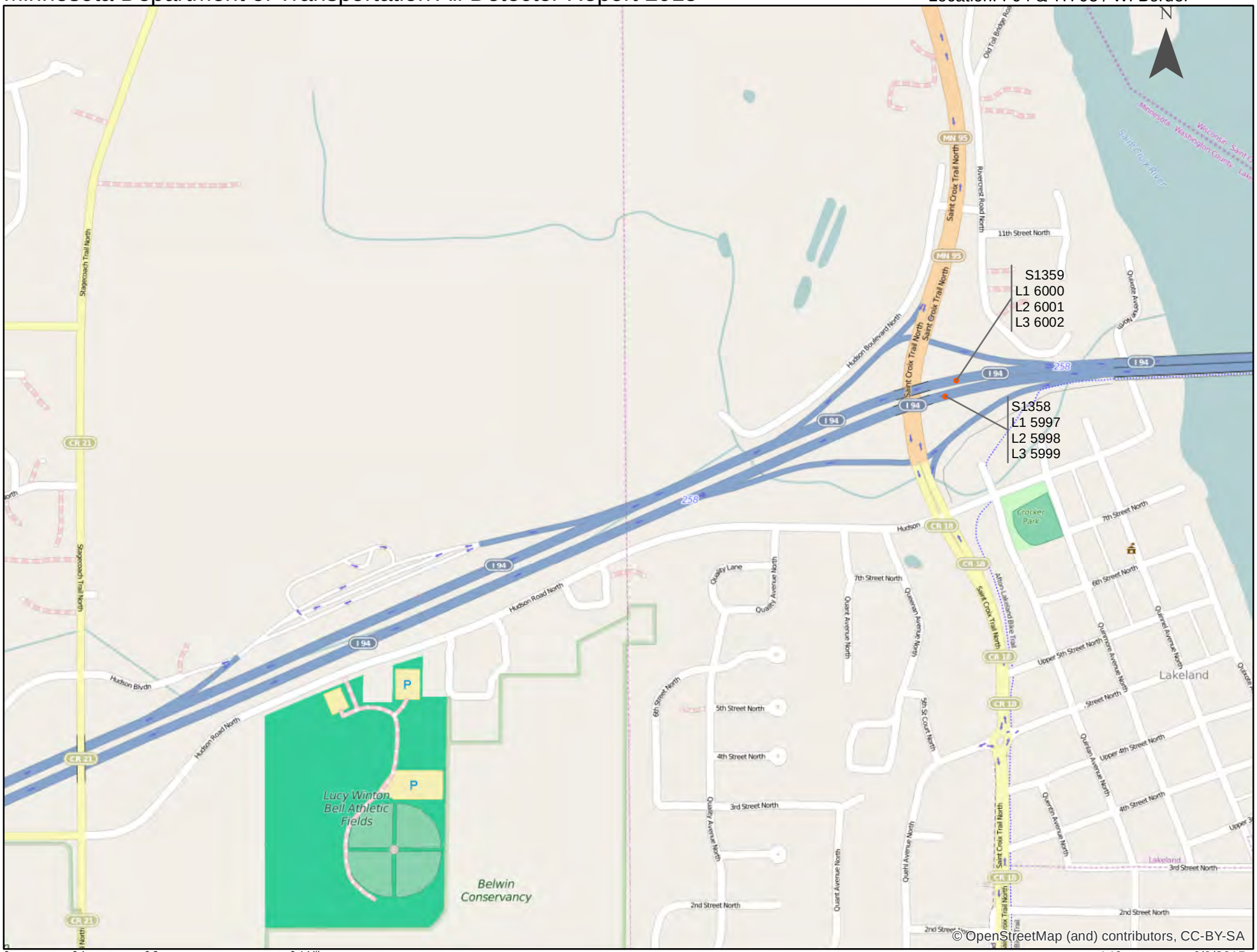

0 0.1 0.2 0.4 Miles

Minnesota Department of Transportation All Detector Report 2015

Location: TH 100 & I-494

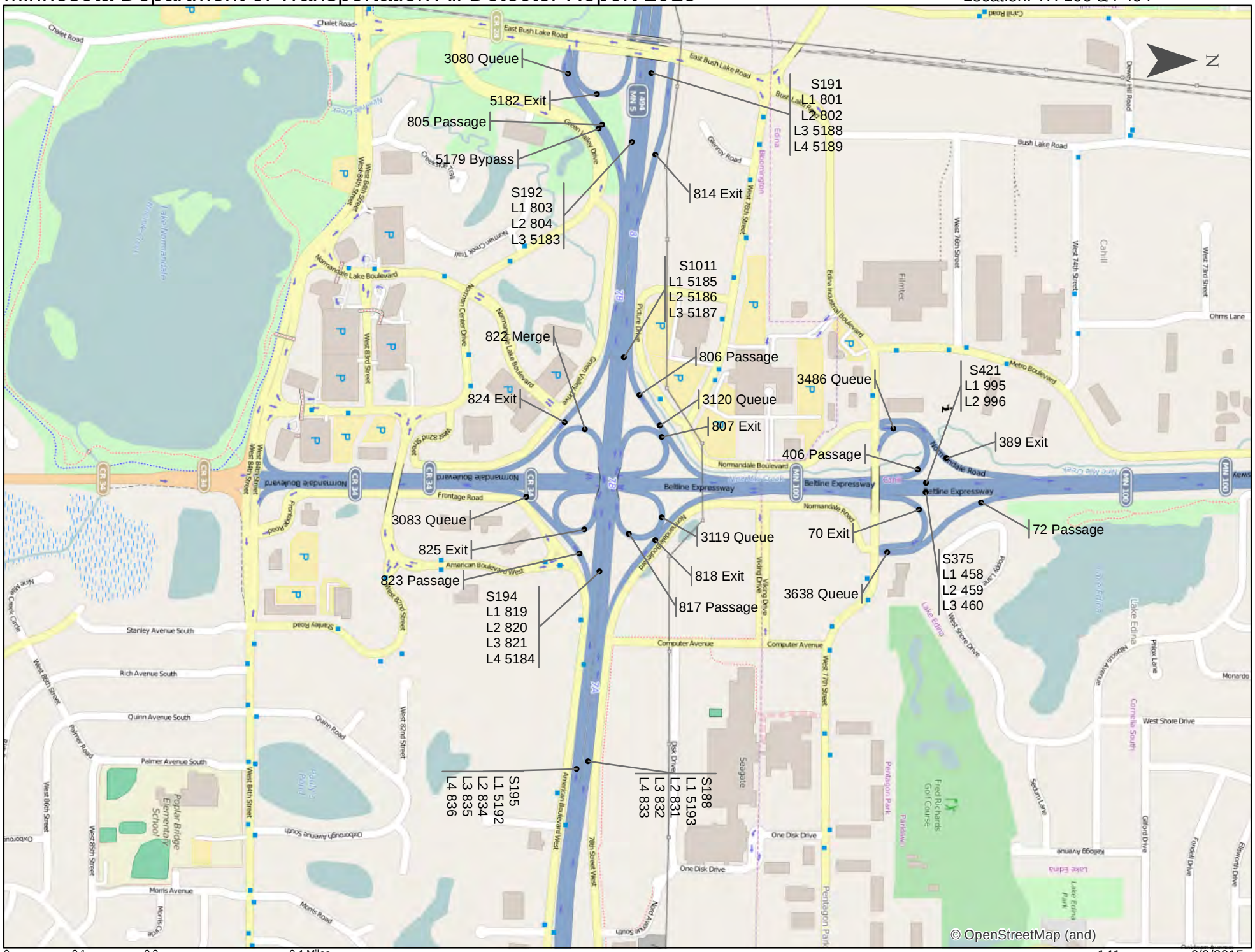

0 0.1 0.2 0.4 Miles

Location: TH 100 & TH 62

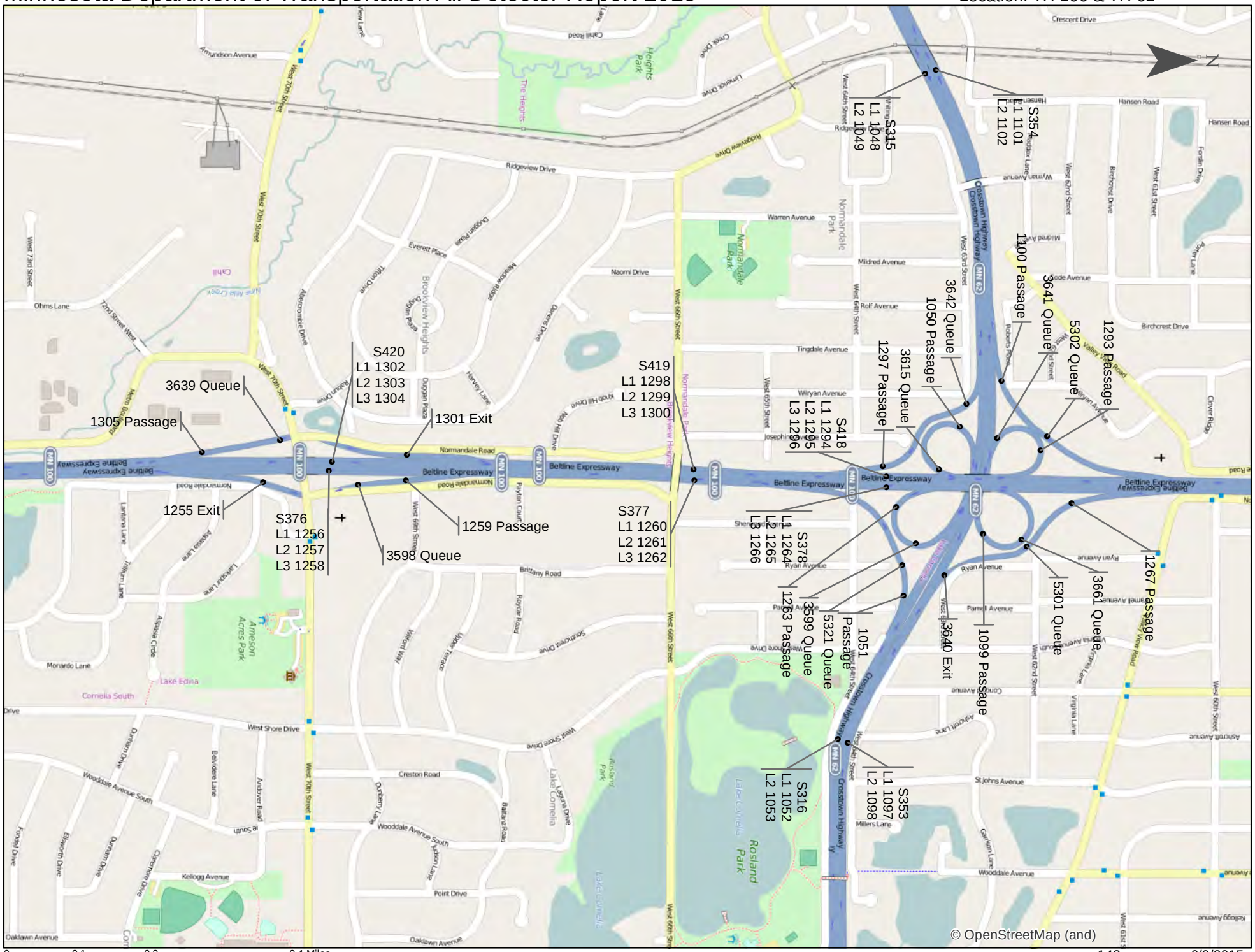
S315
L1 1048
L2 1049
S354
L1 1101
L2 1102
1100 Passage
3642 Queue
1050 Passage
3641 Queue
5302 Queue
1293 Passage
1297 Passage
3615 Queue
S418
L1 1294
L2 1295
L3 1296
S419
L1 1298
L2 1299
L3 1300
S420
L1 1302
L2 1303
L3 1304
3639 Queue
1305 Passage
1301 Exit
1255 Exit
S376
L1 1256
L2 1257
L3 1258
3598 Queue
1259 Passage
S377
L1 1260
L2 1261
L3 1262
S378
L1 1264
L2 1265
L3 1266
1263 Passage
3599 Queue
5321 Queue
1051 Passage
3640 Exit
1099 Passage
5301 Queue
3661 Queue
1267 Passage
S316
L1 1052
L2 1053
S353
L1 1097
L2 1098
Beltline Expressway
Crosstown Highway
Normandale Road
Ridgeview Drive
Hansen Road
Crescent Drive
Amundson Avenue
West 70th Street
West 66th Street
West 62nd Street
West 61st Street
Ryan Avenue
Parnell Avenue
Wooddale Avenue
West Shore Drive
Creston Road
Brittany Road
Kellogg Avenue
Point Drive
Oakdawn Avenue
Lake Edina
Lake Cornelia
Rosland Park
Ameson Acres Park
Cornelia South
Normandale Park
Brookview Heights
Valley View Road
Warren Avenue
Mildred Avenue
Rolf Avenue
Tingdale Avenue
Wilryan Avenue
Naomi Drive
Everett Place
Duggan Plaza
Ohms Lane
Abercrombie Drive
Harvey Lane
Kyndo Hill Drive
Birchcrest Drive
Clover Ridge
Forsain Drive
Porter Lane
Roberts Place
Wyman Avenue
Hansen Road
St Johns Avenue
Millers Lane
Garrison Lane
Asbrook Avenue
Virginia Lane
Conrad Avenue
Monardo Lane
Moosia Circle
Lantern Lane
Alpaca Lane
Langer Lane
Tillman Lane
Bellaire Lane
Upper Terrace
Royalar Road
Southwest Drive
Belford Way
Dunham Drive
Bellevue Lane
Andover Road
Ellsworth Drive
Fondal Drive
Clarkson Drive
Balfang Road
Laguna Drive
Dunkerry Lane
Wooddale Avenue South
Crosstown Highway
West 64th Street
West 65th Street
West 69th Street
West 73rd Street
West 72nd Street
Ridgeview Drive
Lindrick Drive
Cinder Drive
Canal Road
Heights Park
The Heights
Alpine Alba Creek
Canal
Ryan Avenue
Parnell Avenue
Wooddale Avenue
Kellogg Avenue
Oakdawn Avenue
Point Drive
Lake Cornelia
Rosland Park

Minnesota Department of Transportation All Detector Report 2015

Location: TH 100 & 50th St

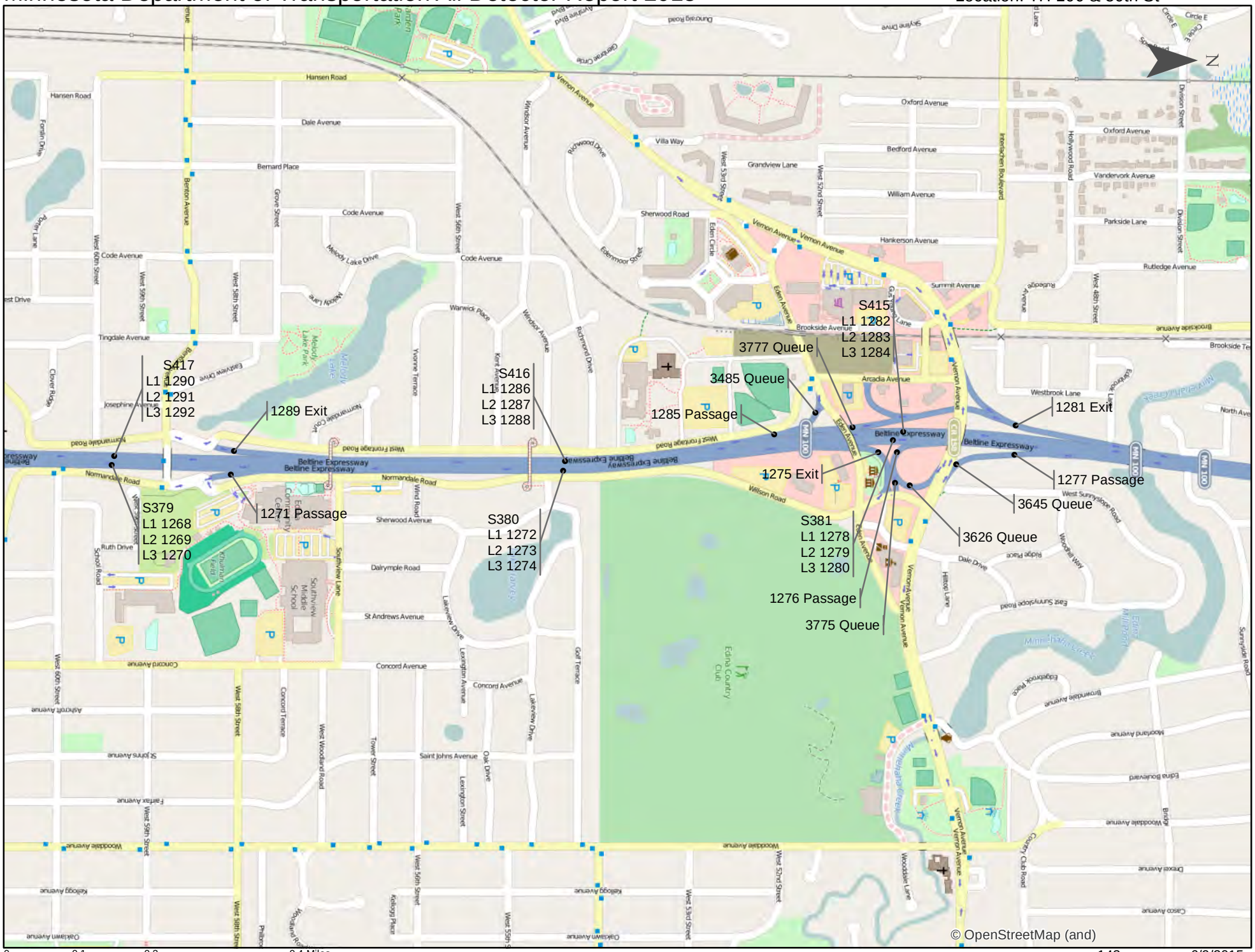
S417
L1 1290
L2 1291
L3 1292
1289 Exit
S416
L1 1286
L2 1287
L3 1288
S415
L1 1282
L2 1283
L3 1284
3777 Queue
3485 Queue
1285 Passage
1281 Exit
1275 Exit
1277 Passage
3645 Queue
3626 Queue
S379
L1 1268
L2 1269
L3 1270
1271 Passage
S380
L1 1272
L2 1273
L3 1274
S381
L1 1278
L2 1279
L3 1280
1276 Passage
3775 Queue
Beltline Expressway
MN 100
Normandale Road
Vernon Avenue
Hansen Road
Dale Avenue
Bernard Place
Code Avenue
Tingdale Avenue
Sherwood Road
Villa Way
Grandview Lane
Bedford Avenue
William Avenue
Harkerson Avenue
Oxford Avenue
Vandervork Avenue
Parkside Lane
Rutledge Avenue
Summit Avenue
Brookside Avenue
Arcadia Avenue
Westbrook Lane
Willison Road
Sherwood Avenue
Dalrymple Road
St Andrews Avenue
Concord Avenue
Saint Johns Avenue
Woodale Avenue
West 60th Street
West 59th Street
West 58th Street
West 56th Street
West 52nd Street
West 50th Street
Benton Avenue
Grove Street
Windsor Avenue
Richmond Drive
Edenmoor Street
Eden Avenue
Eden Circle
Yvonne Terrace
Wind Road
Southview Lane
Lakeview Drive
Lexington Avenue
Lexington Street
Oak Drive
Tower Street
Golf Terrace
Hillcrest Lane
Dale Drive
Ridge Place
Woodhill Way
West Sunnyslope Road
East Sunnyslope Road
Sunnyslope Road
Edgebrook Place
Browndale Avenue
Moorland Avenue
Edina Boulevard
Country Club Road
Drake Avenue
Casco Avenue
Oakham Avenue
Kellogg Avenue
Kellogg Place
Aspen Avenue
Fairfax Avenue
St Johns Avenue
Aspen Avenue
Melody Lake Park
Melody Lake
Edina Country Club
Southview Middle School
Edina Community Center
Chamberlain Field
Minnehaha Creek
Hansen Road
Josephine Avenue
Clover Ridge
Ruth Drive
School Road
Fontain Drive
Pier Lane
West 60th Street
West 59th Street
West 58th Street
Melody Lane
Melody Lake Drive
Wanwick Place
Kent Avenue
Normandale Court
Eastview Drive
West Frontage Road
Beltline Expressway
Beltline Expressway
Beltline Expressway
Beltline Expressway
Vernon Avenue
Vernon Avenue
Vernon Avenue

Minnesota Department of Transportation All Detector Report 2015

Location: TH 100 & Excelsior Blvd

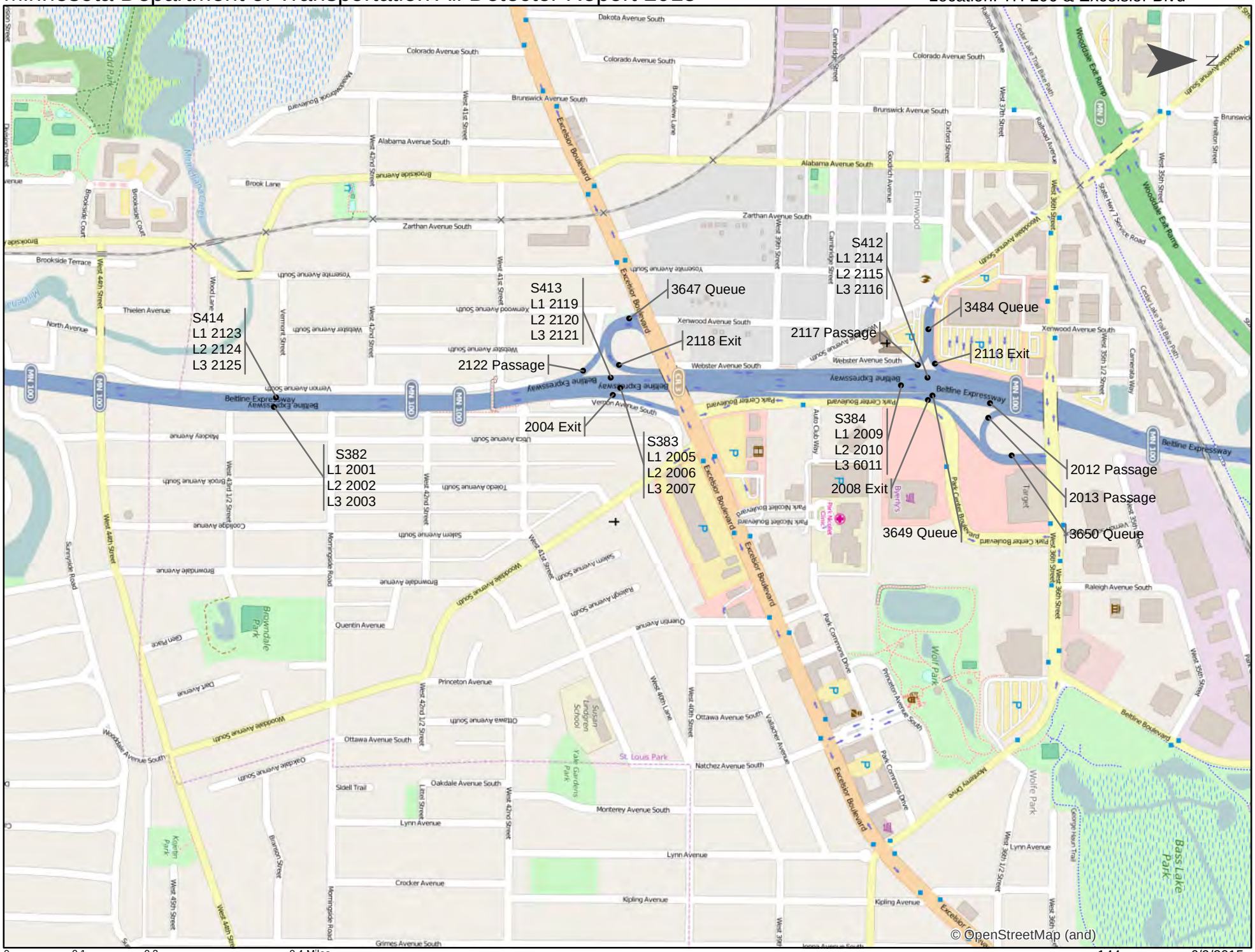

0 0.1 0.2 0.4 Miles

6/9/2015

Minnesota Department of Transportation All Detector Report 2015

Location: TH 100 & TH 7

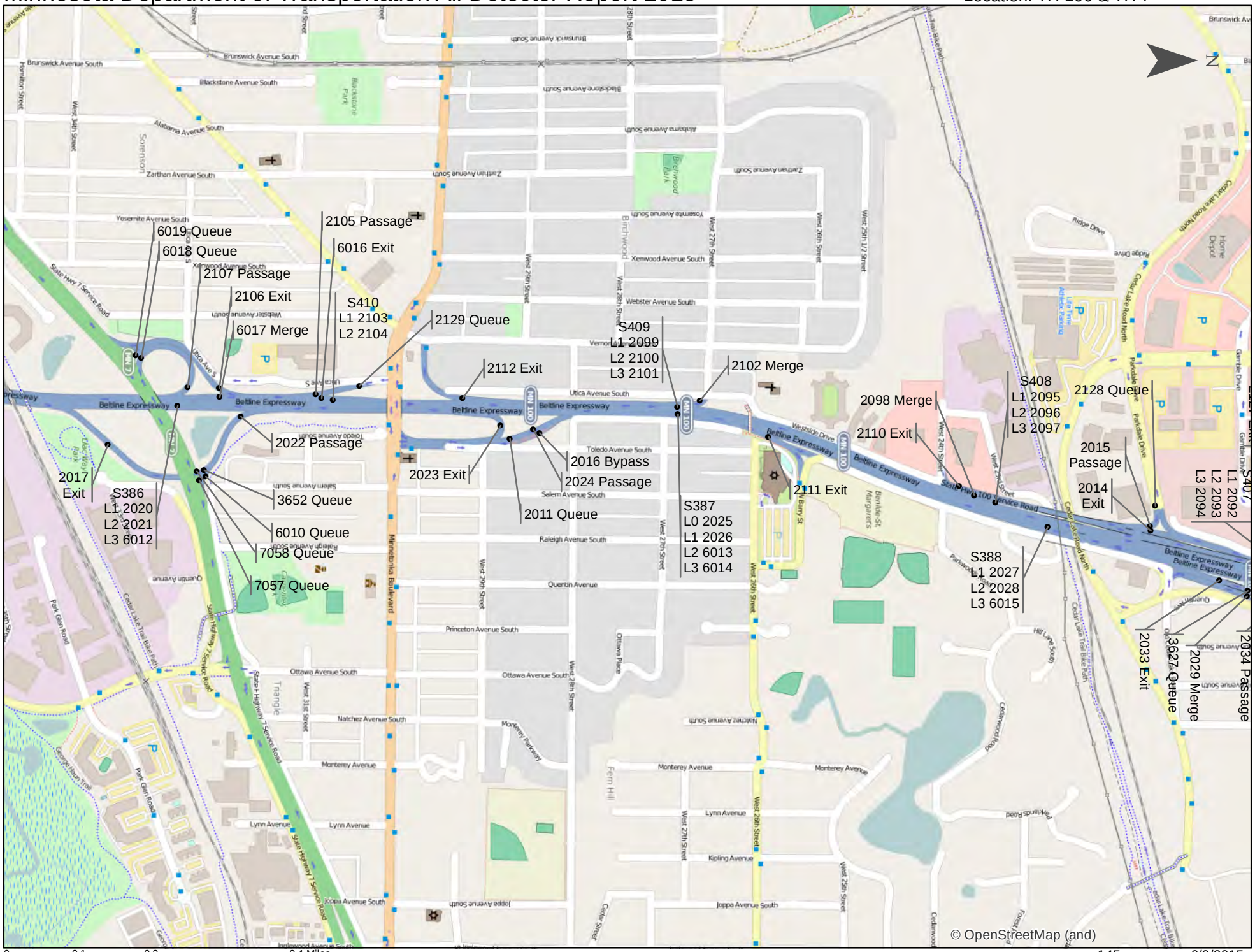

6/9/2015

Minnesota Department of Transportation All Detector Report 2015

Location: TH 100 & TH 55

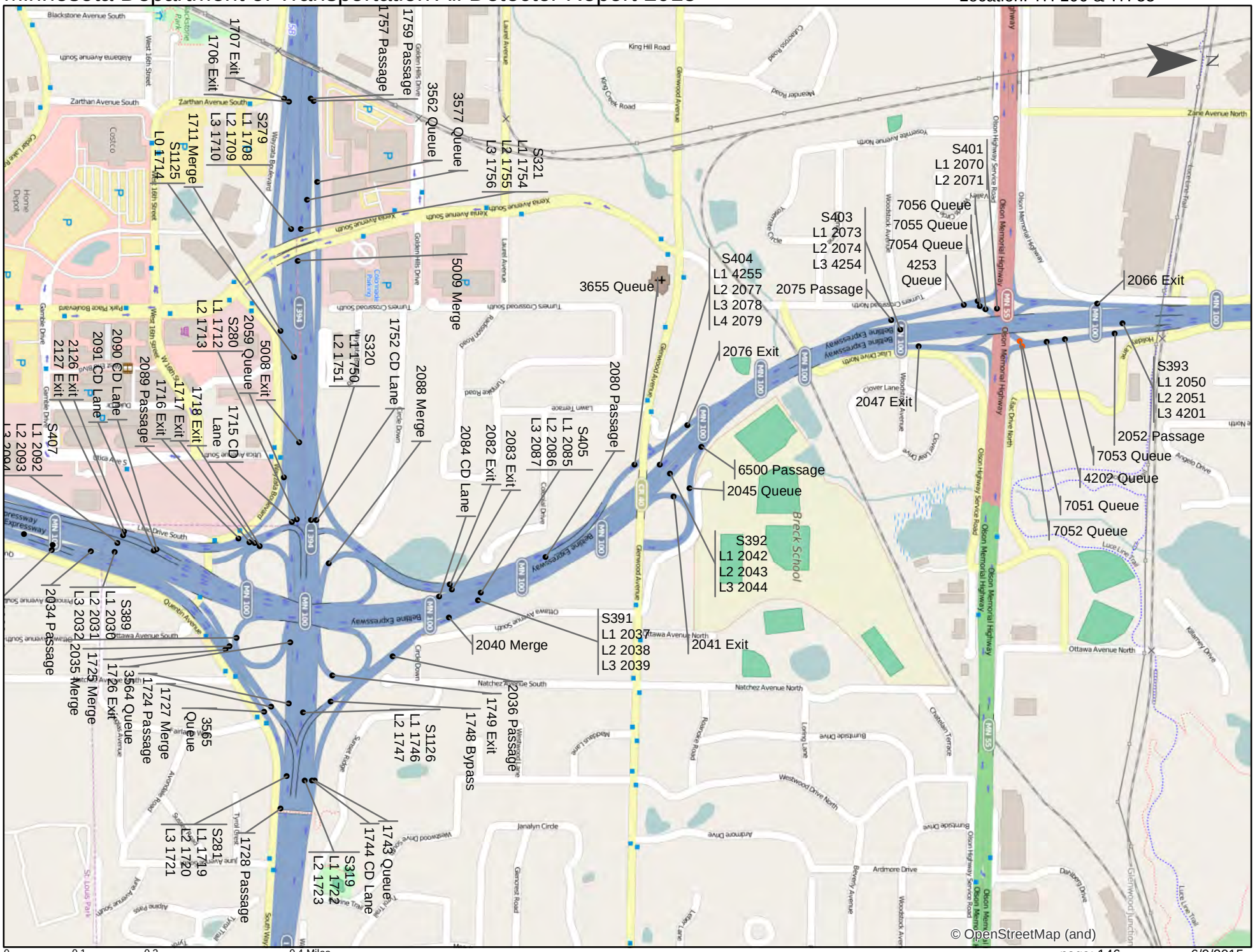

0 0.1 0.2 0.4 Miles

Minnesota Department of Transportation All Detector Report 2015

Location: TH 100 & Duluth St

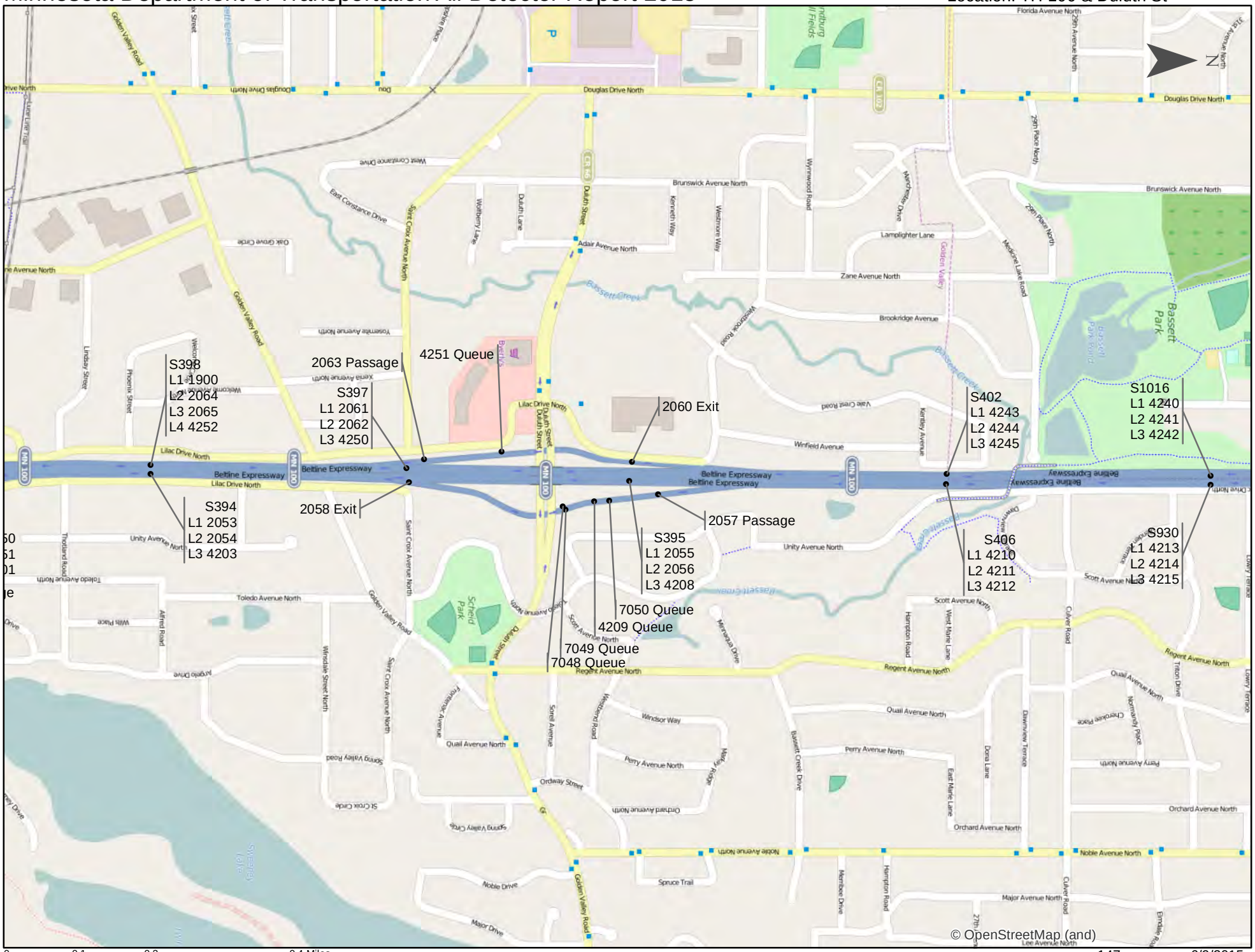

0 0.1 0.2 0.4 Miles

6/9/2015

Minnesota Department of Transportation All Detector Report 2015

Location: TH 100 & 42nd Ave

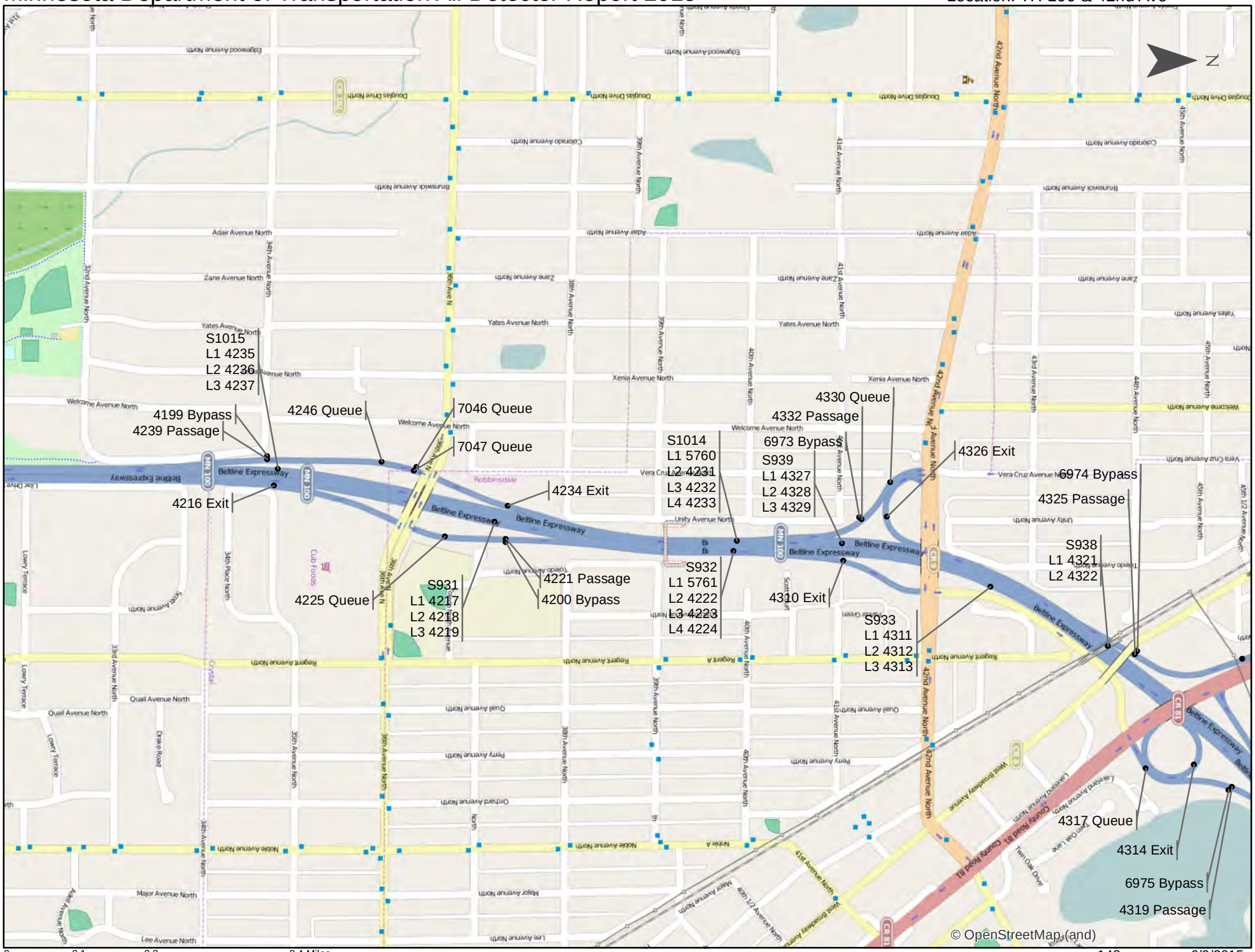

0 0.1 0.2 0.4 Miles

Minnesota Department of Transportation All Detector Report 2015

Location: TH 100 & France Ave

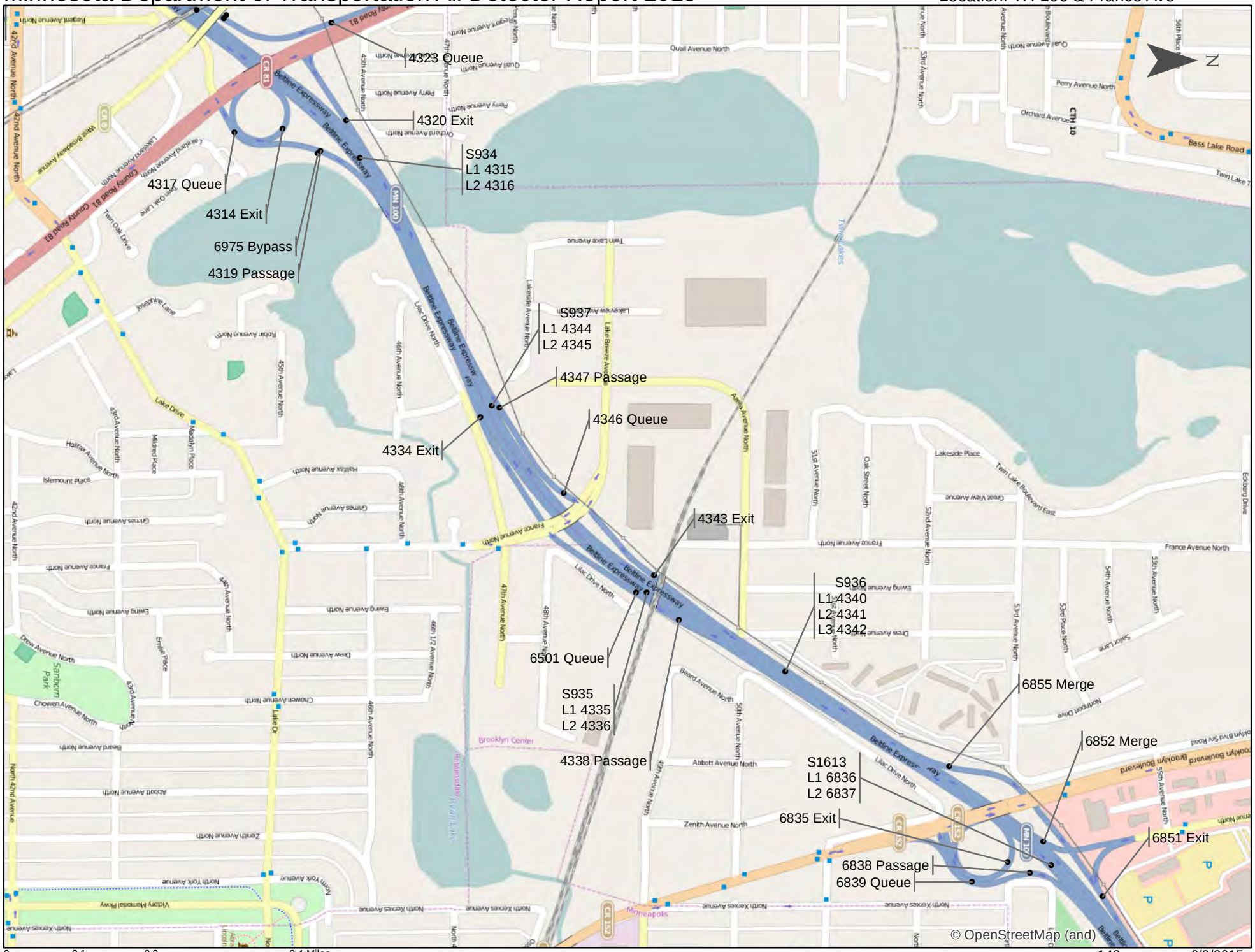

0 0.1 0.2 0.4 Miles

Minnesota Department of Transportation All Detector Report 2015

Location: TH 100 & 57th Ave

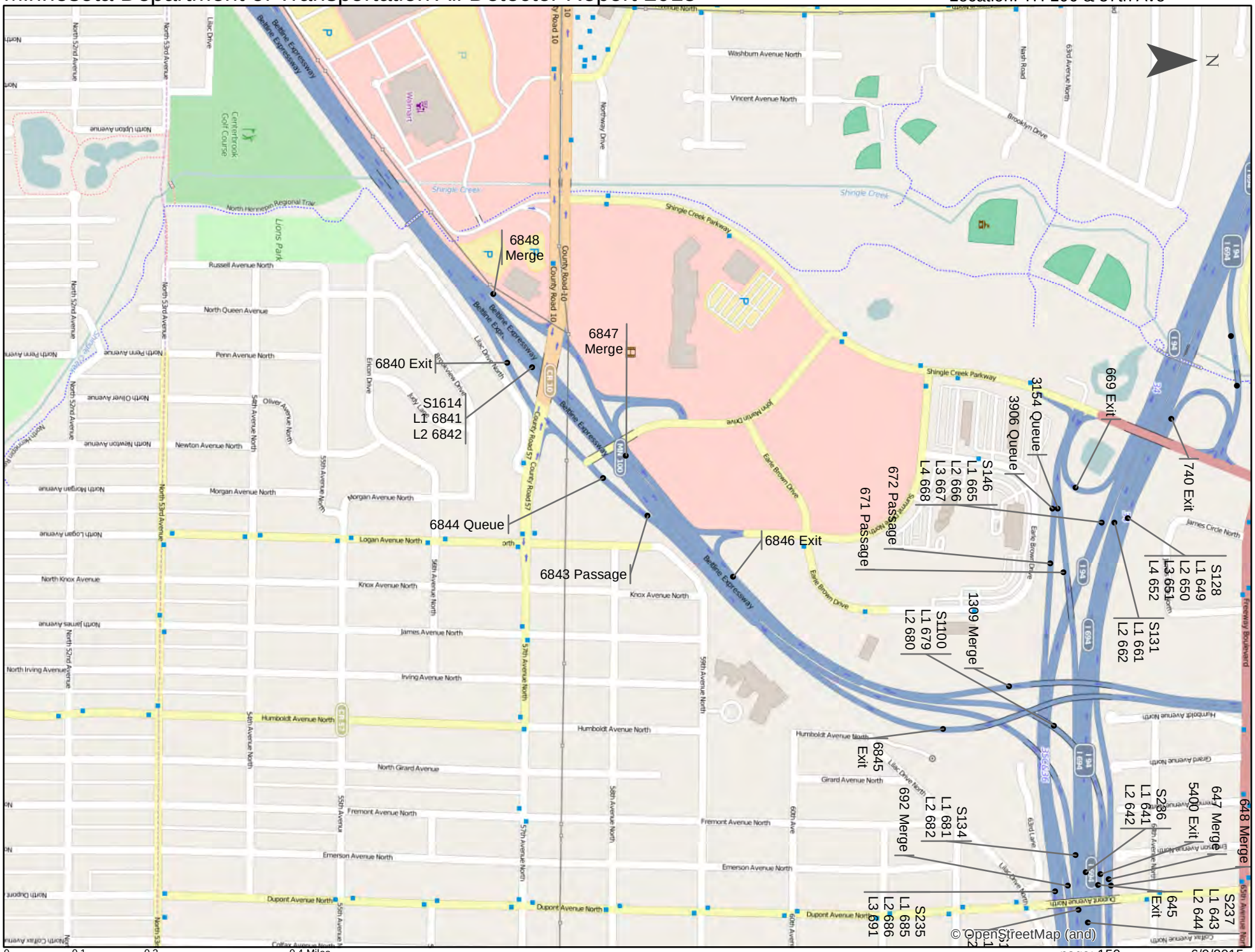

0 0.1 0.2 0.4 Miles

Location: TH 101 & I-94

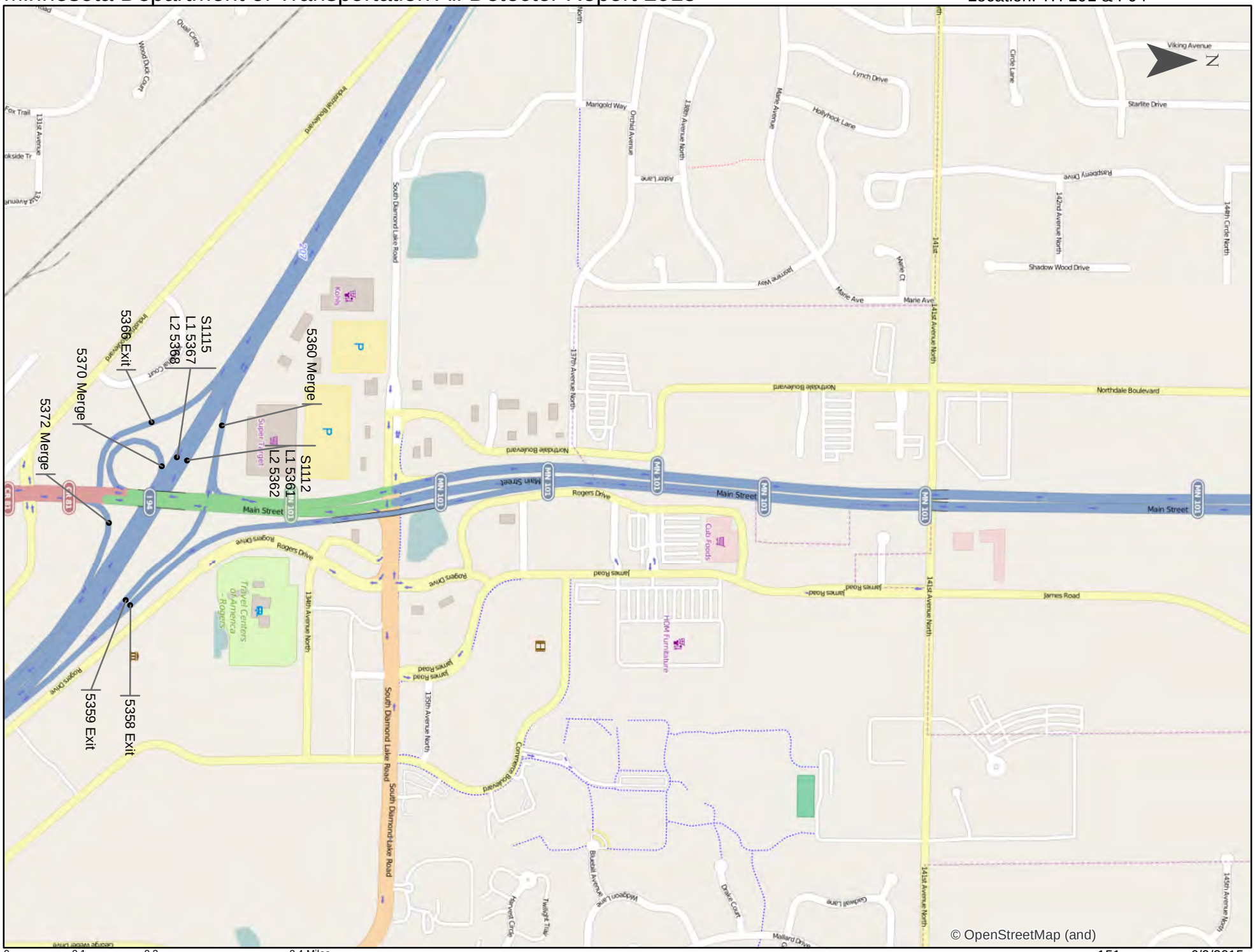

0 0.1 0.2 0.4 Miles

Location: TH 101 & CR 36

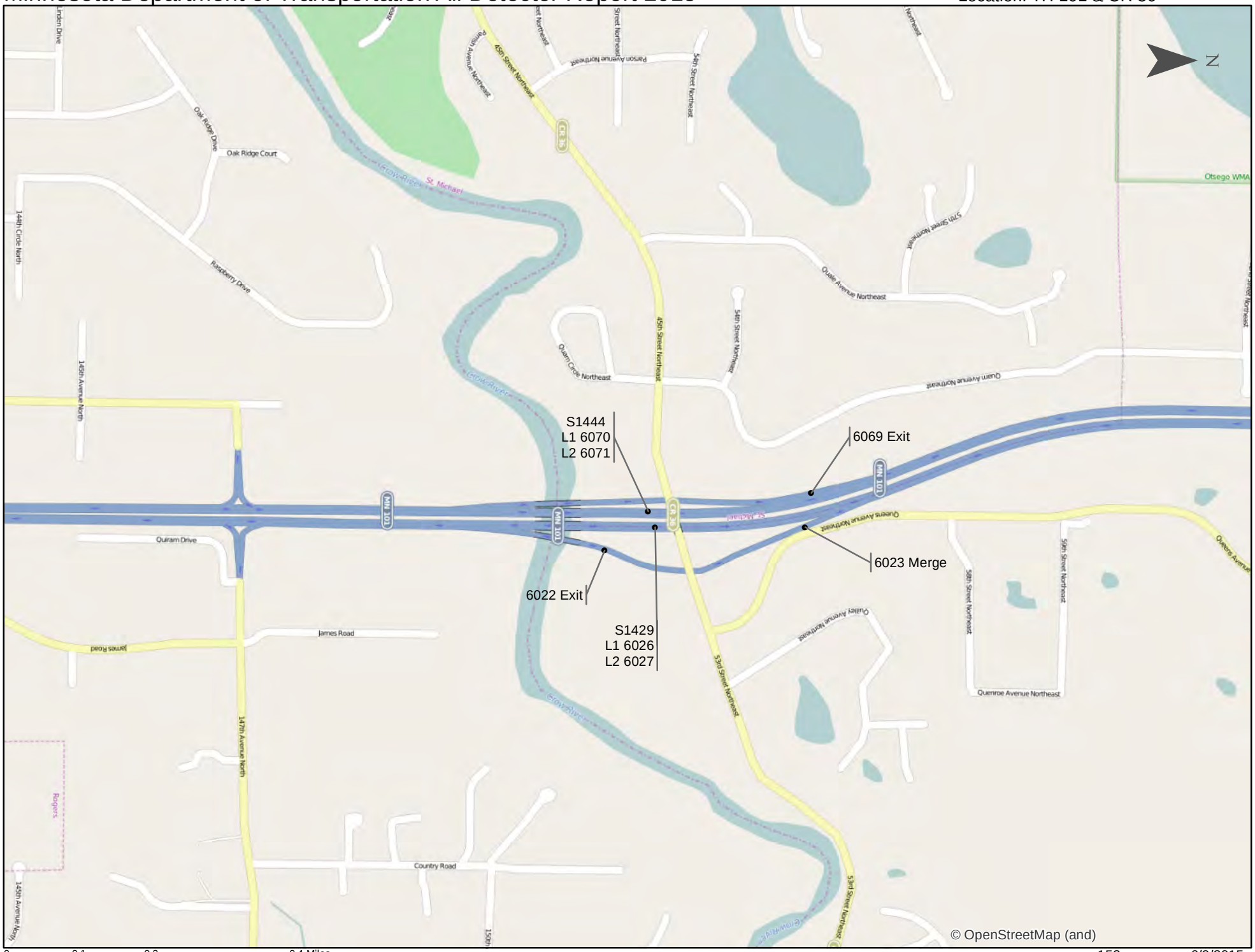

0 0.1 0.2 0.4 Miles

Location: TH 101 & CR 37

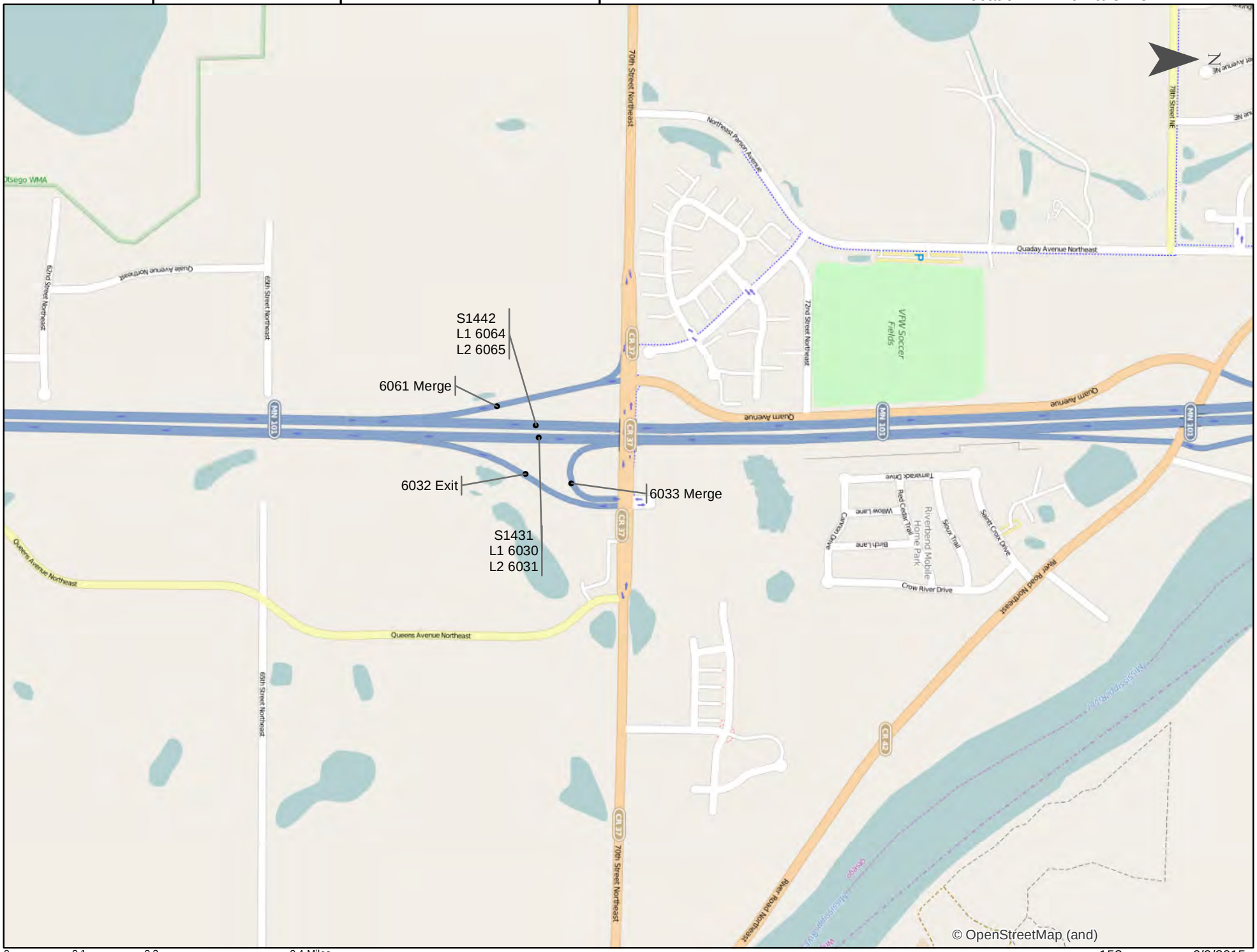

0 0.1 0.2 0.4 Miles

Location: US 169 & TH 101

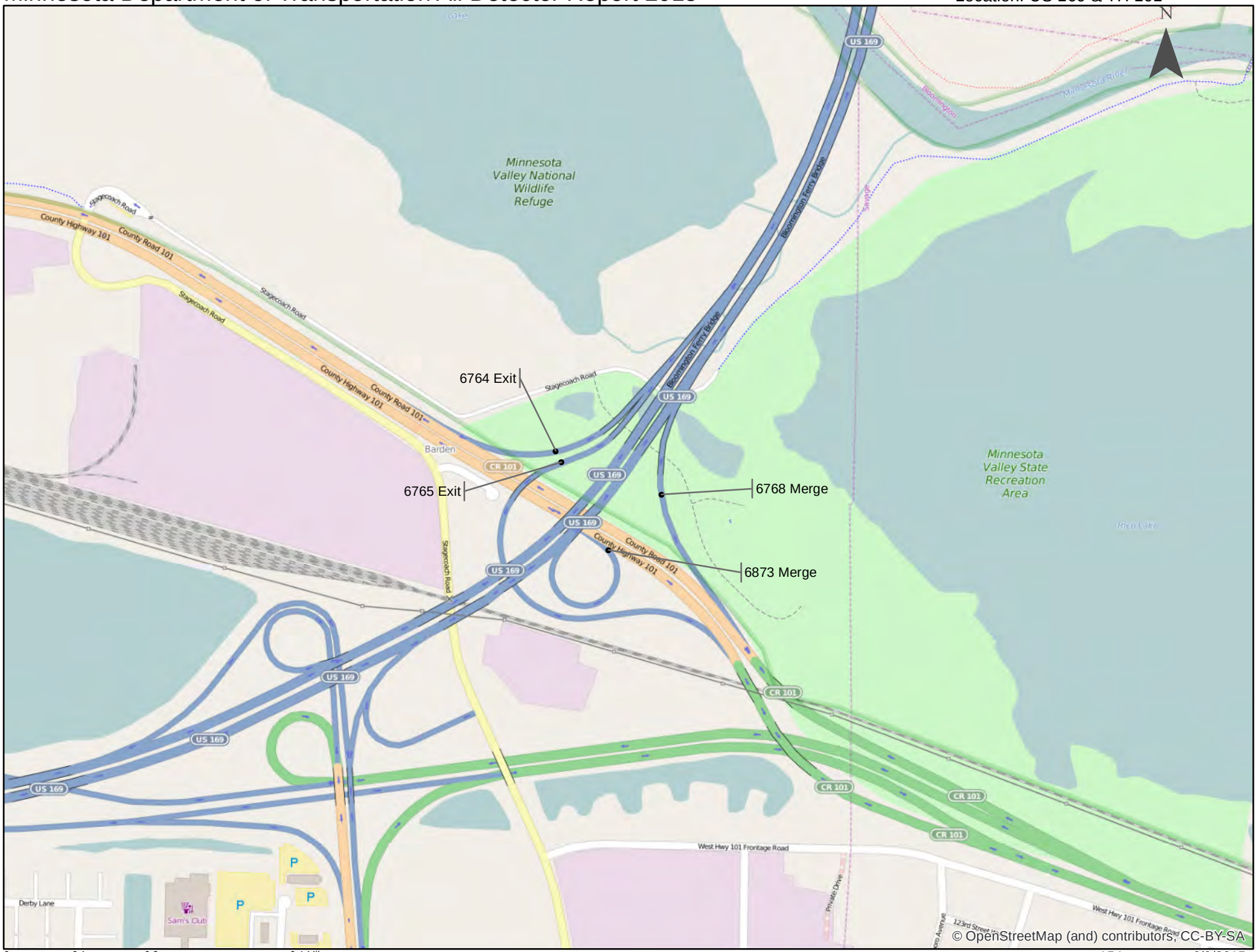

0 0.1 0.2 0.4 Miles

Minnesota Department of Transportation All Detector Report 2015

Location: US 169 & Bloomington Ferry Rd

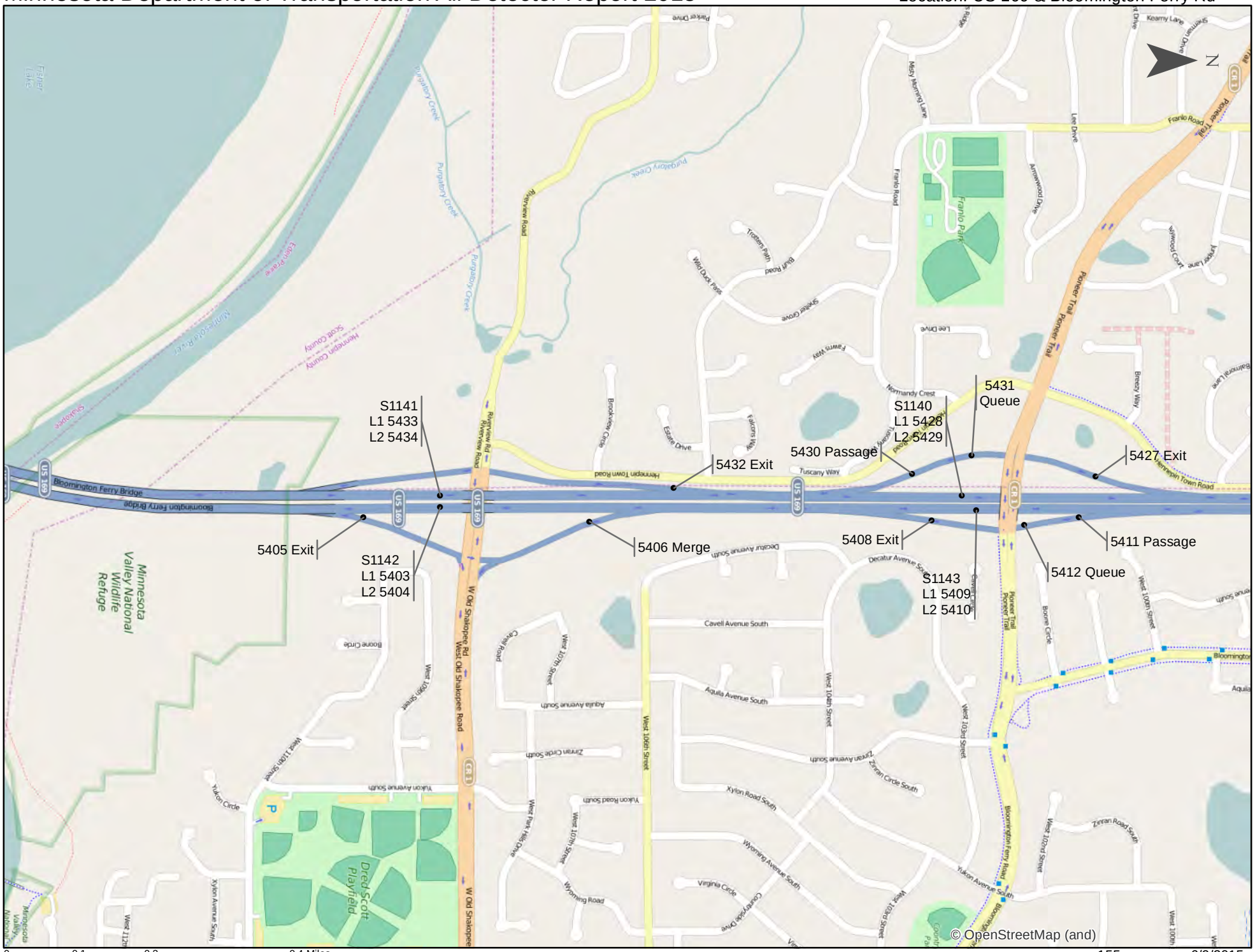

0 0.1 0.2 0.4 Miles

6/9/2015

Location: US 169 & Anderson Lakes Pkwy

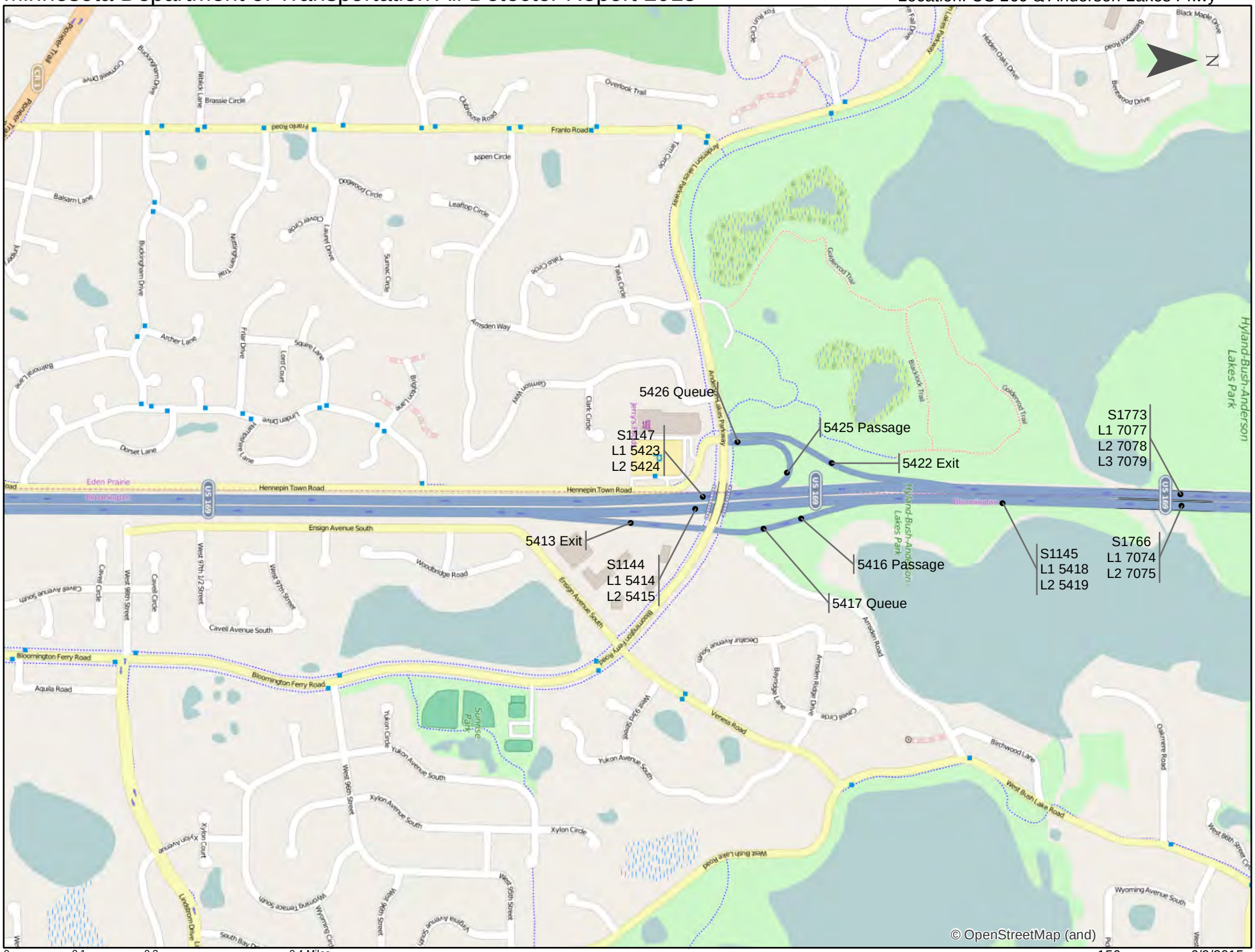

0 0.1 0.2 0.4 Miles

Minnesota Department of Transportation All Detector Report 2015

Location: US 169 & I-494

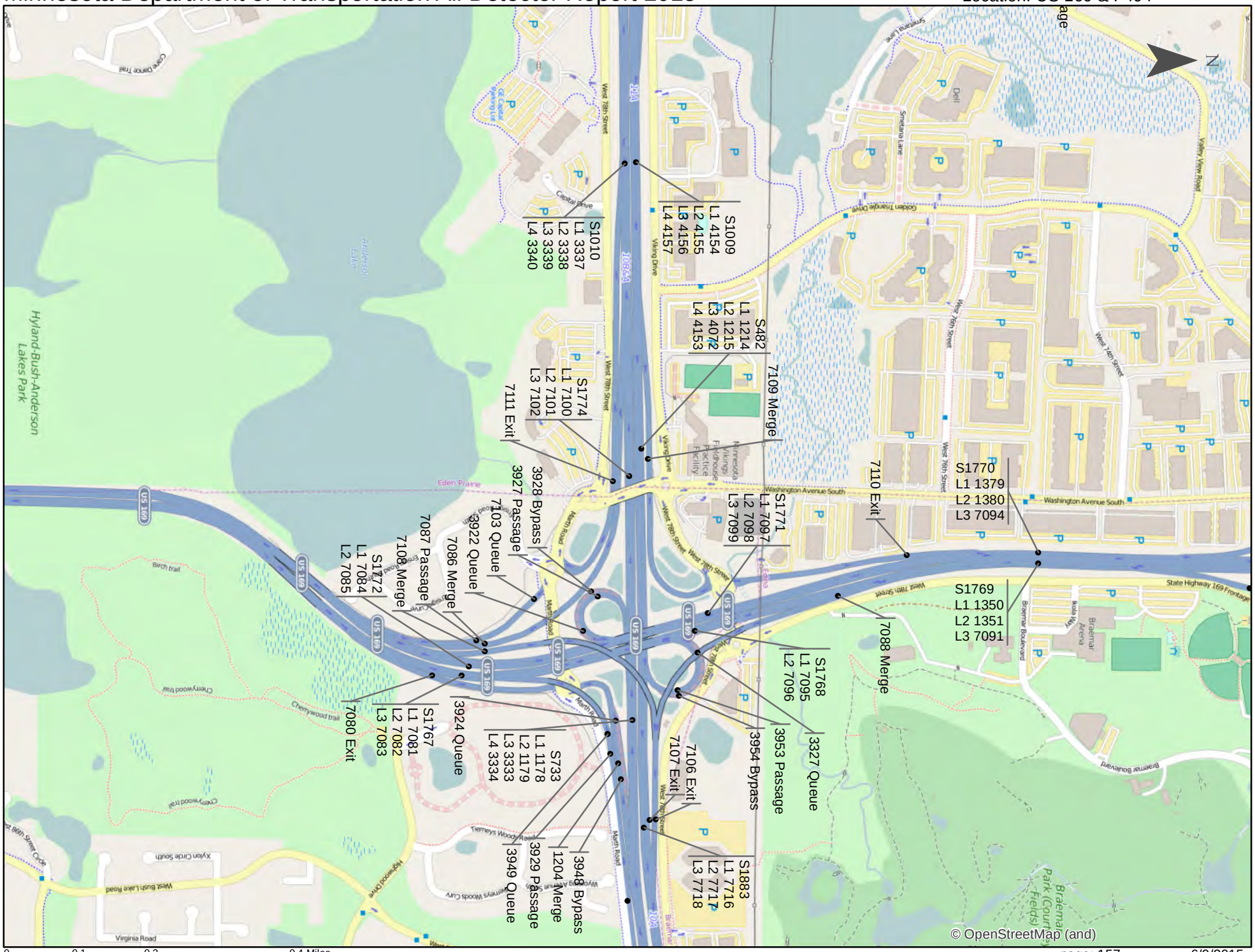

0 0.1 0.2 0.4 Miles

Location: US 169 & TH 212 & TH 62

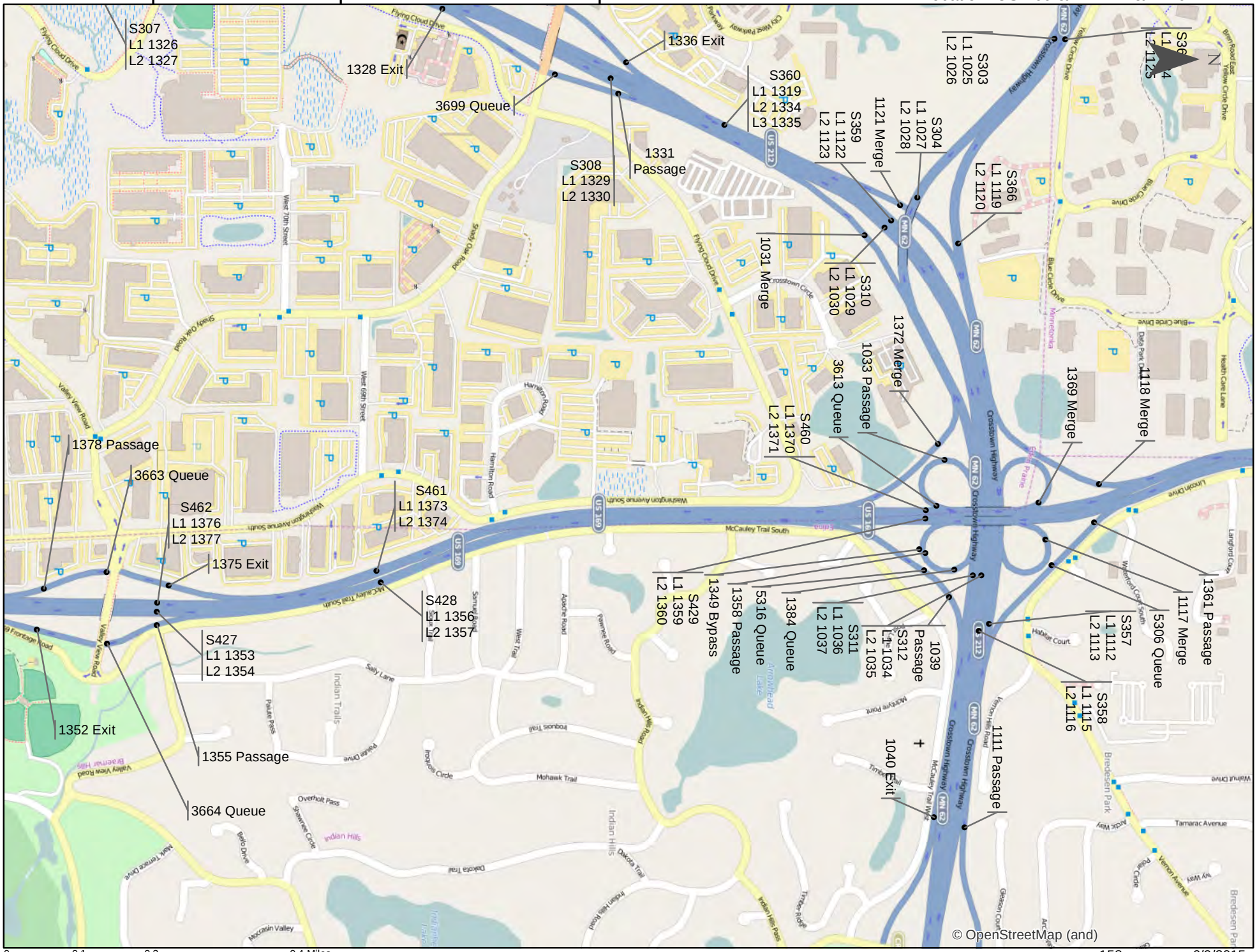

0 0.1 0.2 0.4 Miles

Location: US 169 & 7th St

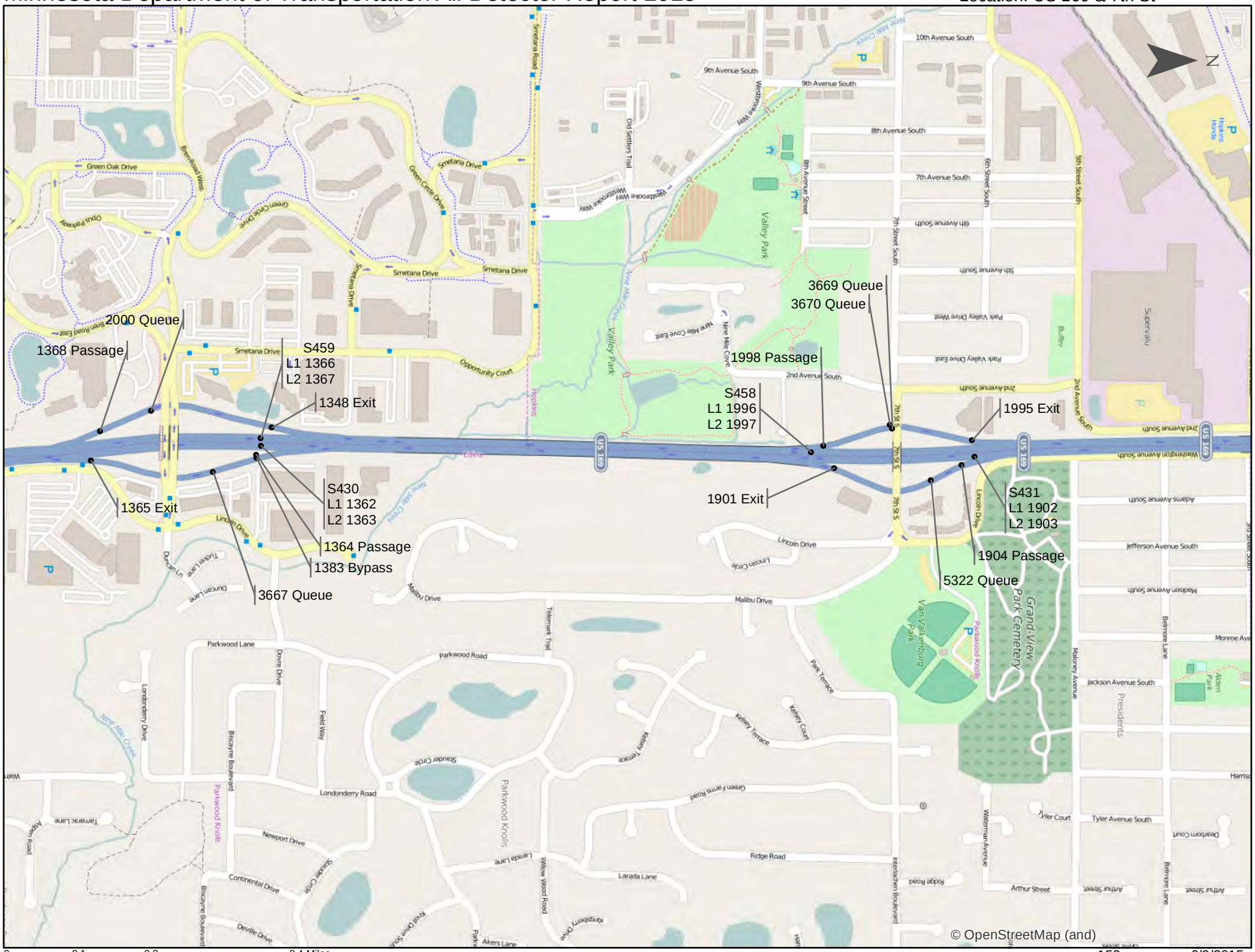

0 0.1 0.2 0.4 Miles

Minnesota Department of Transportation All Detector Report 2015

Location: US 169 & TH 7

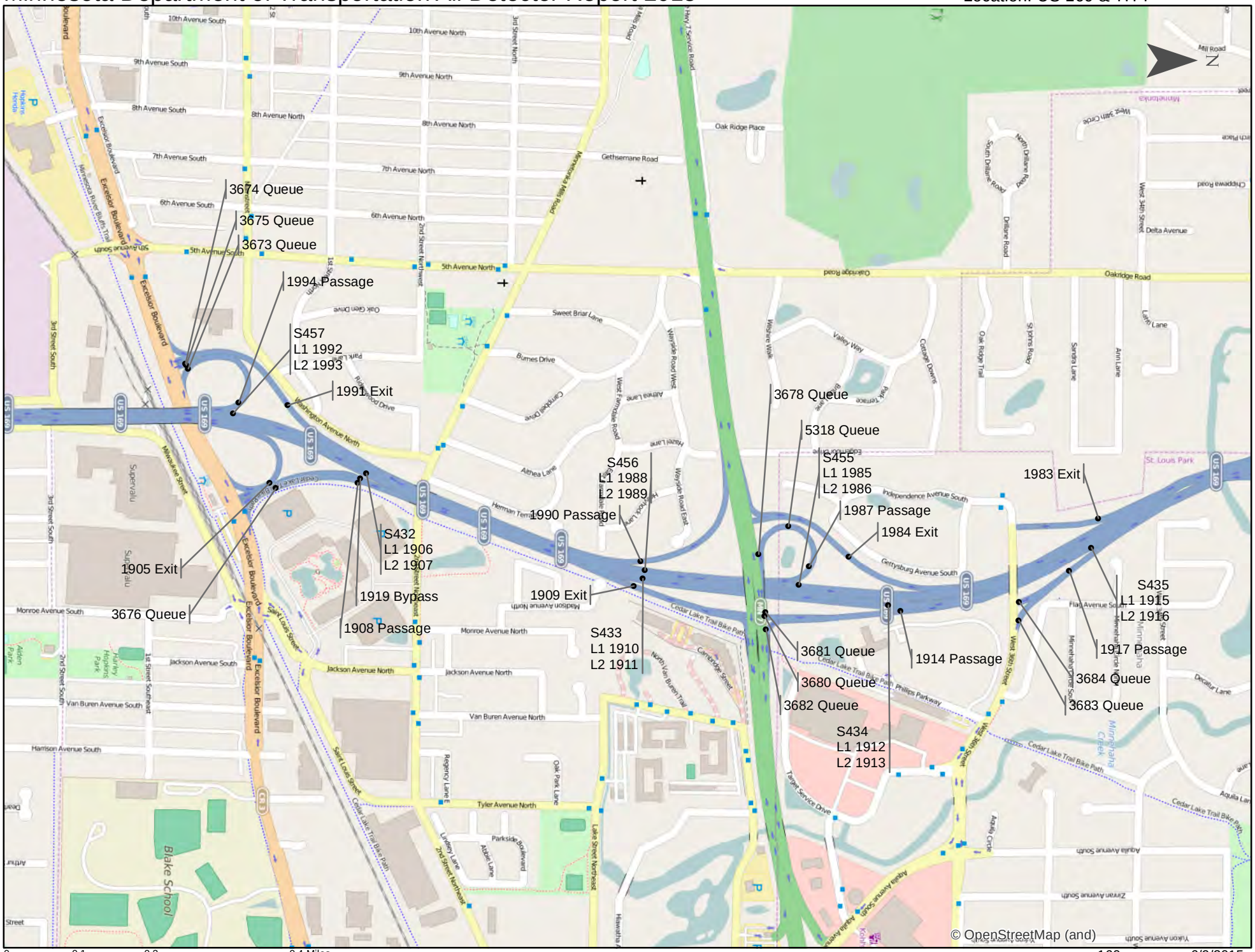

0 0.1 0.2 0.4 Miles

6/9/2015

Minnesota Department of Transportation All Detector Report 2015

Location: US 169 & Cedar Lake Rd

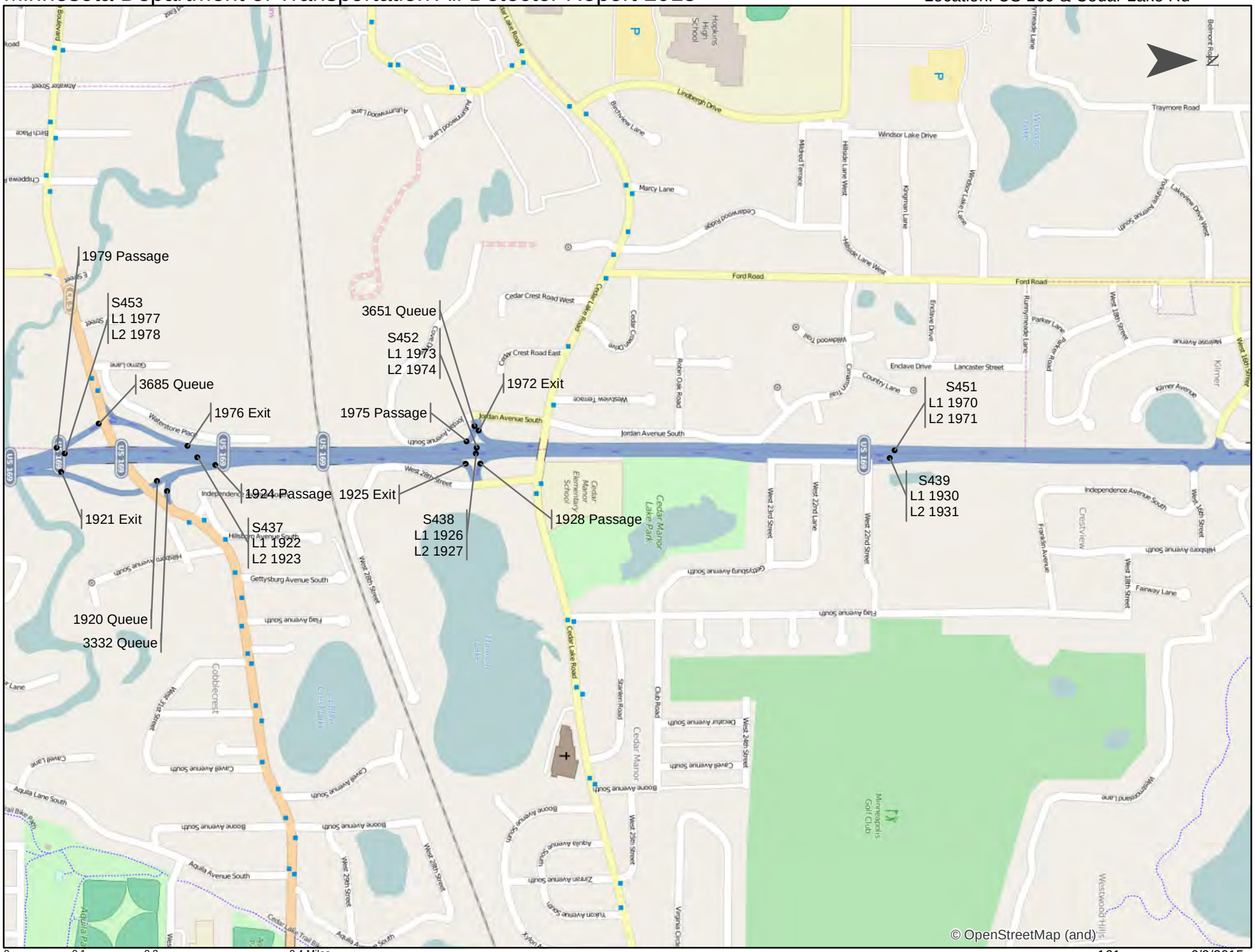

0 0.1 0.2 0.4 Miles

Location: US 169 & I-394

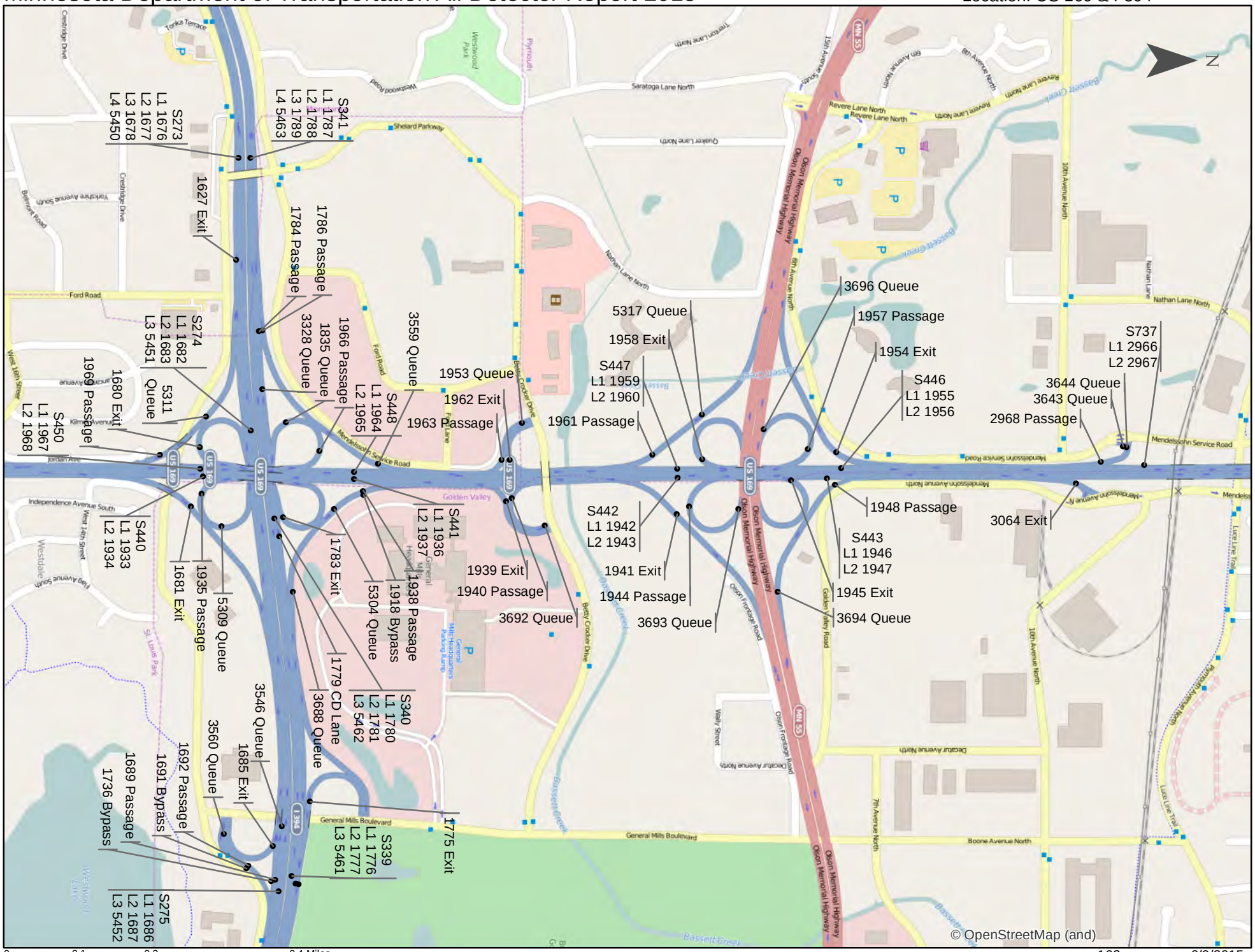

0 0.1 0.2 0.4 Miles

Location: US 169 & Medicine Lake Rd

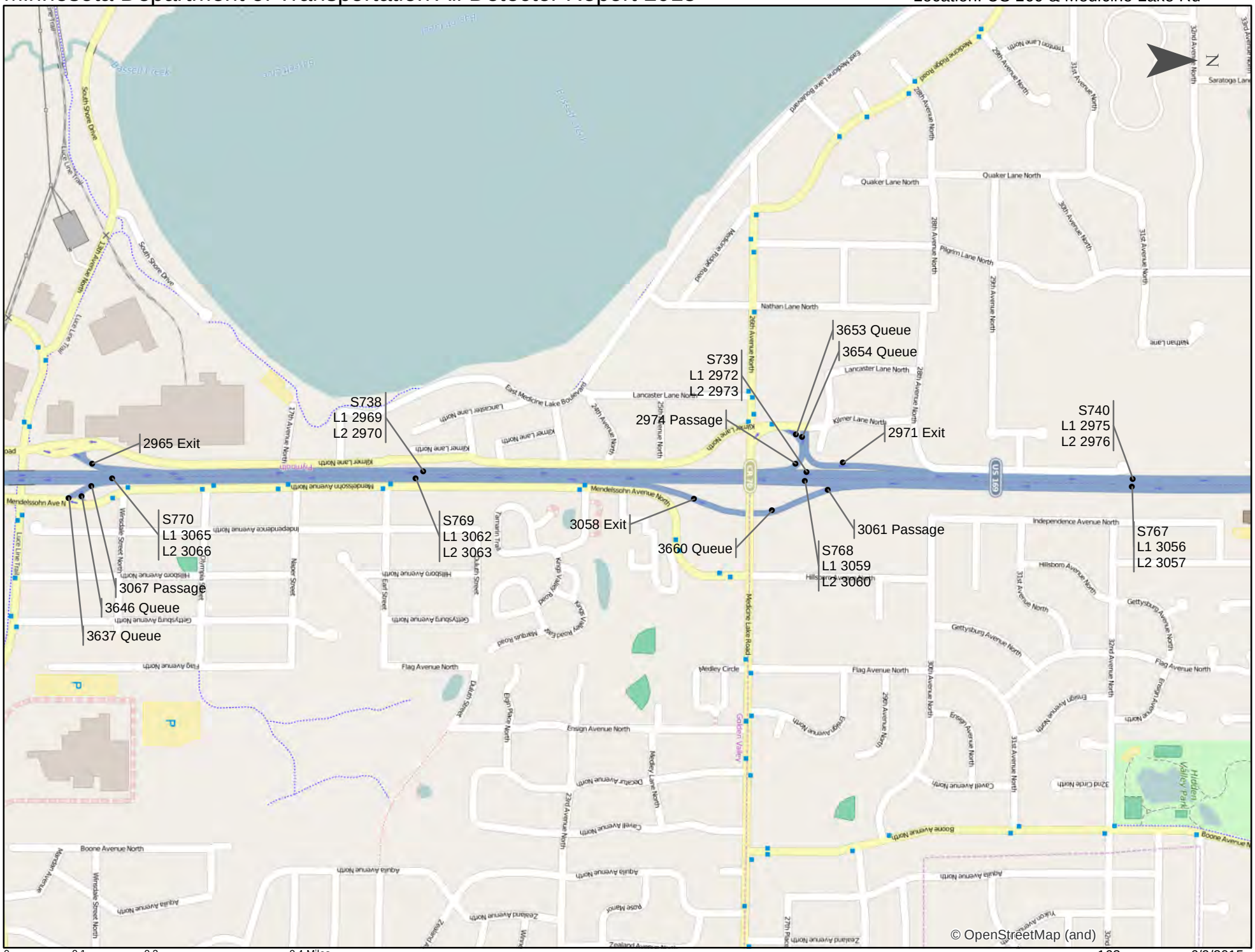
2965 Exit
S770
L1 3065
L2 3066
3067 Passage
3646 Queue
3637 Queue
S738
L1 2969
L2 2970
S769
L1 3062
L2 3063
3058 Exit
3660 Queue
S739
L1 2972
L2 2973
2974 Passage
3653 Queue
3654 Queue
2971 Exit
S768
L1 3059
L2 3060
3061 Passage
S740
L1 2975
L2 2976
S767
L1 3056
L2 3057
N
Quaker Lane North
Pilgrim Lane North
Nathan Lane North
Lancaster Lane North
Kilmer Lane North
East Medicine Lake Boulevard
Mendelssohn Avenue North
Independence Avenue North
Hillsboro Avenue North
Gettysburg Avenue North
Flag Avenue North
Medley Circle
Ensign Avenue North
Medicine Lake Road
Golden Valley
Hidden Valley Park
Boone Avenue North
Aquila Avenue North
Zealand Avenue North
Decatur Avenue North
Carell Avenue North
Medicine Ridge Road
Trenton Lane North
Saratoga Lane
South Shore Drive
Luce Line Trail
Bassett Creek
Bass Creek
Plymouth
Winsdale Street North
Naper Street
Earl Street
Duluth Street
Tamarin Trail
Kings Valley Road
Manitou Road
Ensign Place North
Medley Lane North
Zephyr Avenue
Wirth Avenue
Yukon Avenue
Mendelssohn Ave N
Independence Avenue North
Hillsboro Avenue North
Gettysburg Avenue North
Flag Avenue North
Ensign Avenue North
Decatur Avenue North
Carell Avenue North
Boone Avenue North
Aquila Avenue North
Zealand Avenue North
Lancaster Lane North
Kilmer Lane North
Nathan Lane North
Quaker Lane North
Pilgrim Lane North
Trenton Lane North
Saratoga Lane
Medicine Ridge Road
East Medicine Lake Boulevard
Mendelssohn Avenue North
Independence Avenue North
Hillsboro Avenue North
Gettysburg Avenue North
Flag Avenue North
Ensign Avenue North
Medicine Lake Road
Medley Circle
Golden Valley
Hidden Valley Park
Boone Avenue North
Aquila Avenue North
Zealand Avenue North
Decatur Avenue North
Carell Avenue North
Kings Valley Road
Manitou Road
Ensign Place North
Medley Lane North
Zephyr Avenue
Wirth Avenue
Yukon Avenue
Winsdale Street North
Naper Street
Earl Street
Duluth Street
Tamarin Trail
Plymouth
Luce Line Trail
South Shore Drive
Bassett Creek
Bass Creek

Minnesota Department of Transportation All Detector Report 2015

Location: US 169 & Rockford Rd

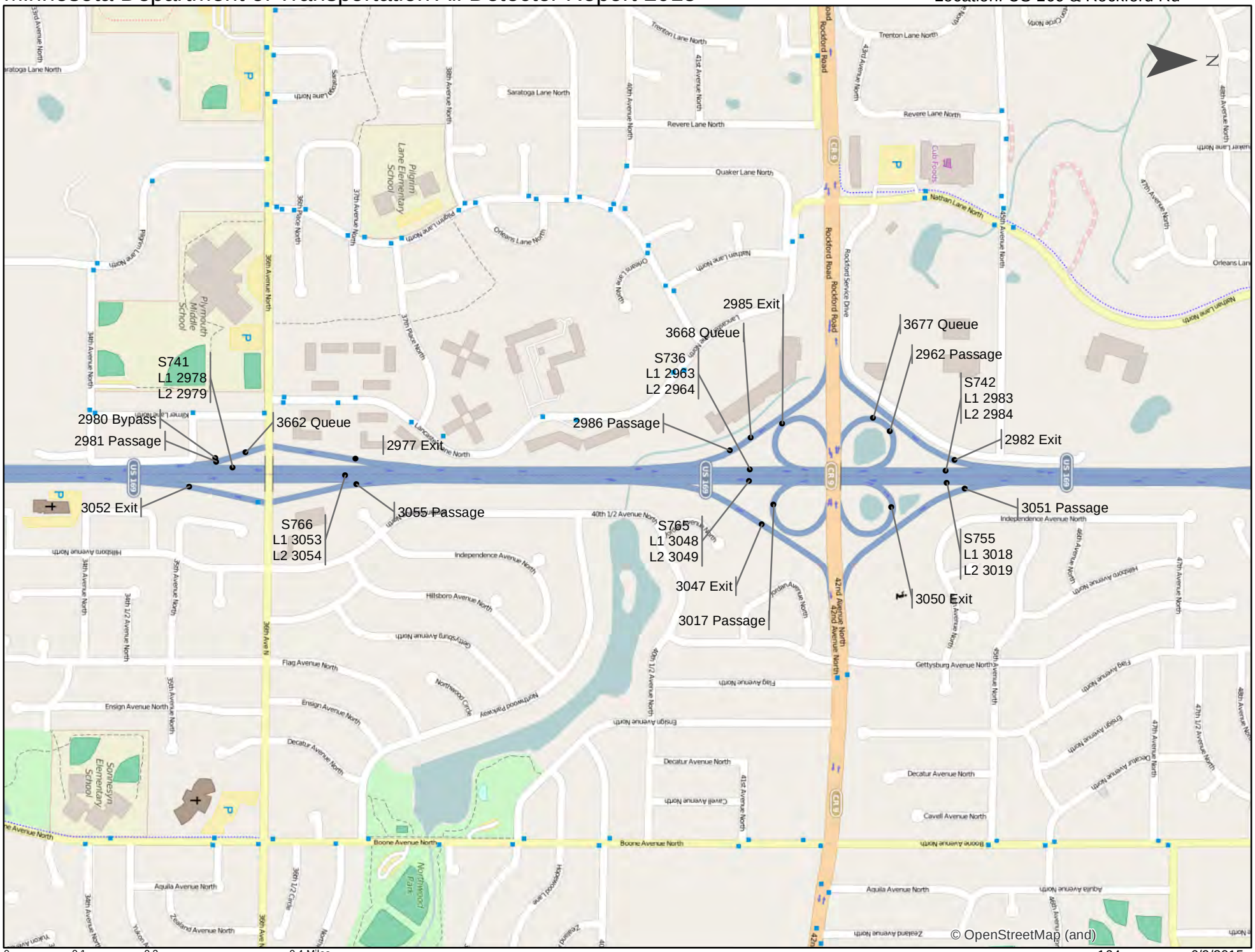

0 0.1 0.2 0.4 Miles

6/9/2015

Location: US 169 & Bass Lake Rd

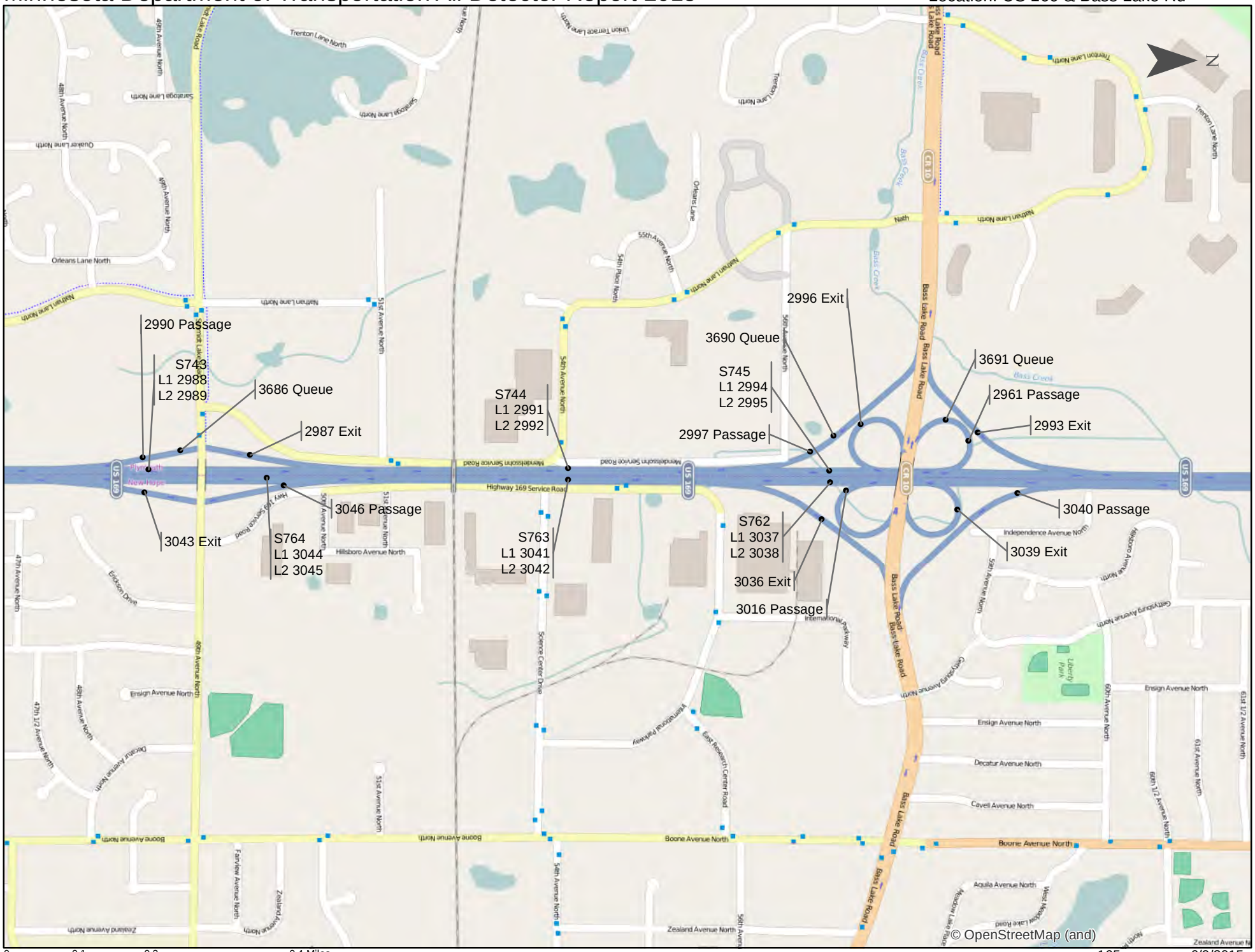

0 0.1 0.2 0.4 Miles

Location: US 169 & I-94

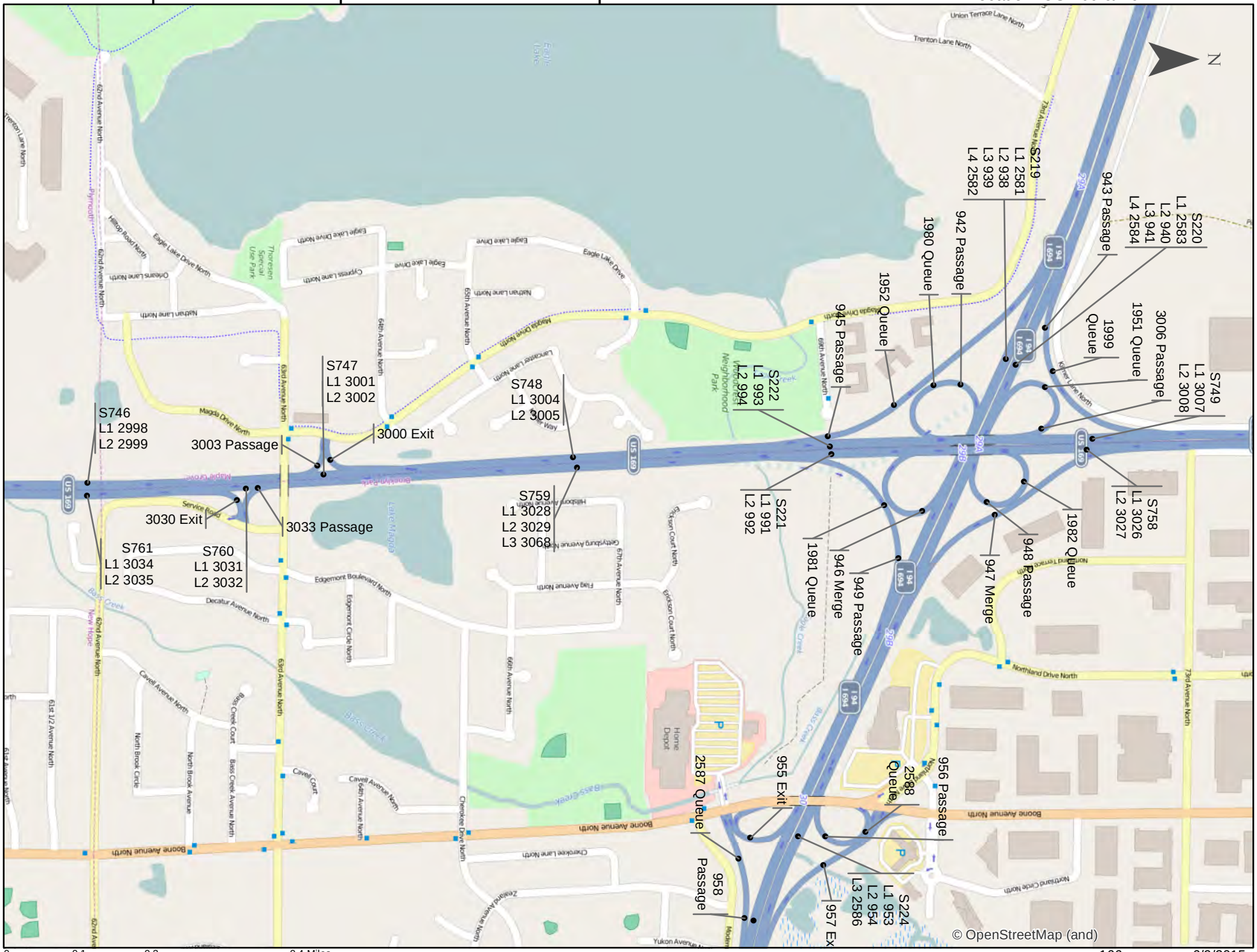

0 0.1 0.2 0.4 Miles

Location: US 169 & Brooklyn Blvd

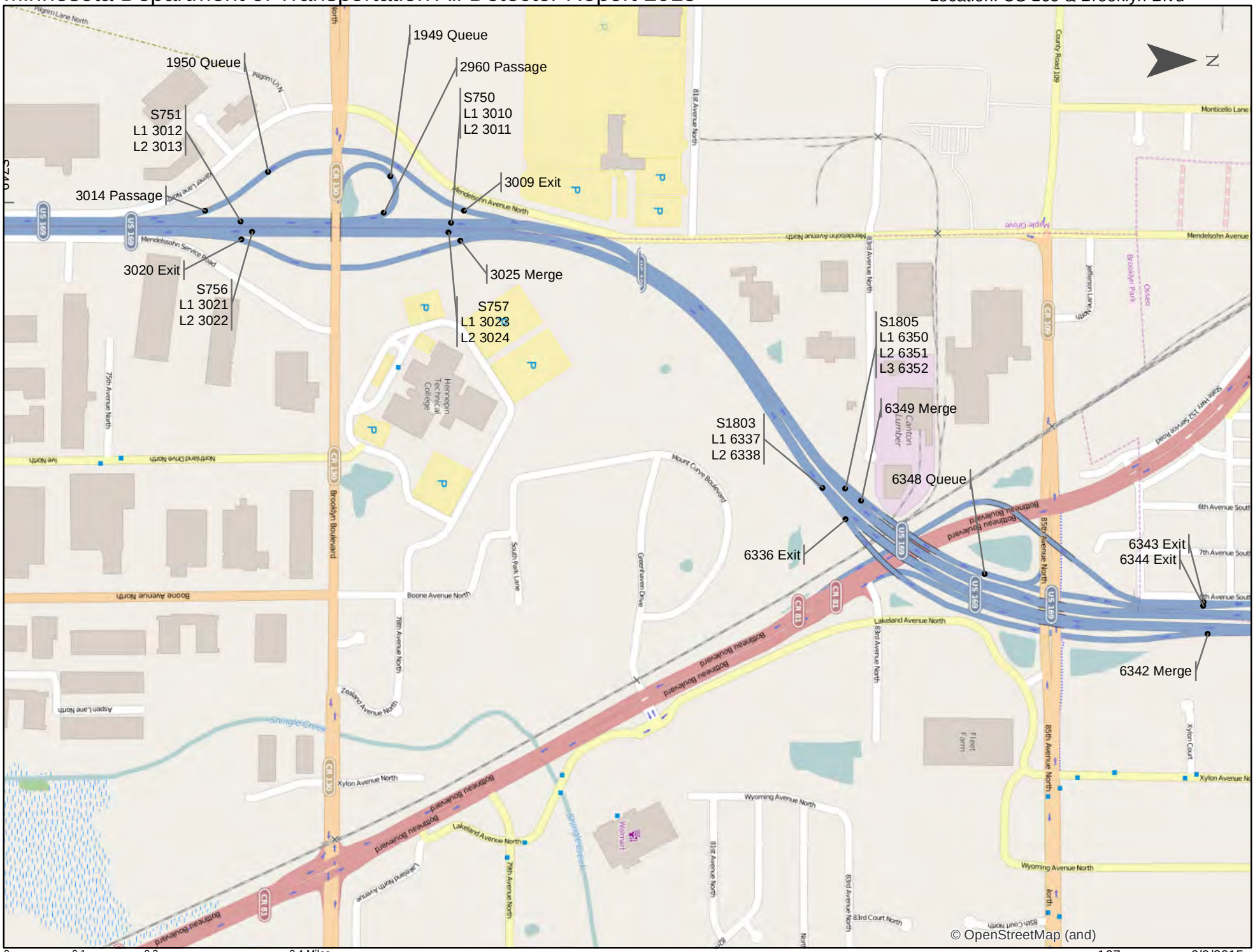

0 0.1 0.2 0.4 Miles

Location: US 169 & TH 610

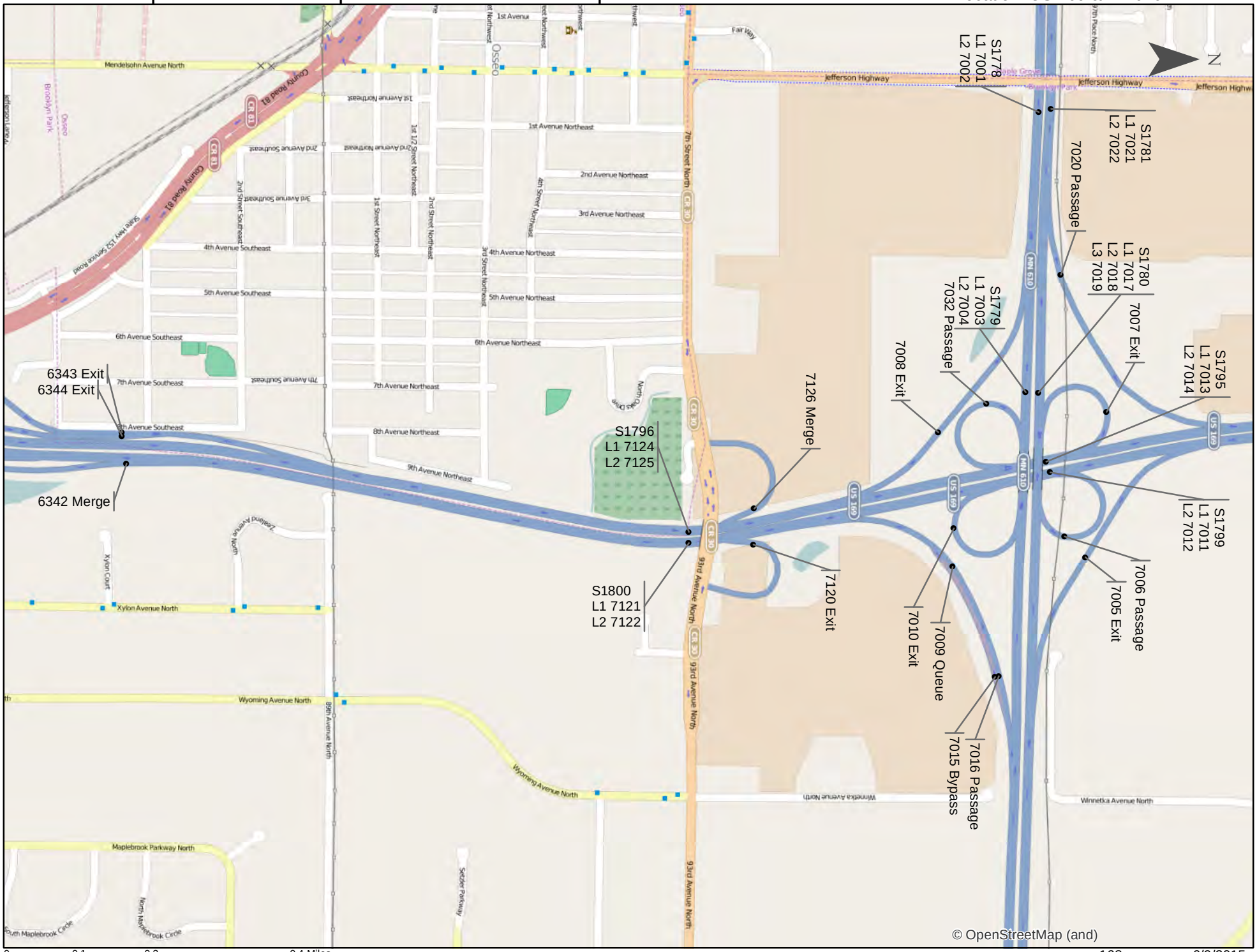

0 0.1 0.2 0.4 Miles

Location: TH 212 & TH 41

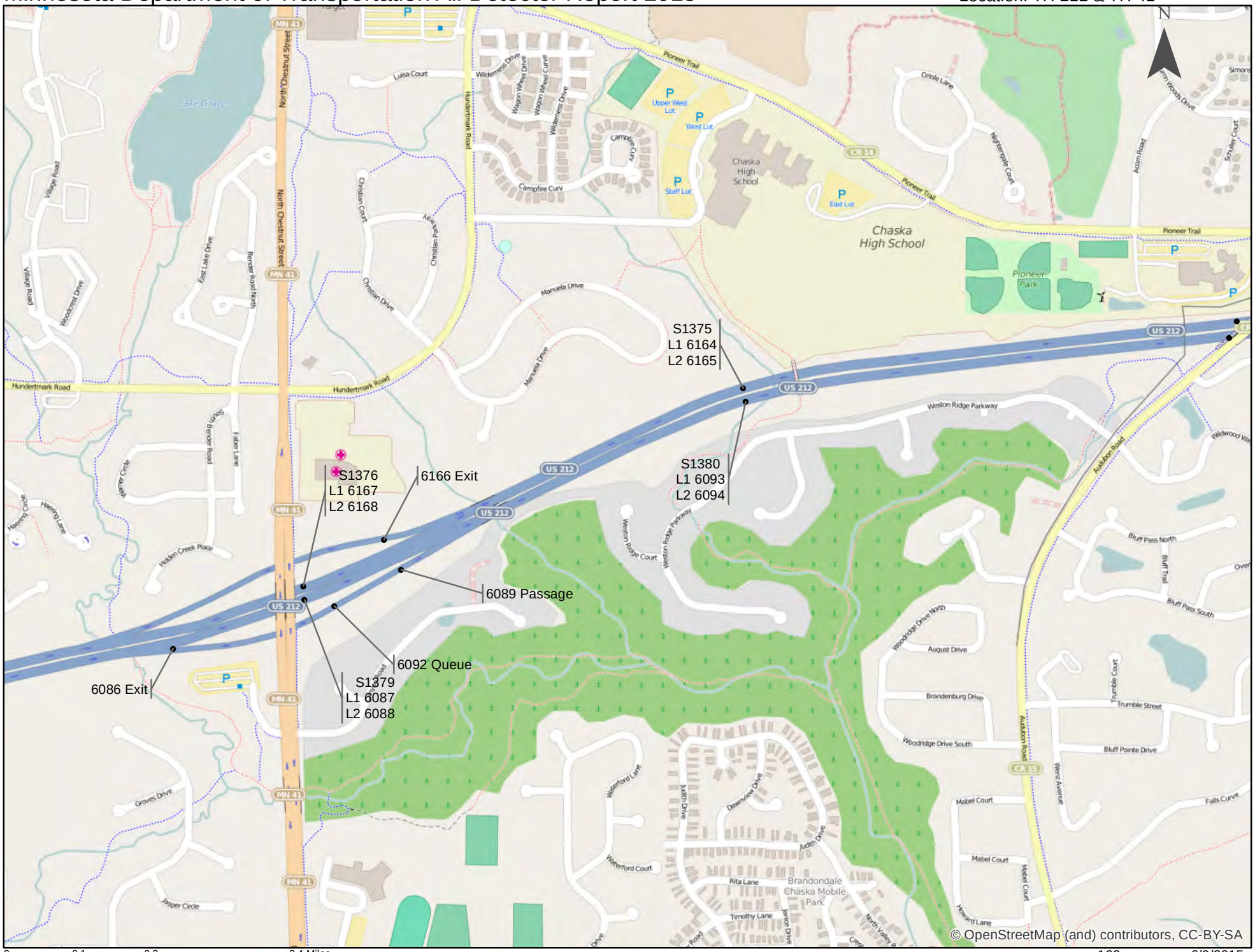

0 0.1 0.2 0.4 Miles

Location: TH 212 & Pioneer Trail

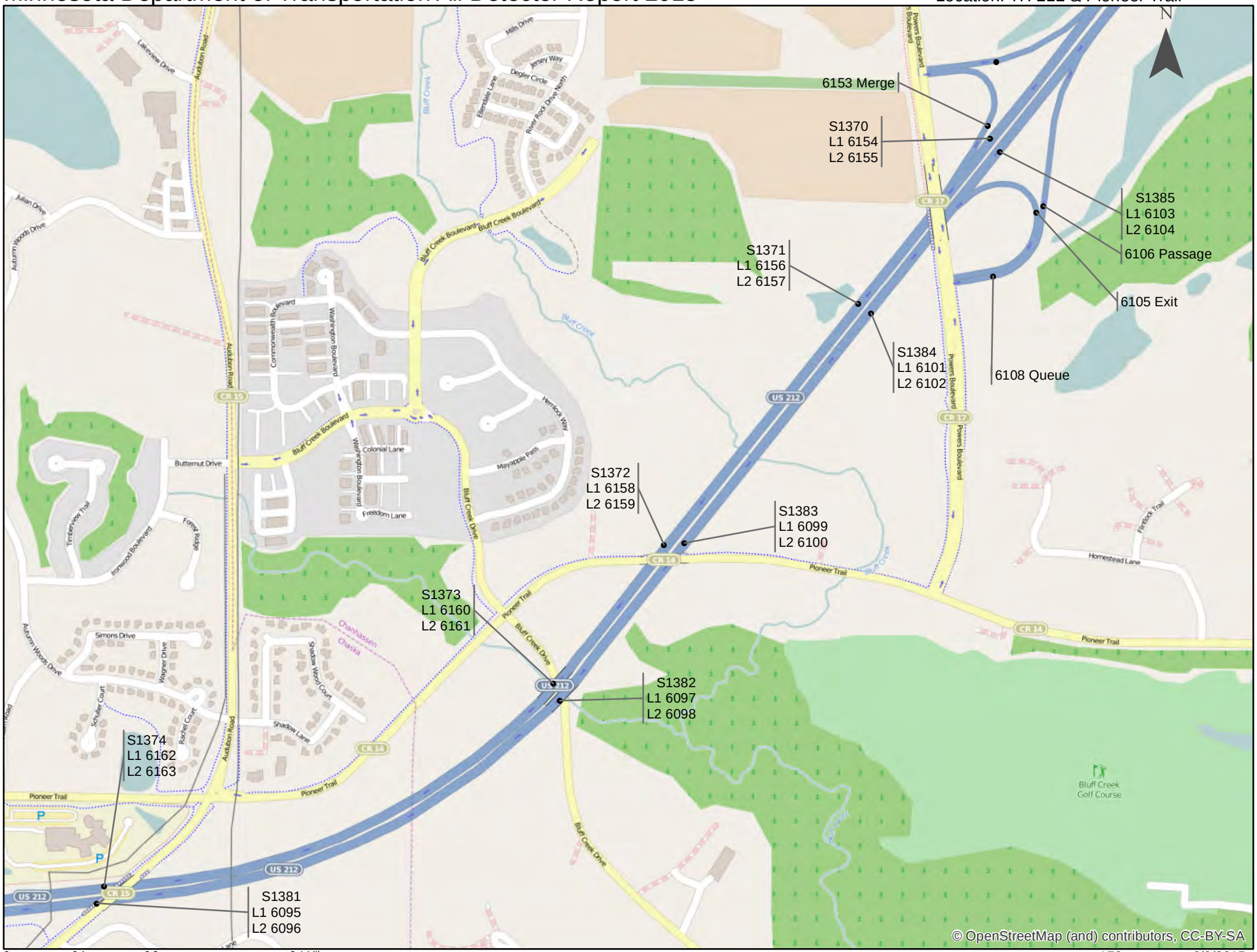

0 0.1 0.2 0.4 Miles

Minnesota Department of Transportation All Detector Report 2015

Location: TH 212 & TH 101

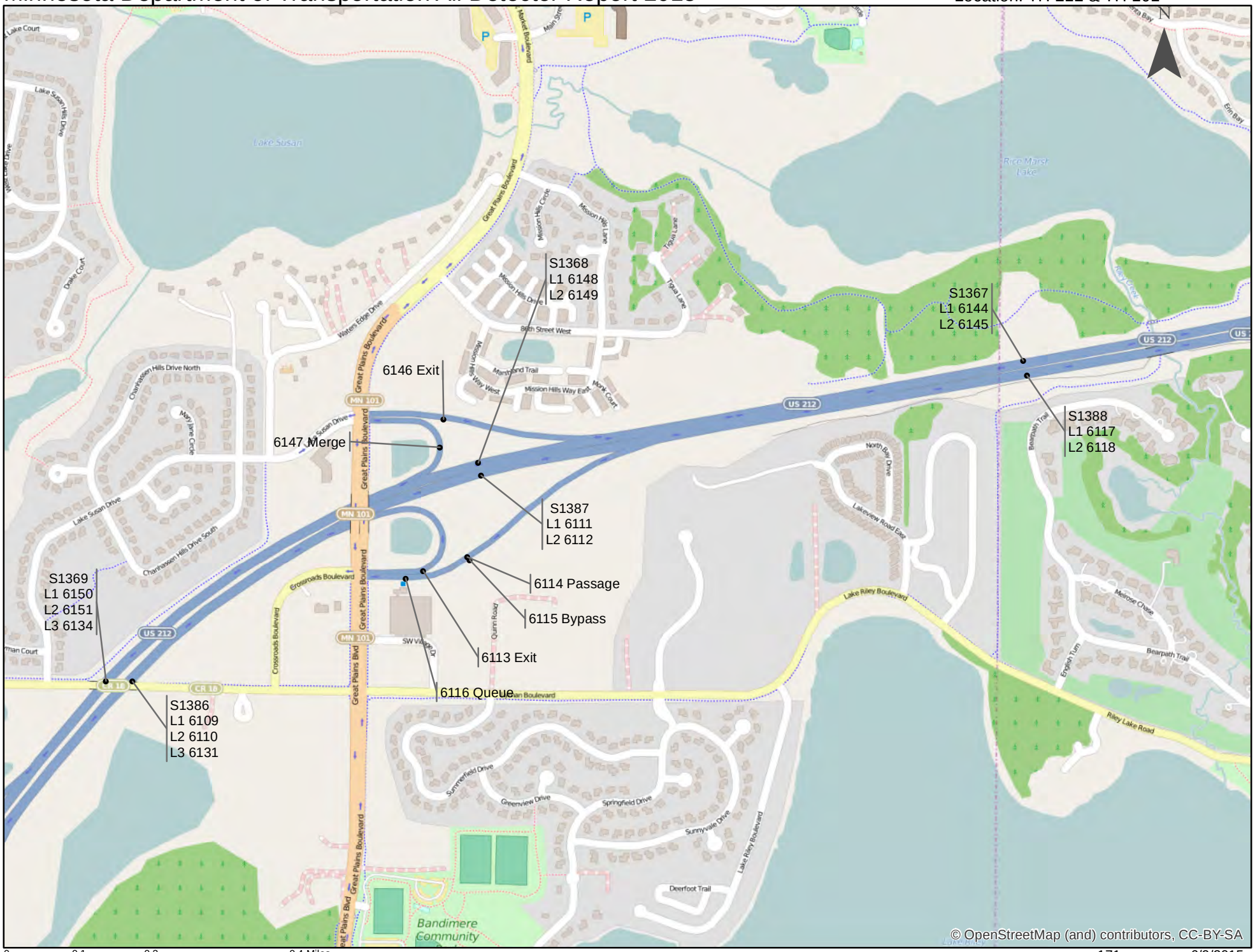

0 0.1 0.2 0.4 Miles

Location: TH 212 & Dell Rd

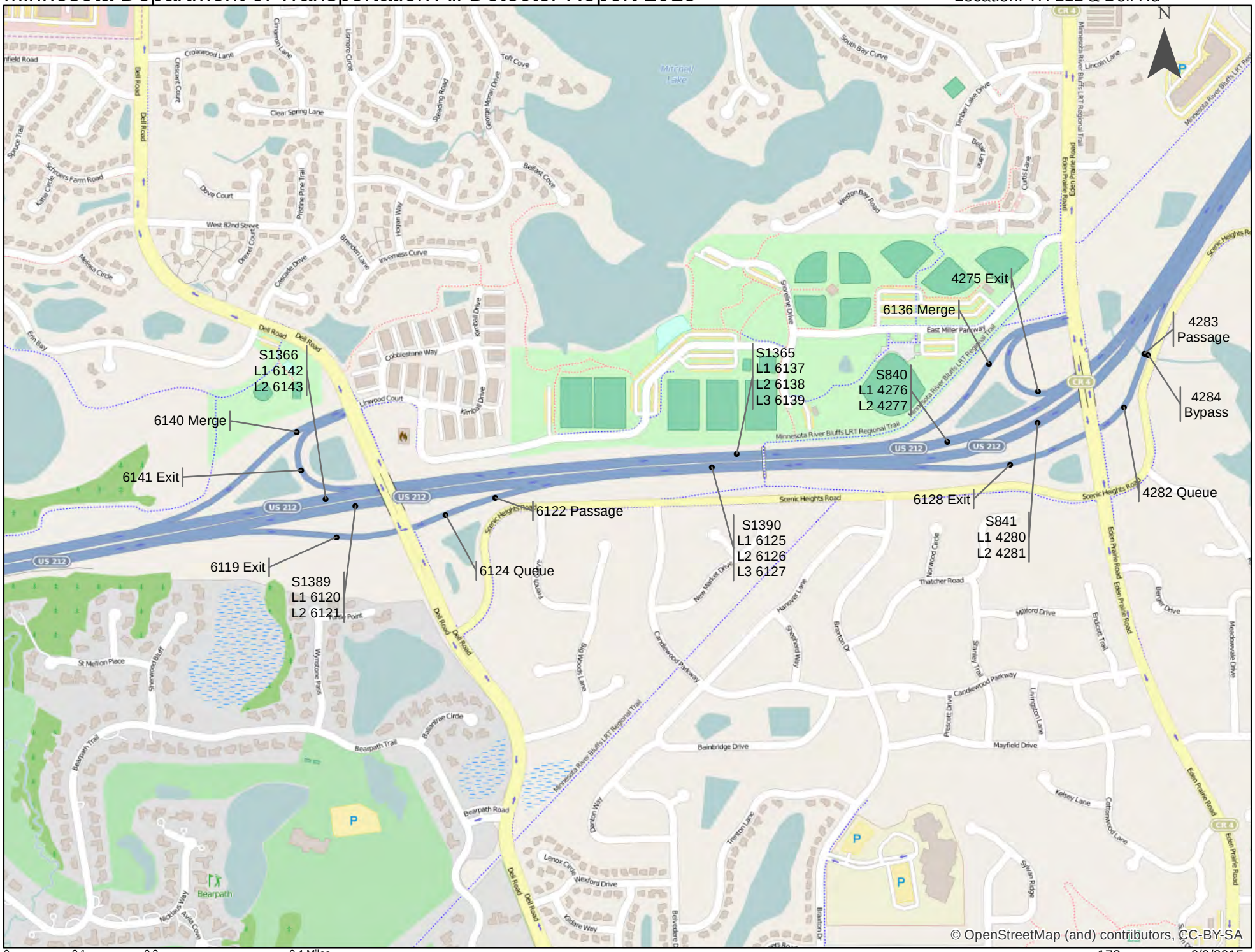

0 0.1 0.2 0.4 Miles

Minnesota Department of Transportation All Detector Report 2015

Location: TH 212 & TH 5

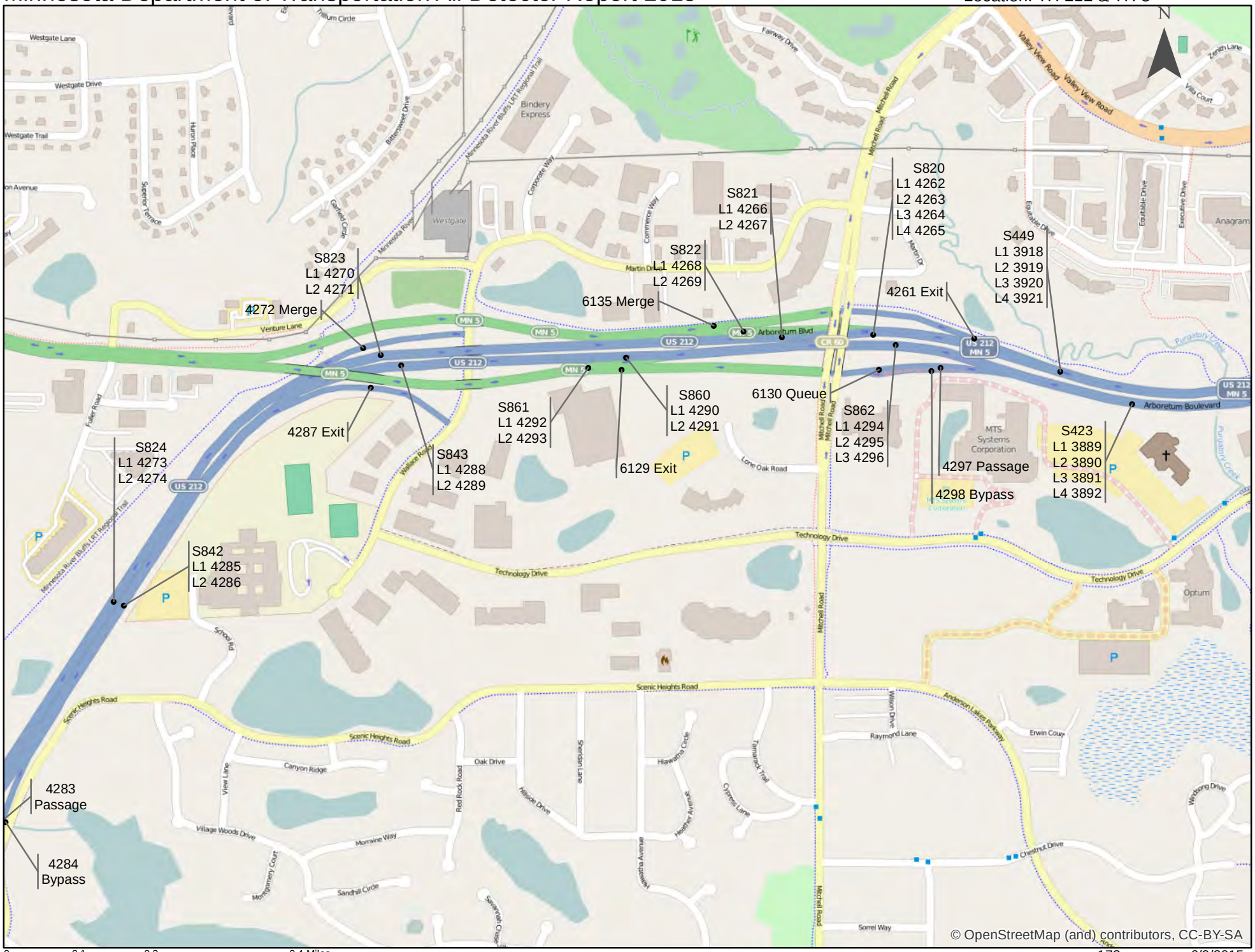

0 0.1 0.2 0.4 Miles

Minnesota Department of Transportation All Detector Report 2015

Location: TH 212 & I-494

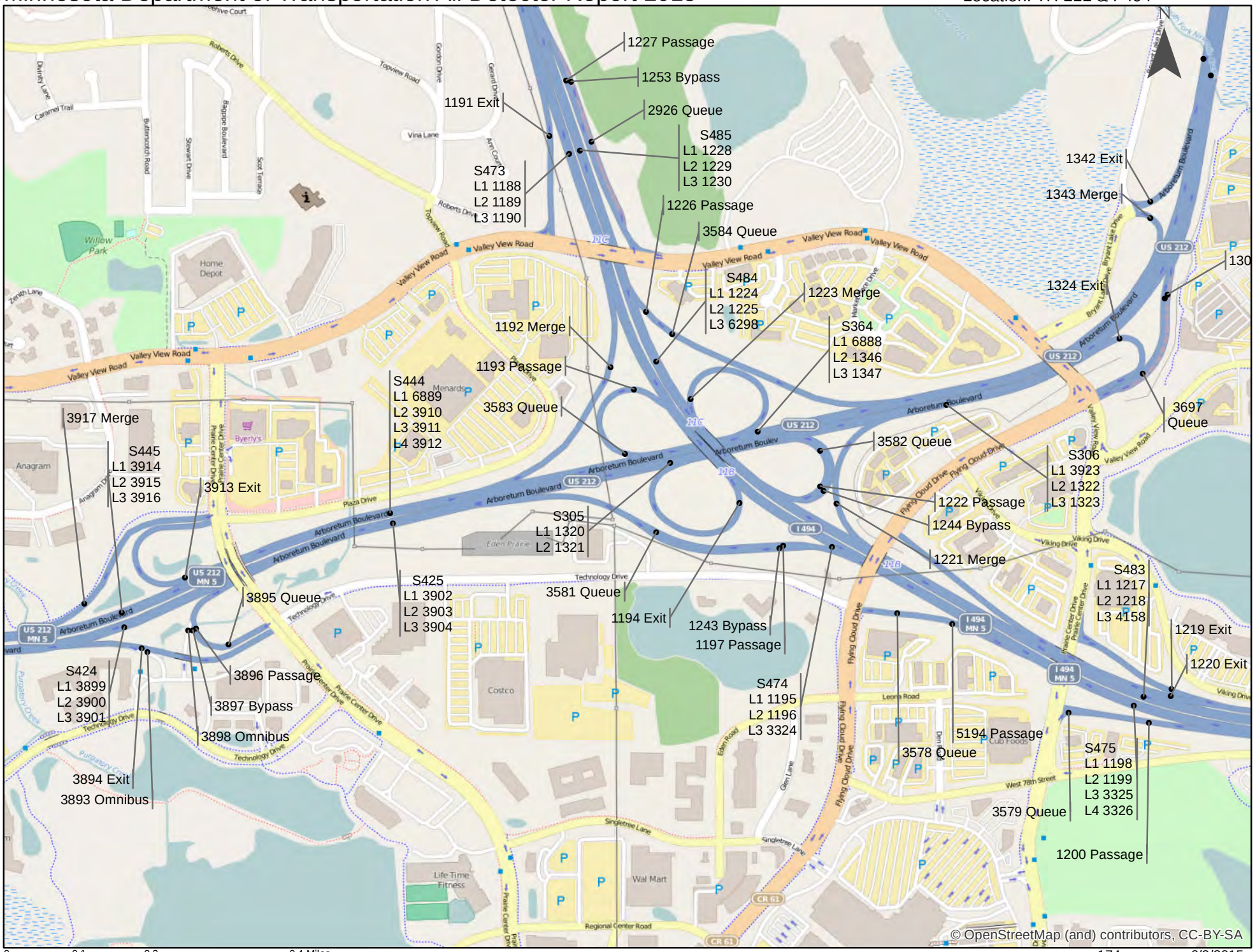

0 0.1 0.2 0.4 Miles

Location: TH 212 & Shady Oak Rd

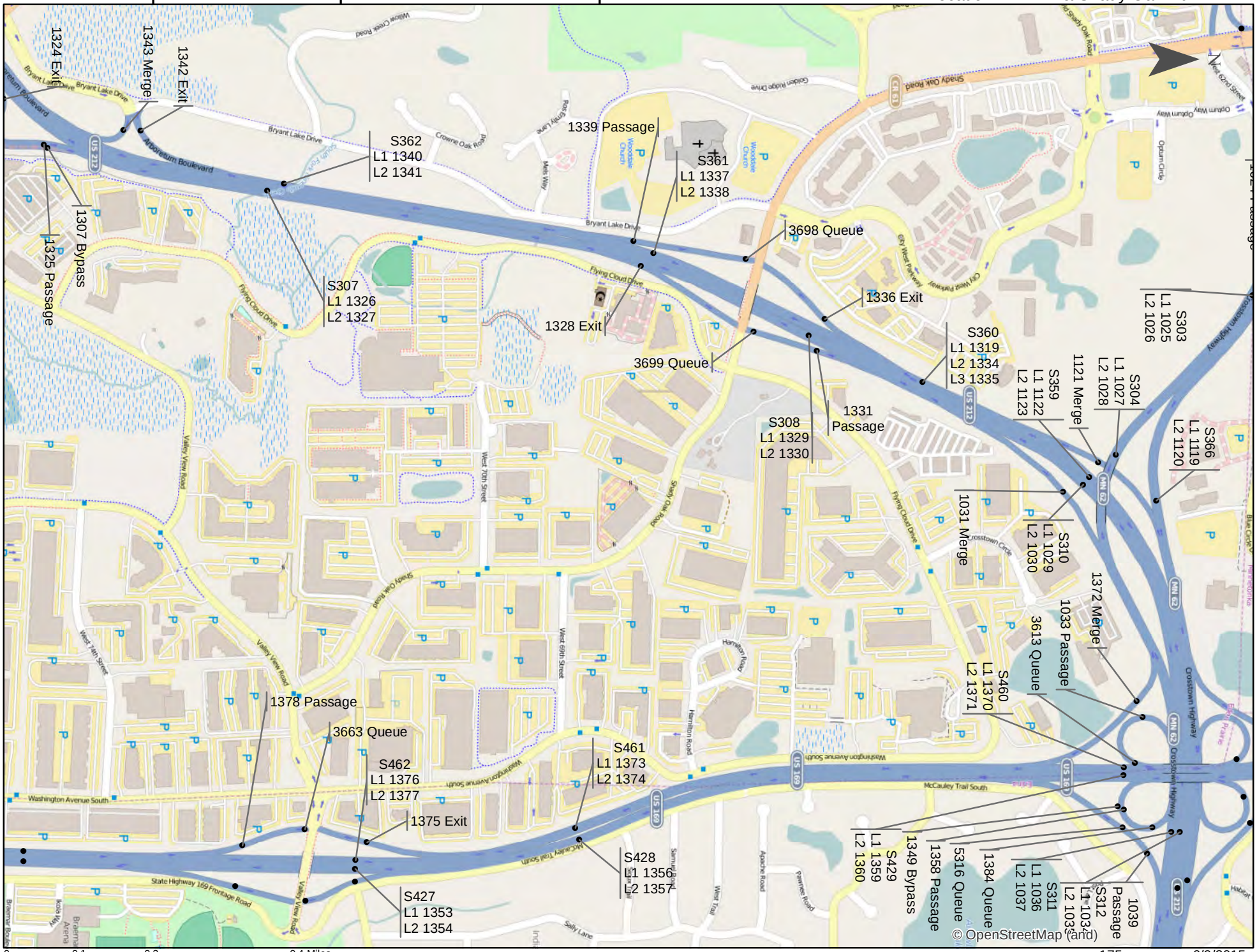

© OpenStreetMap (and)

Minnesota Department of Transportation All Detector Report 2015

Location: TH 280 & University Ave

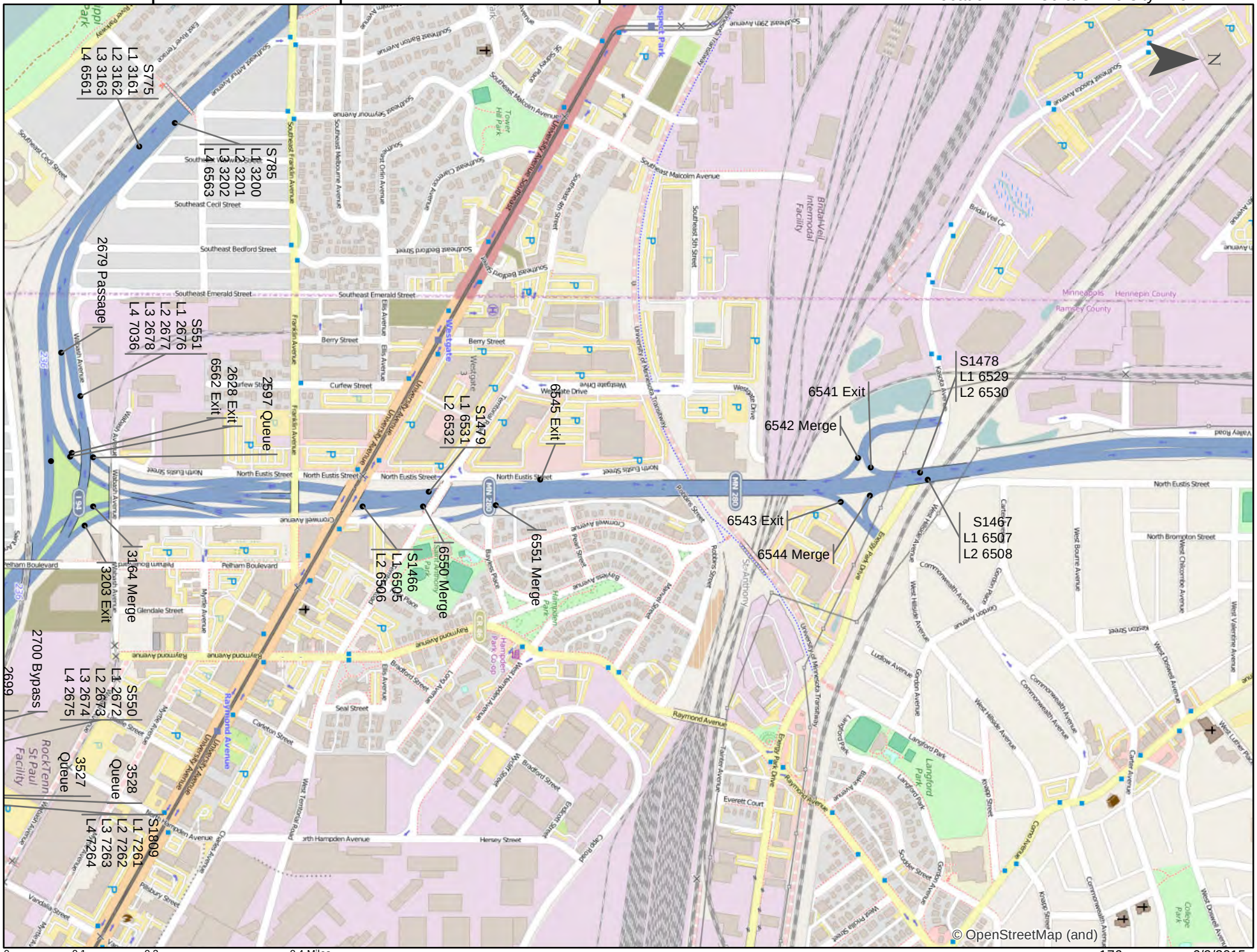

0 0.1 0.2 0.4 Miles

6/9/2015

Minnesota Department of Transportation All Detector Report 2015

Location: TH 280 & Larpenteur Ave

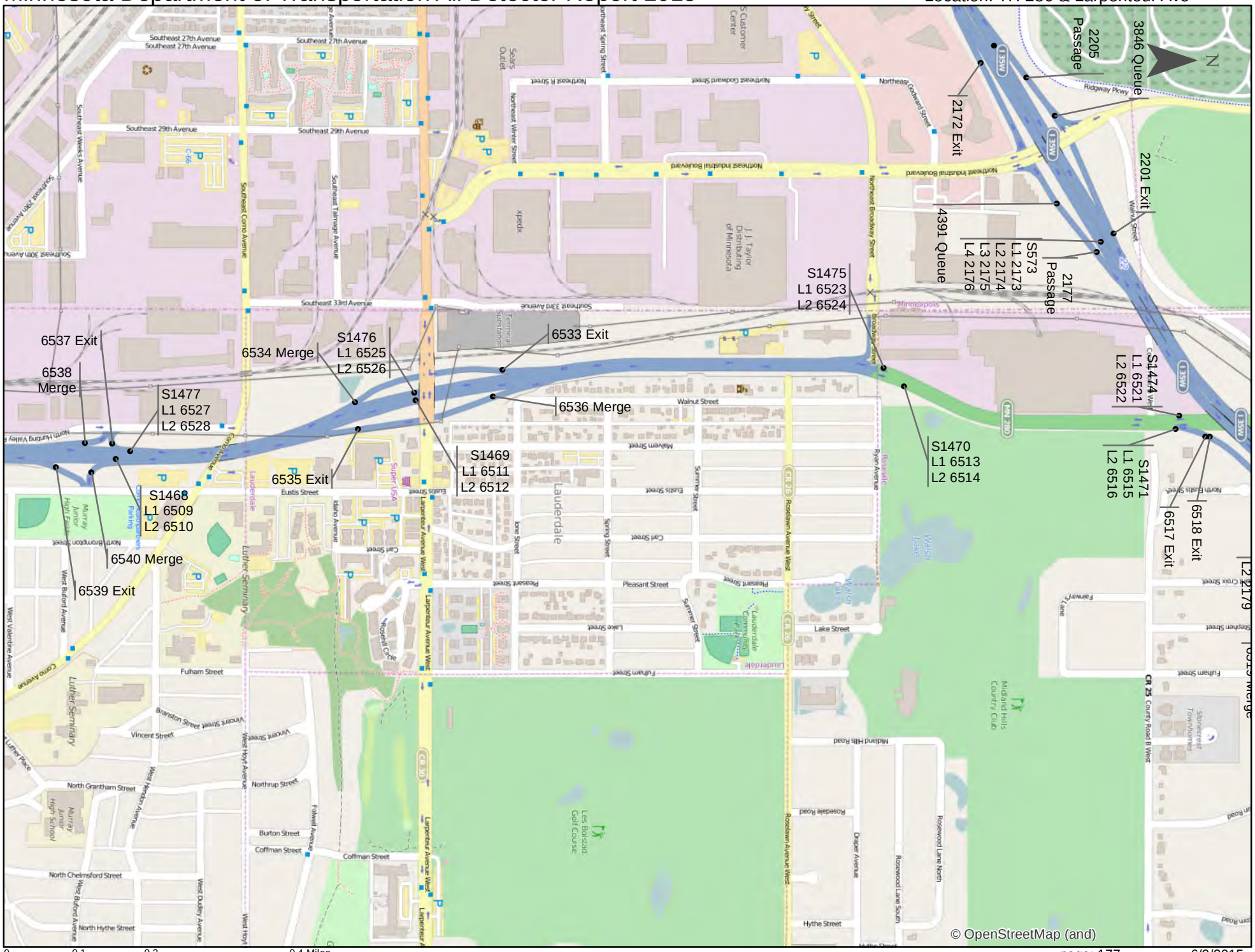

0 0.1 0.2 0.4 Miles

Location: US 12 & TH 101

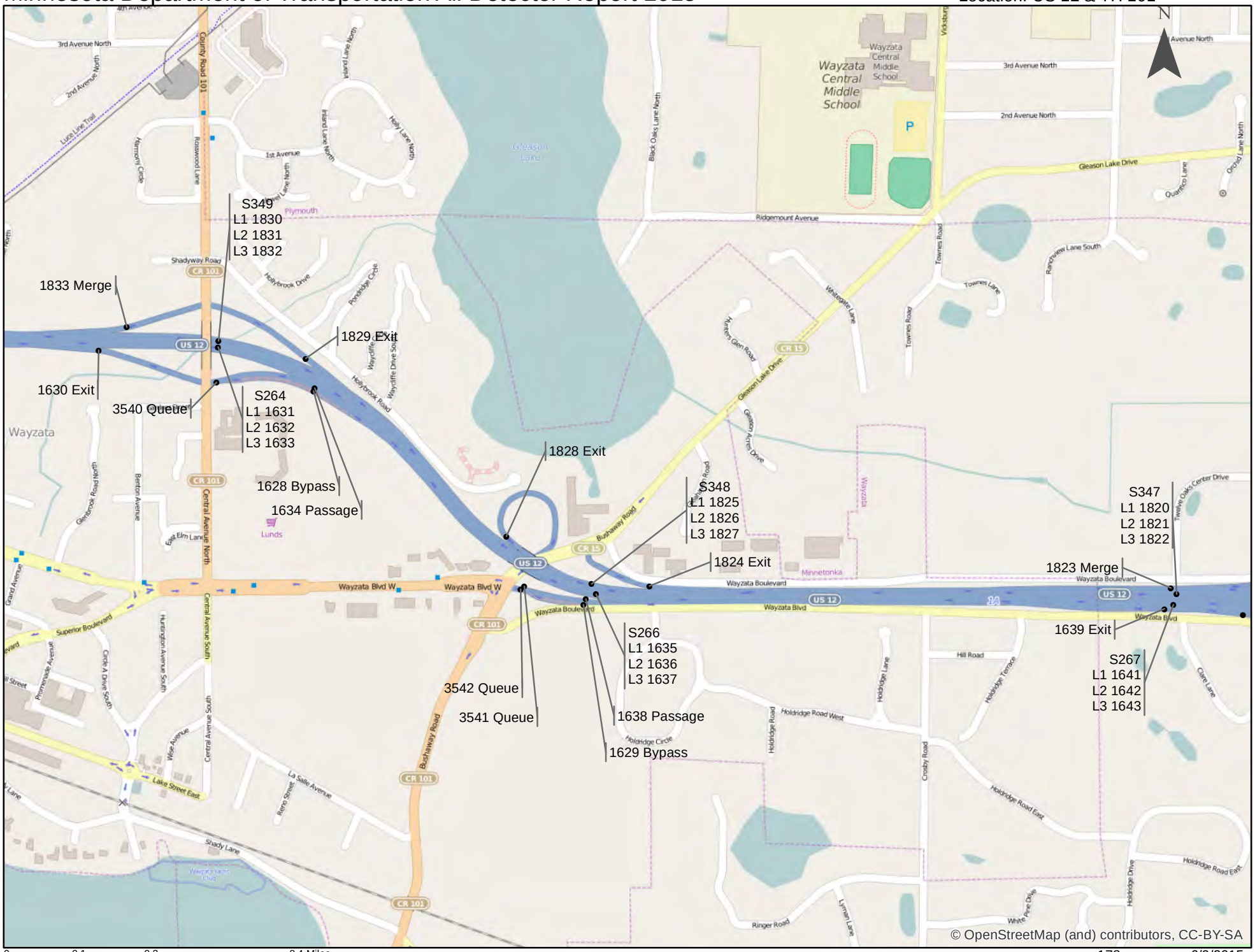

0 0.1 0.2 0.4 Miles

Minnesota Department of Transportation All Detector Report 2015

Location: I-394 & I-494

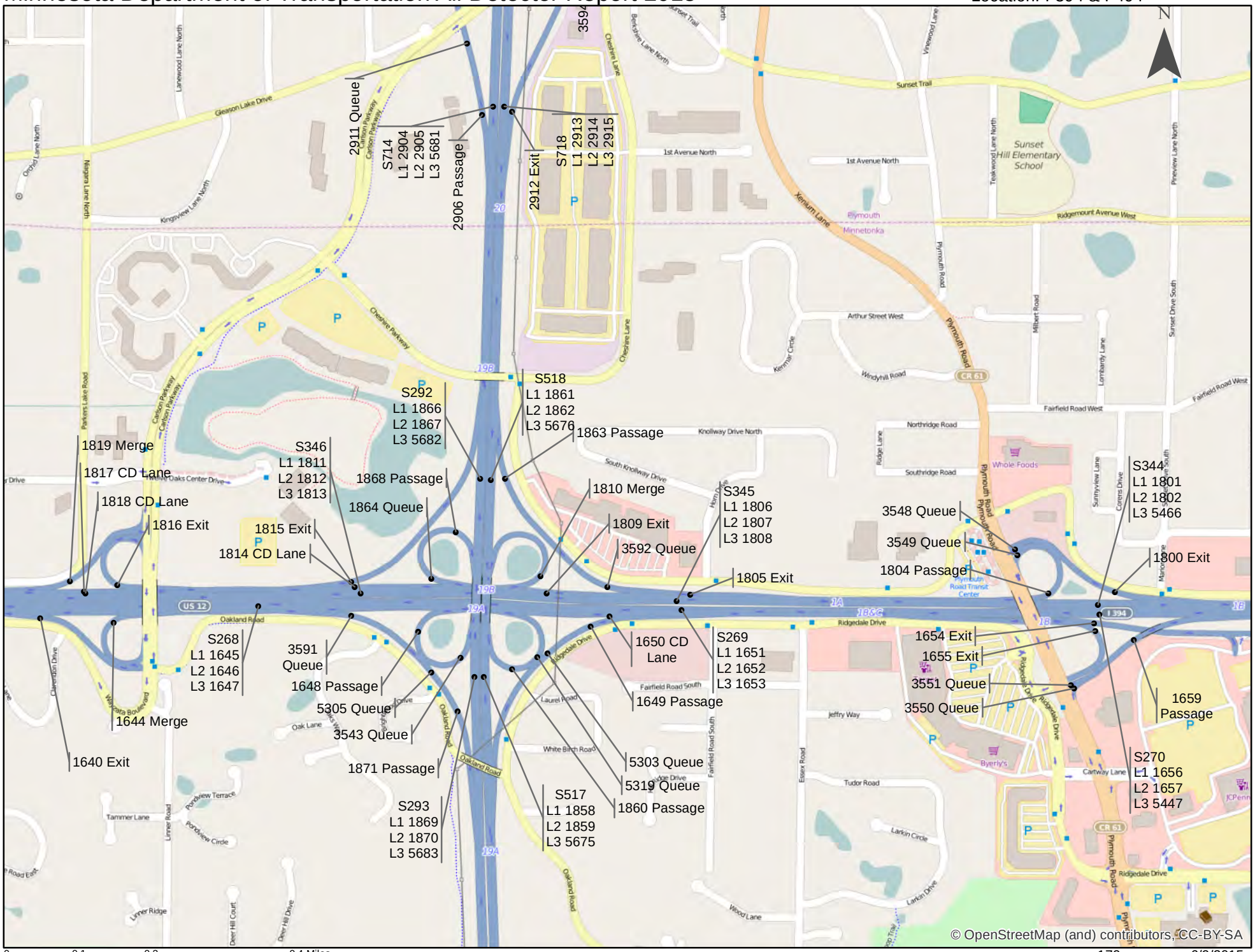

0 0.1 0.2 0.4 Miles

Location: I-394 & CR 73 / Hopkins Crossroad

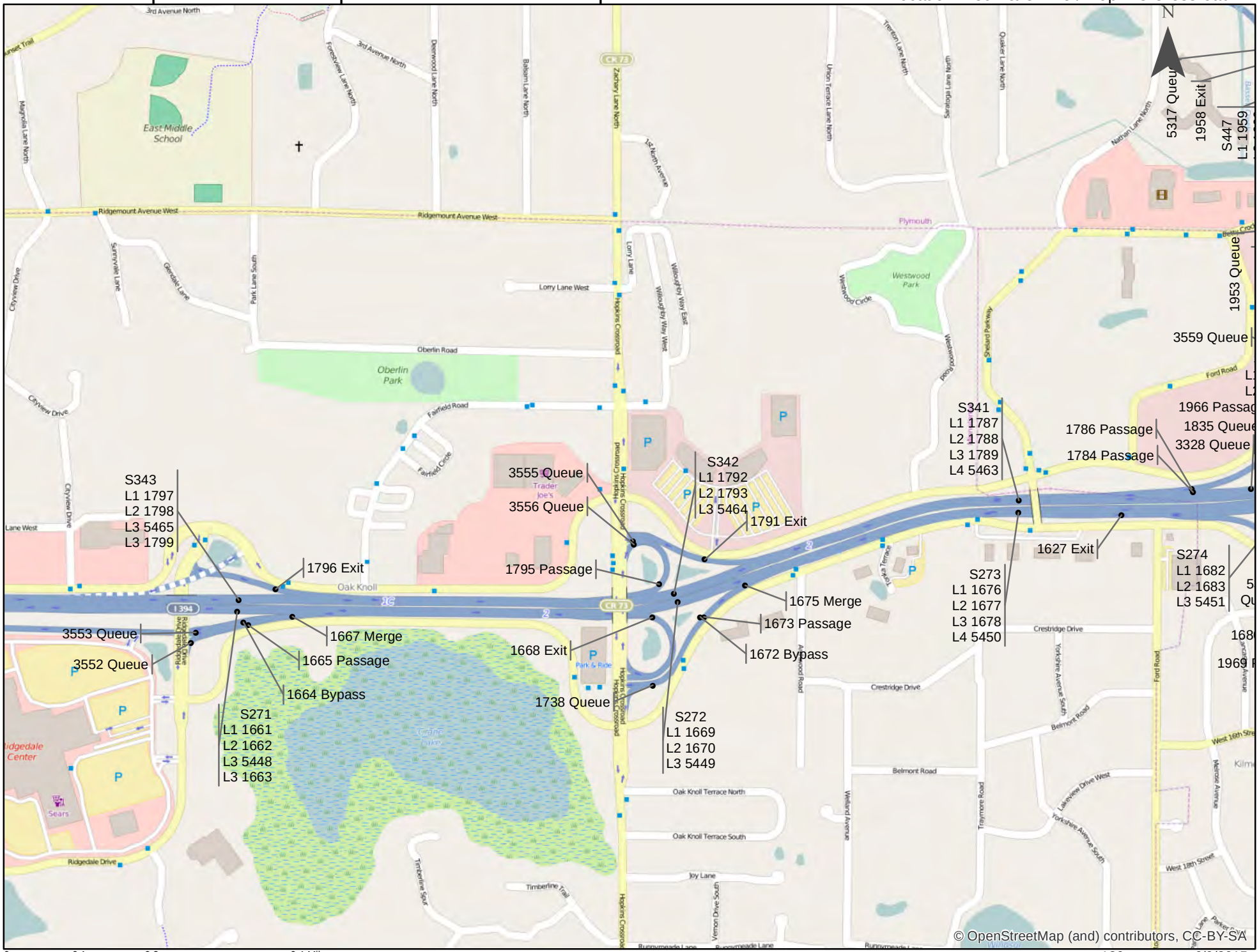

0 0.1 0.2 0.4 Miles

Location: I-394 & US 169

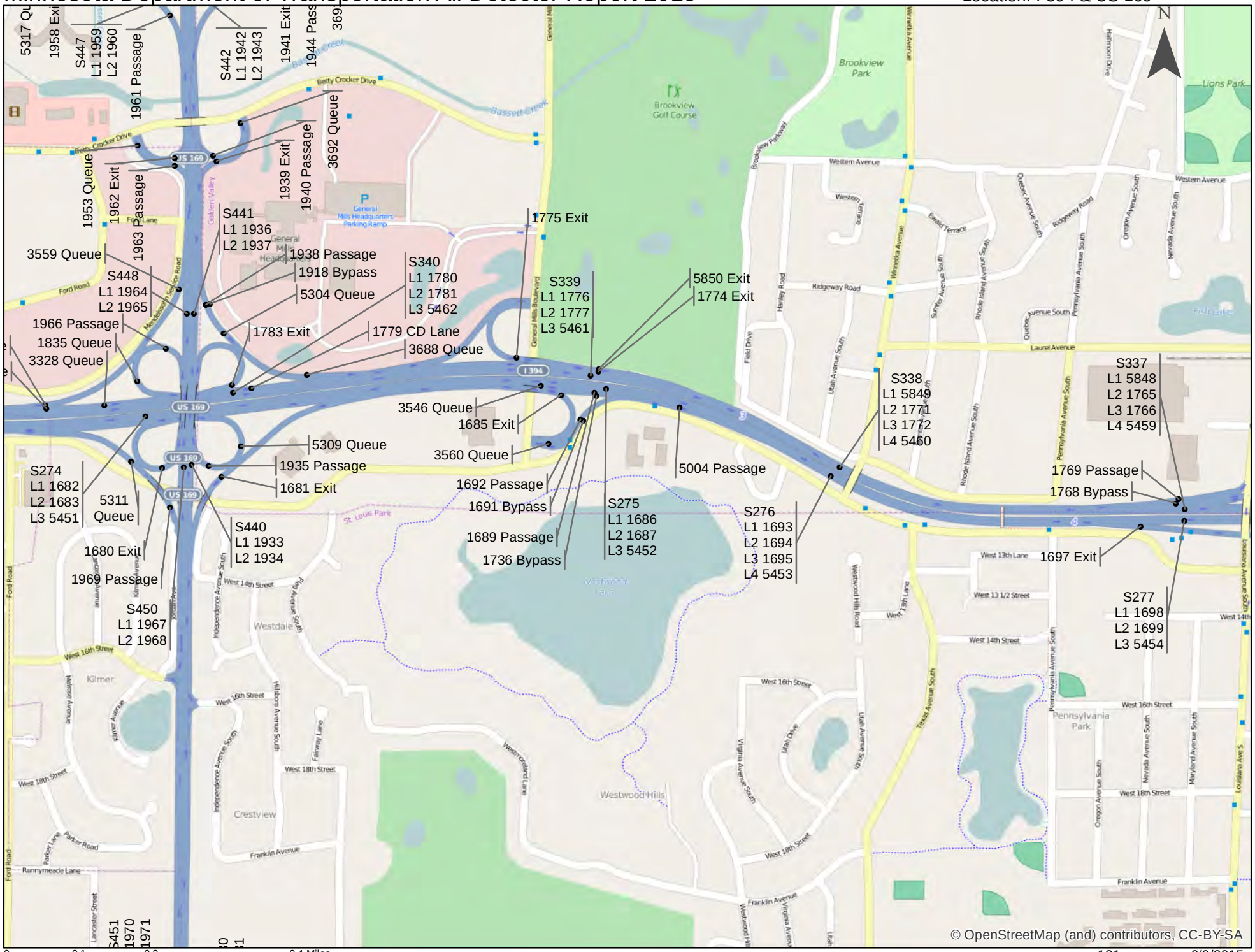

© OpenStreetMap (and) contributors, CC-BY-SA

Minnesota Department of Transportation All Detector Report 2015

Location: I-394 & TH 100

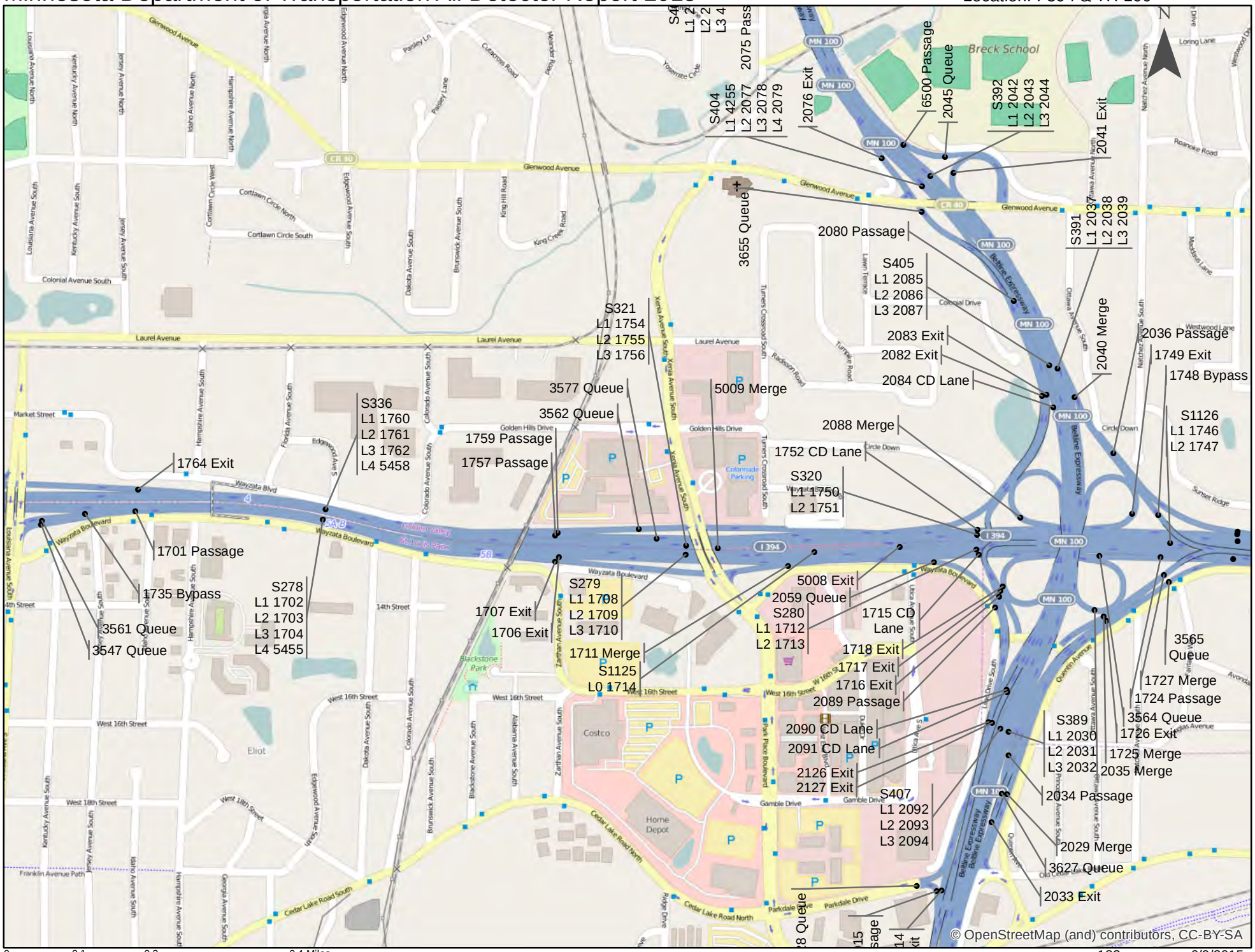

0 0.1 0.2 0.4 Miles

Minnesota Department of Transportation All Detector Report 2015

Location: I-394 & Penn Ave

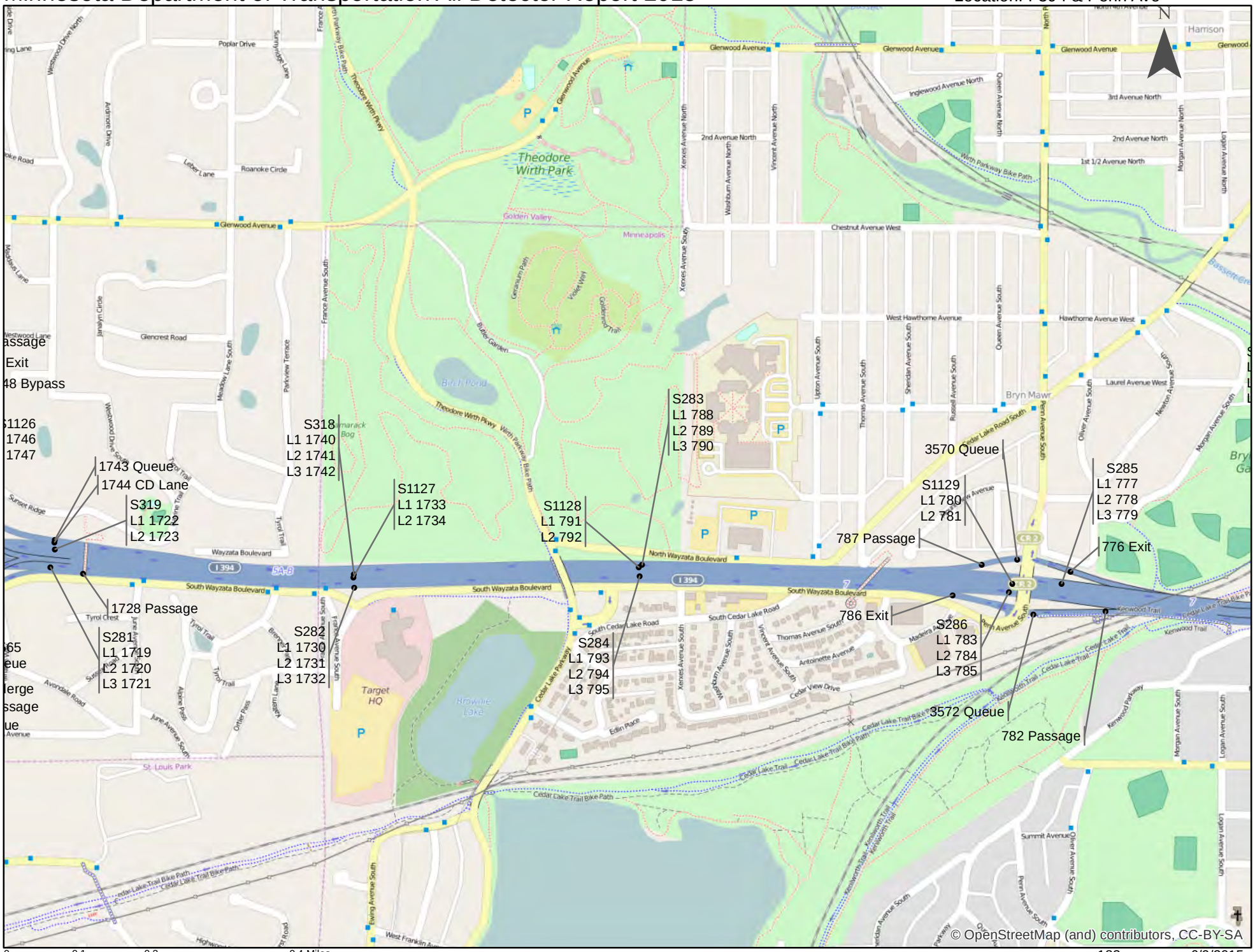

0 0.1 0.2 0.4 Miles

Minnesota Department of Transportation All Detector Report 2015

Location: I-394 & I-94

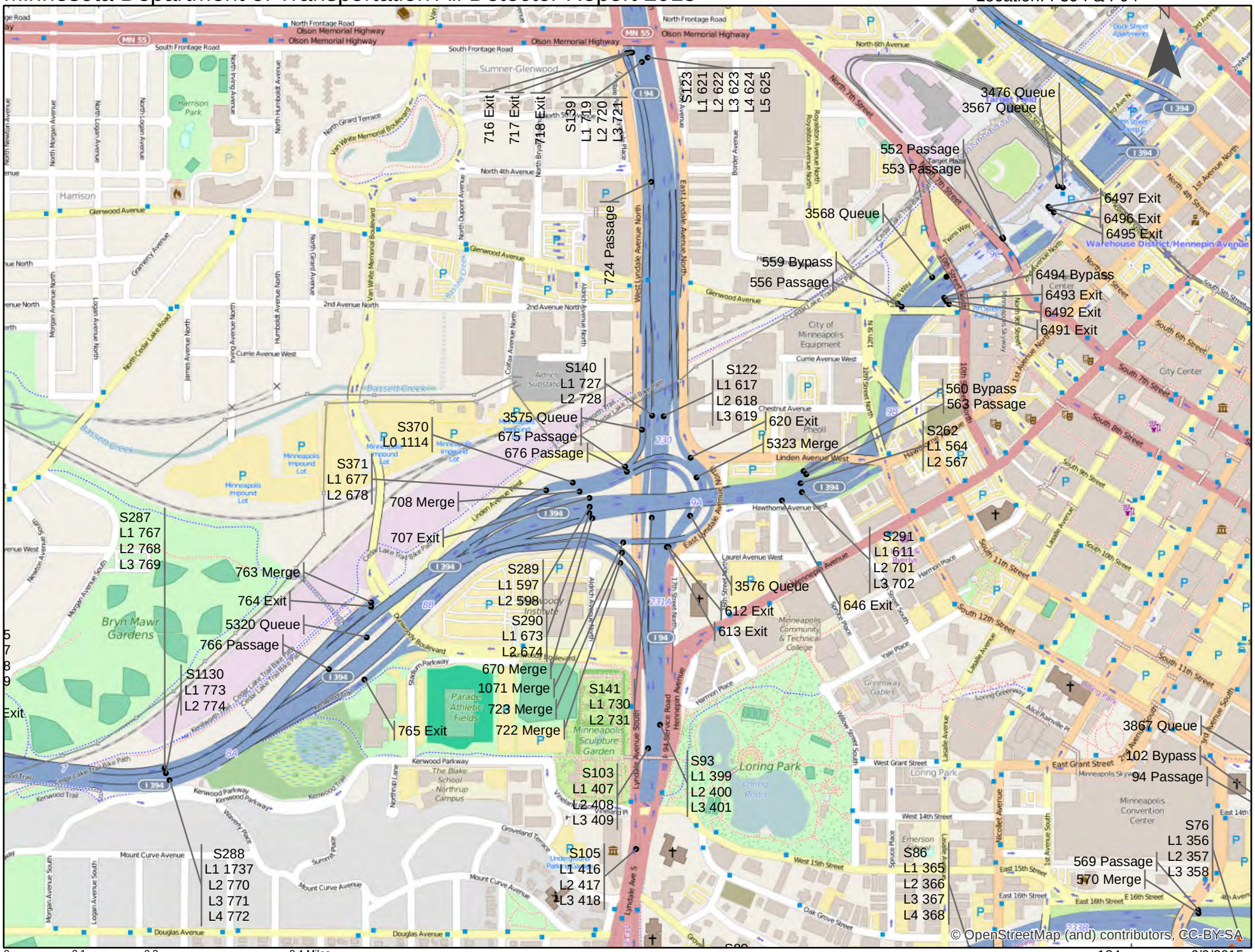

0 0.1 0.2 0.4 Miles

Location: I-494 & I-94

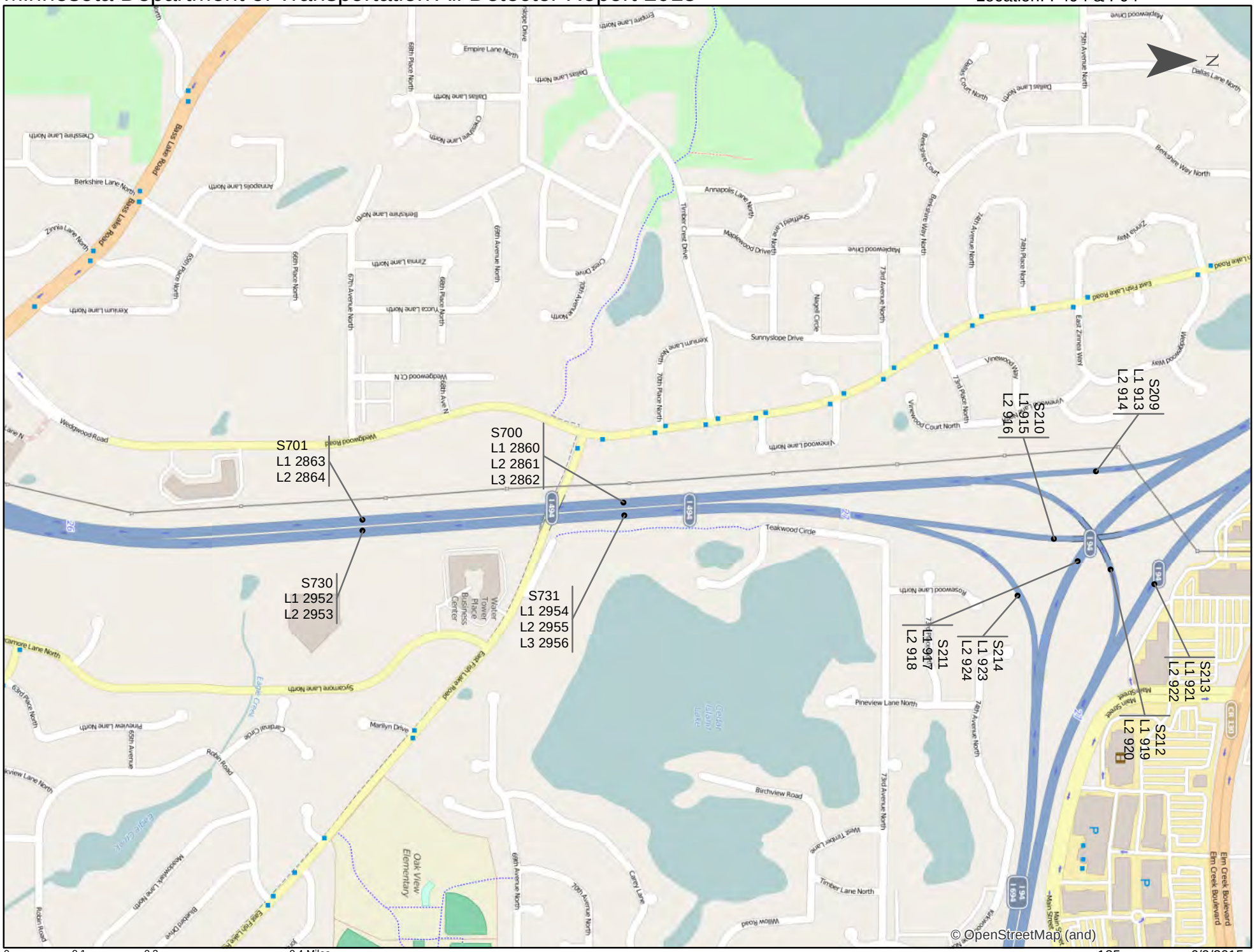

0 0.1 0.2 0.4 Miles

Minnesota Department of Transportation All Detector Report 2015

Location: I-494 & Bass Lake Rd

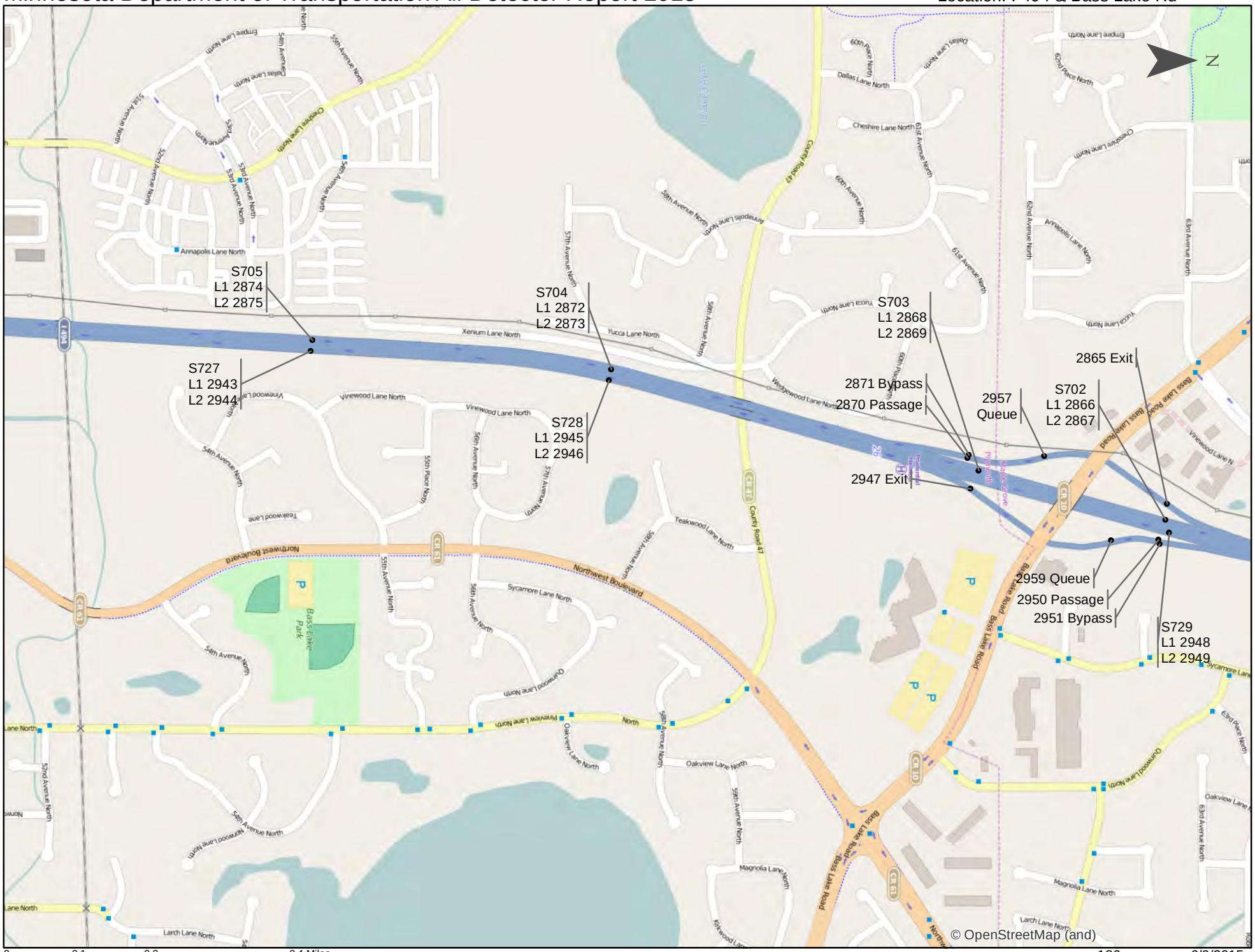

0 0.1 0.2 0.4 Miles

Location: I-494 & 49th Ave

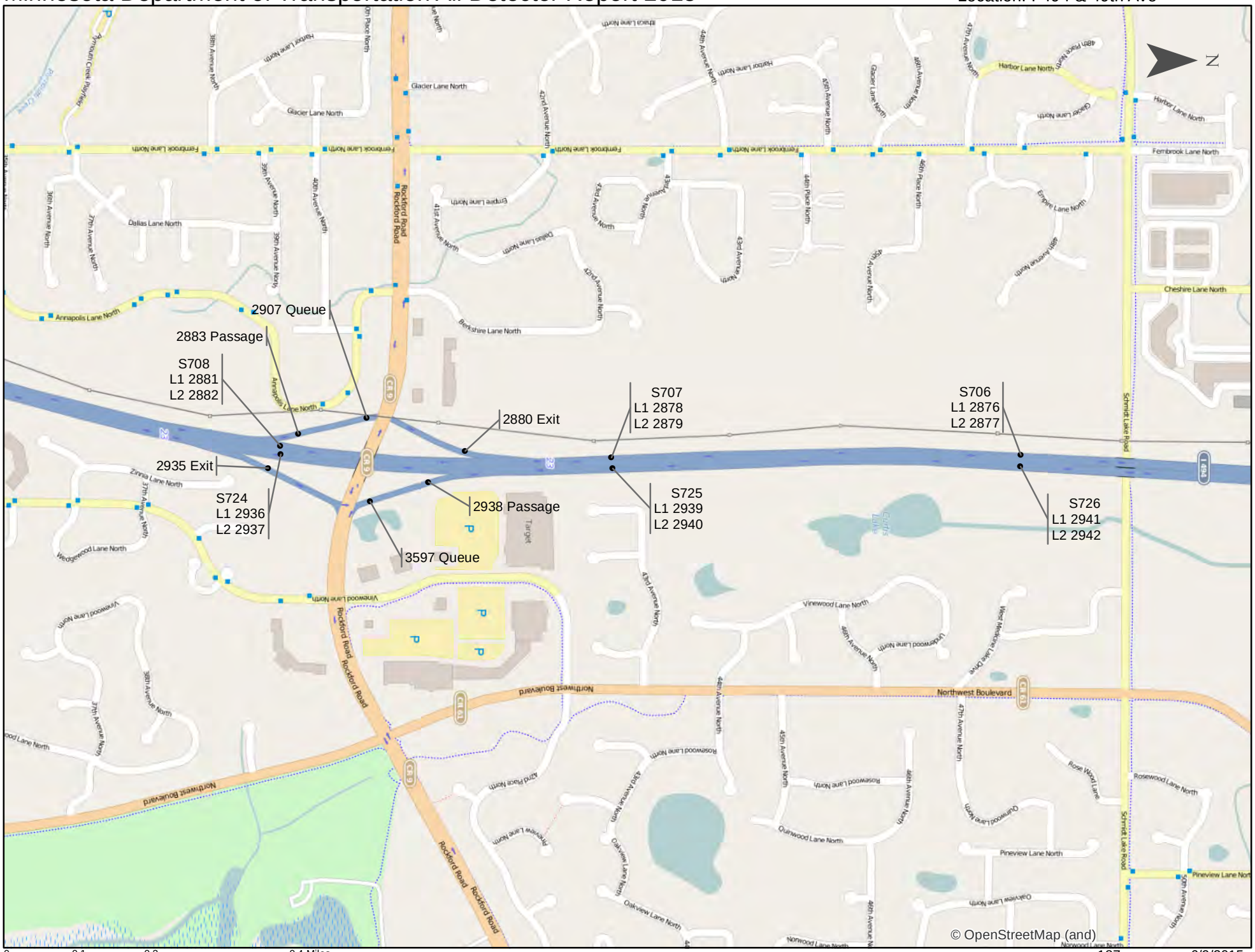

0 0.1 0.2 0.4 Miles

Location: I-494 & TH 55

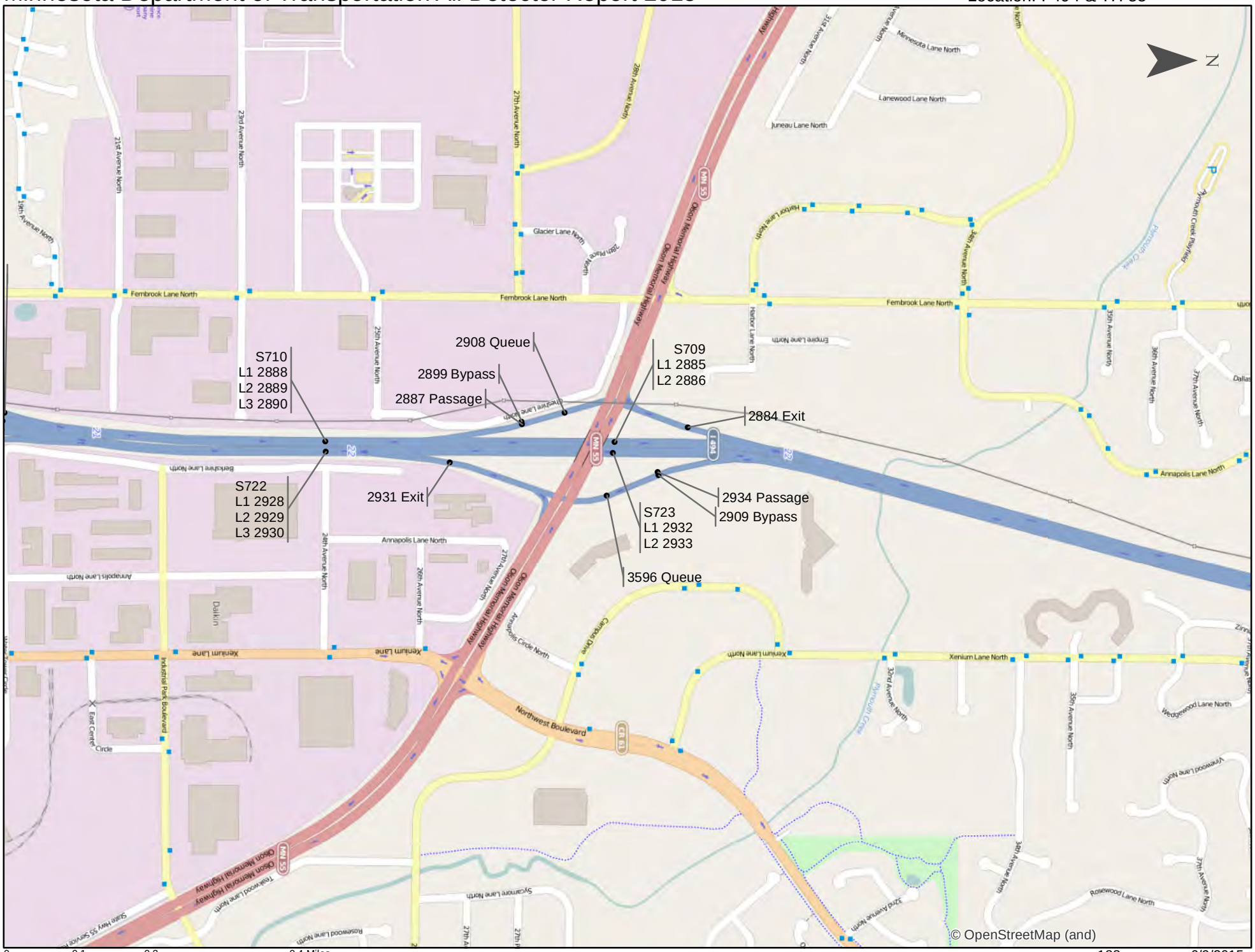

0 0.1 0.2 0.4 Miles

Location: I-494 & Carlson Pkwy

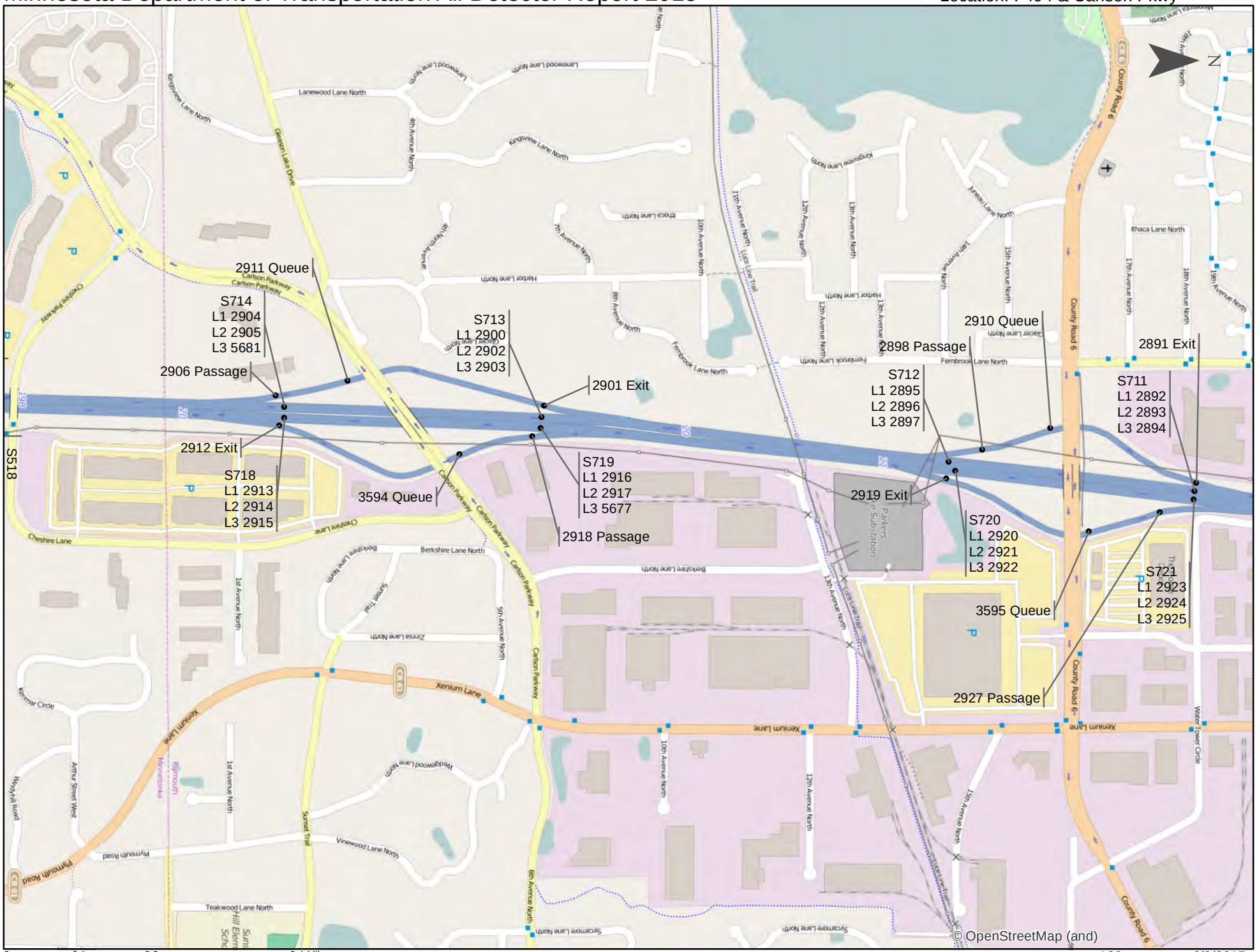

0 0.1 0.2 0.4 Miles

Location: I-494 & I-394

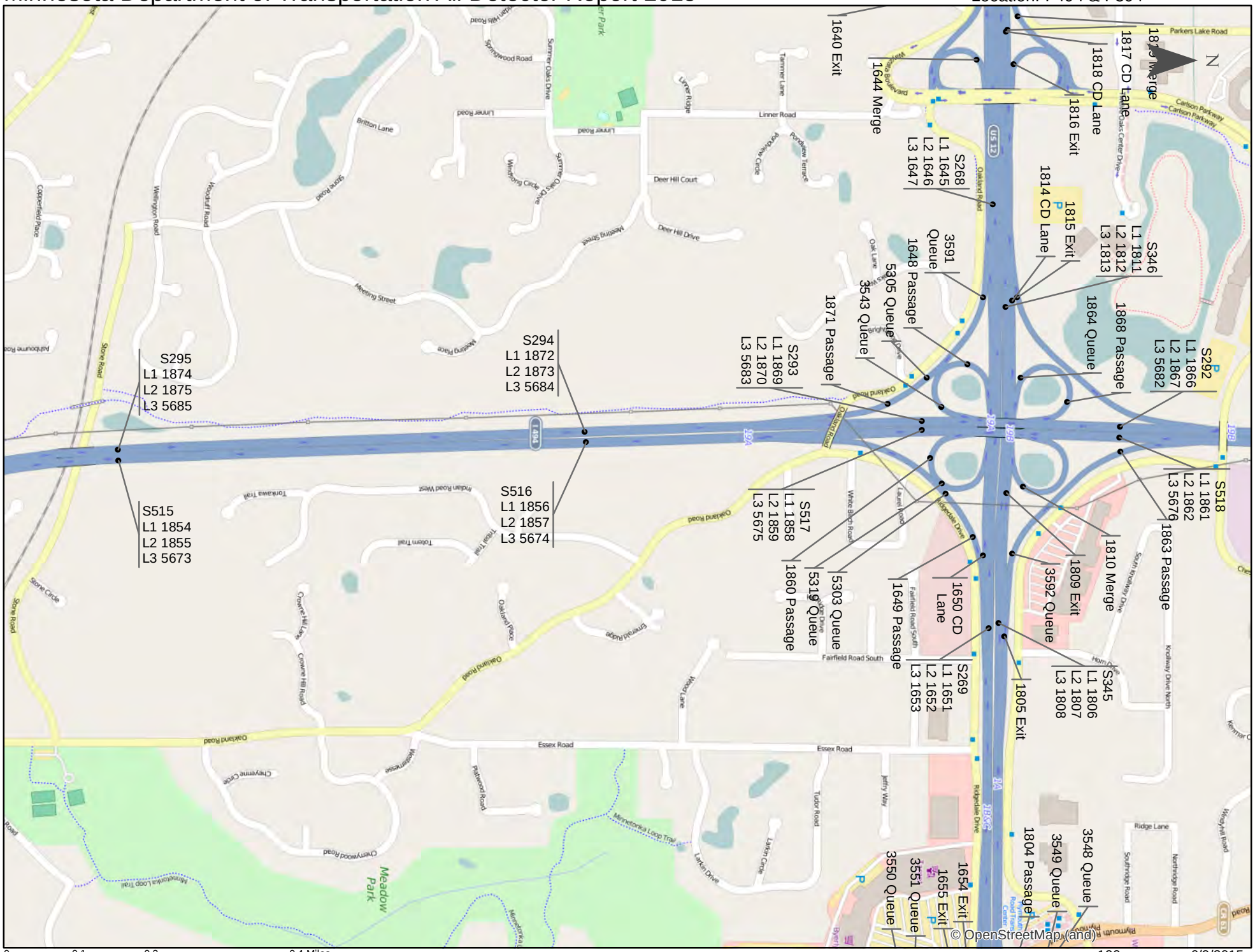

0 0.1 0.2 0.4 Miles

Location: I-494 & Minnetonka Blvd

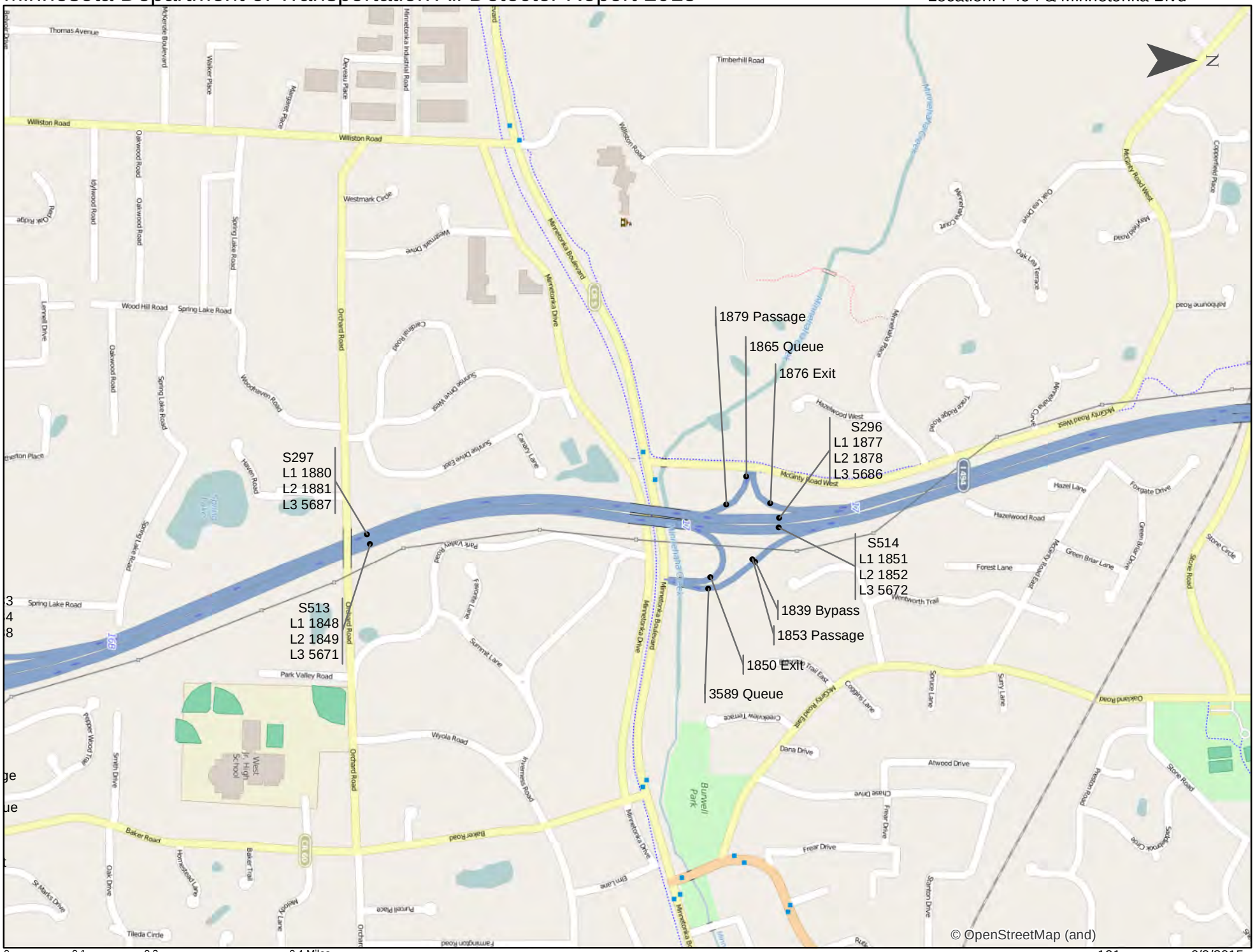

0 0.1 0.2 0.4 Miles

Location: I-494 & TH 7

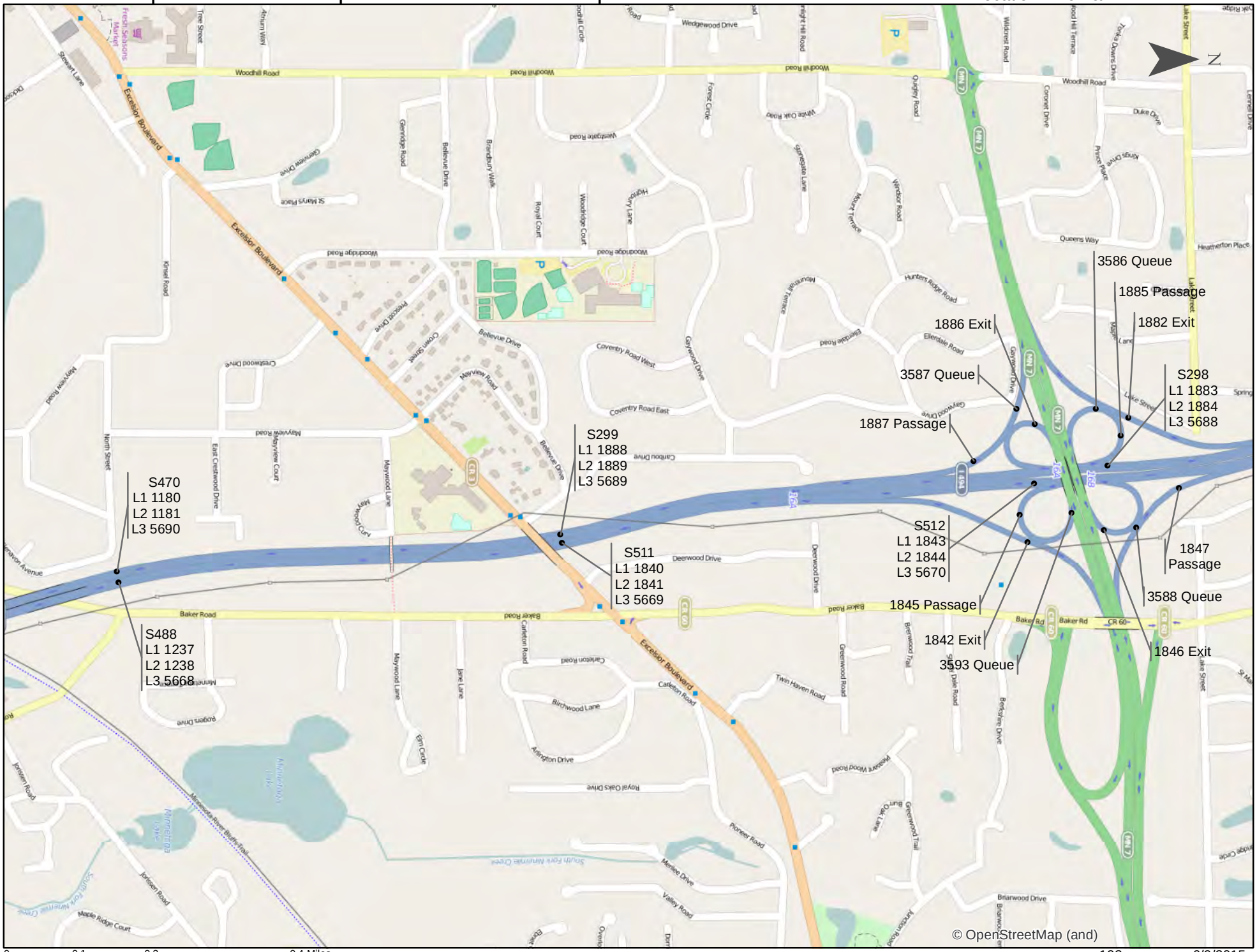

0 0.1 0.2 0.4 Miles

Location: I-494 & TH 62

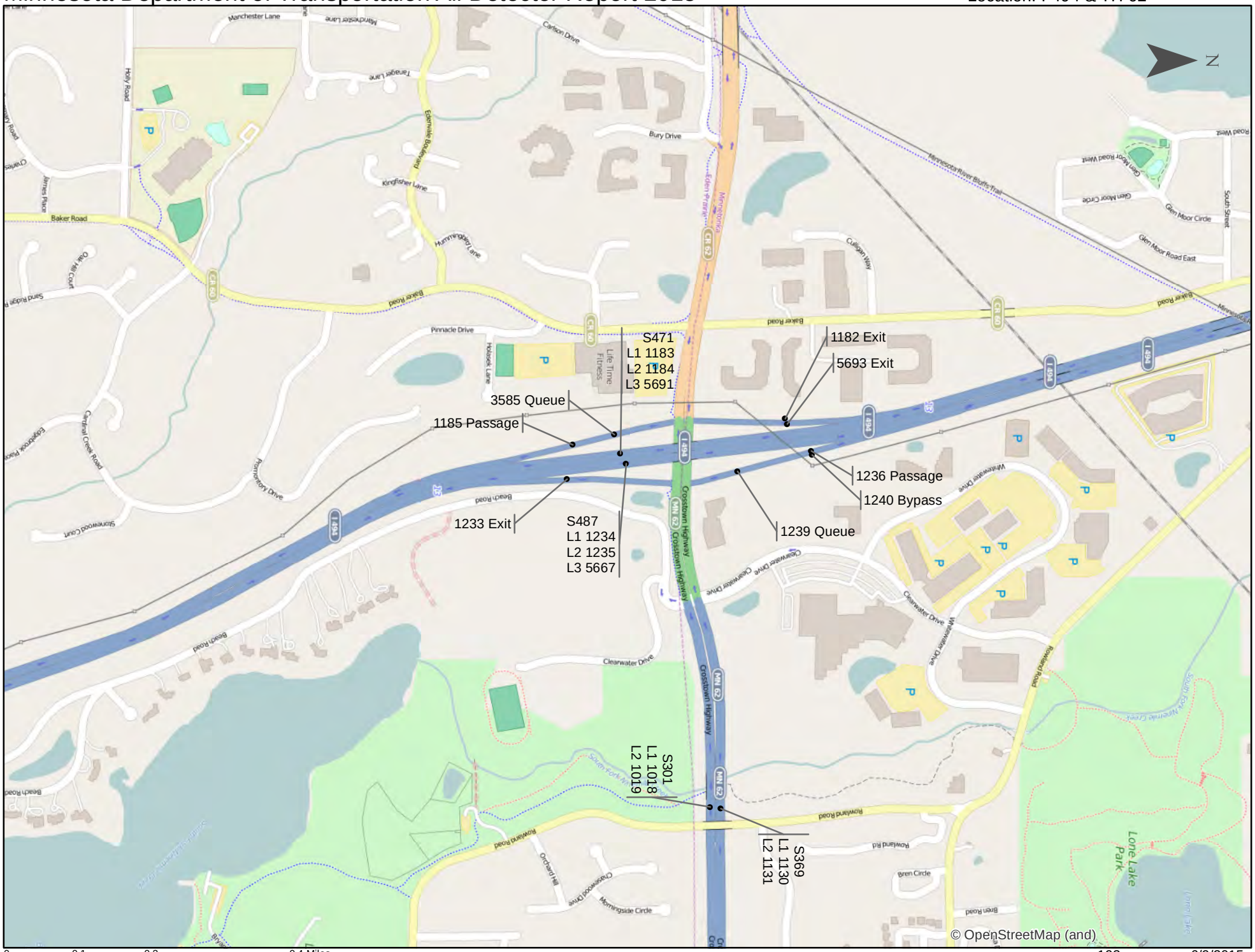

0 0.1 0.2 0.4 Miles

Location: I-494 & TH 212

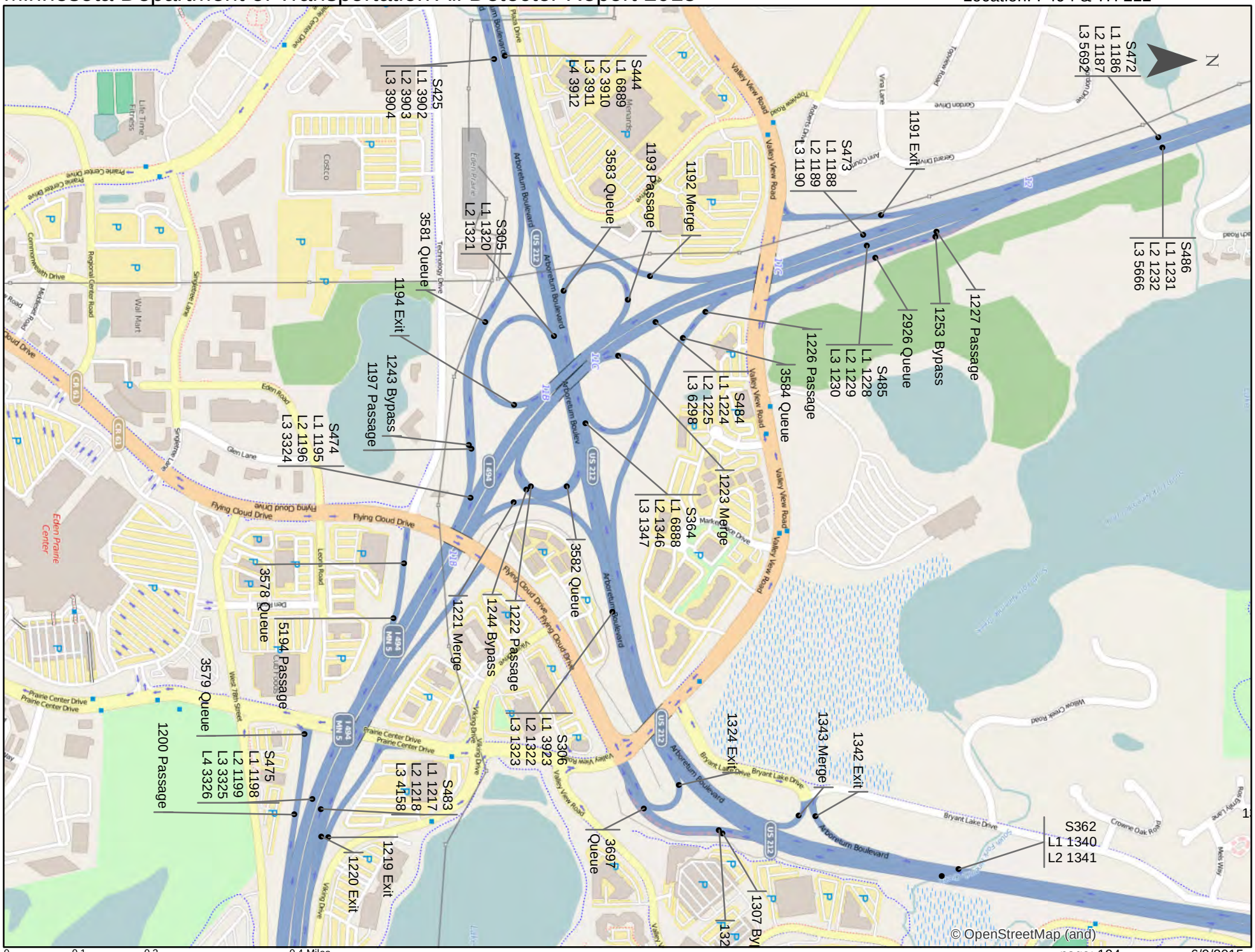

0 0.1 0.2 0.4 Miles

Minnesota Department of Transportation All Detector Report 2015

Location: I-494 & US 169

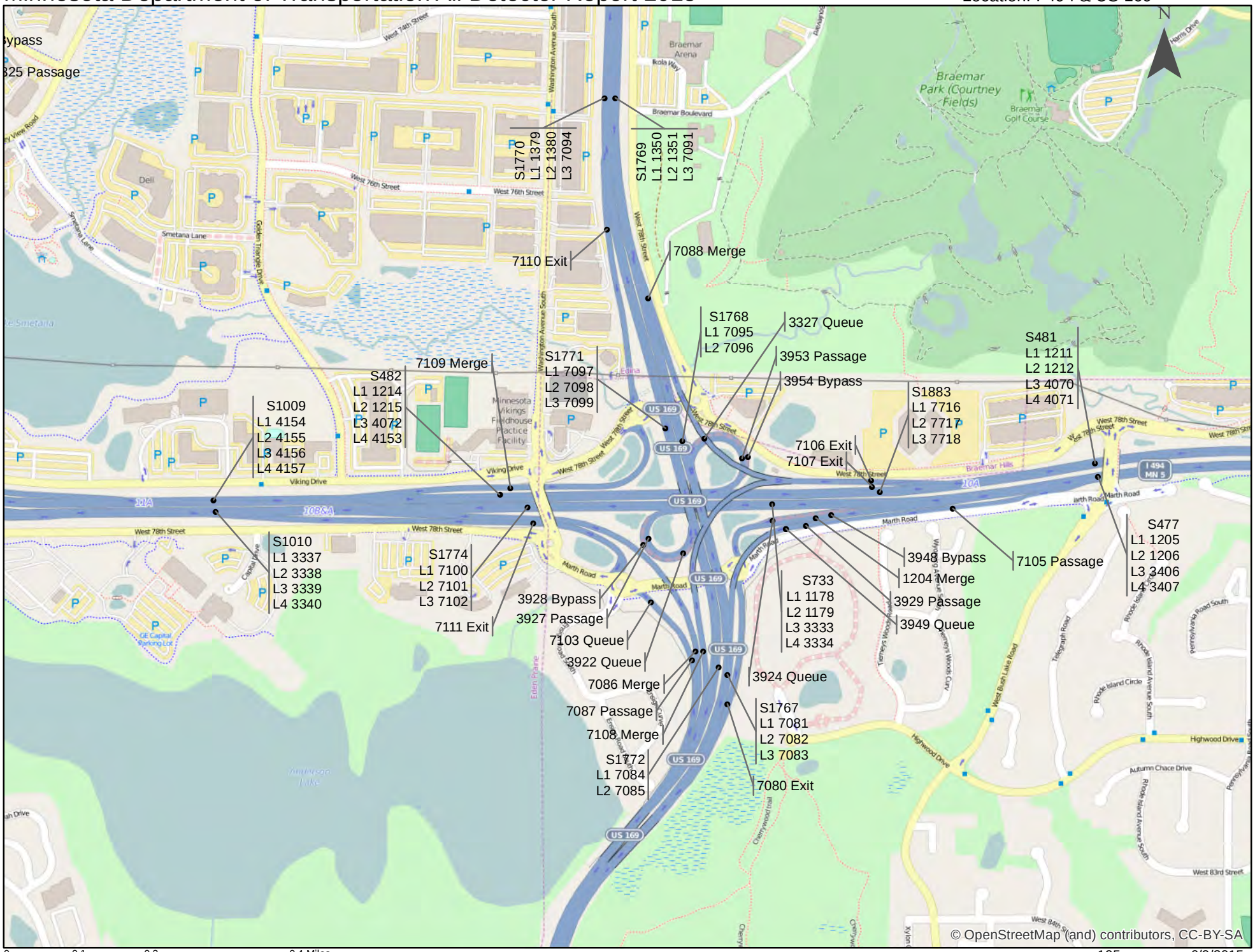

0 0.1 0.2 0.4 Miles

Location: I-494 & TH 100

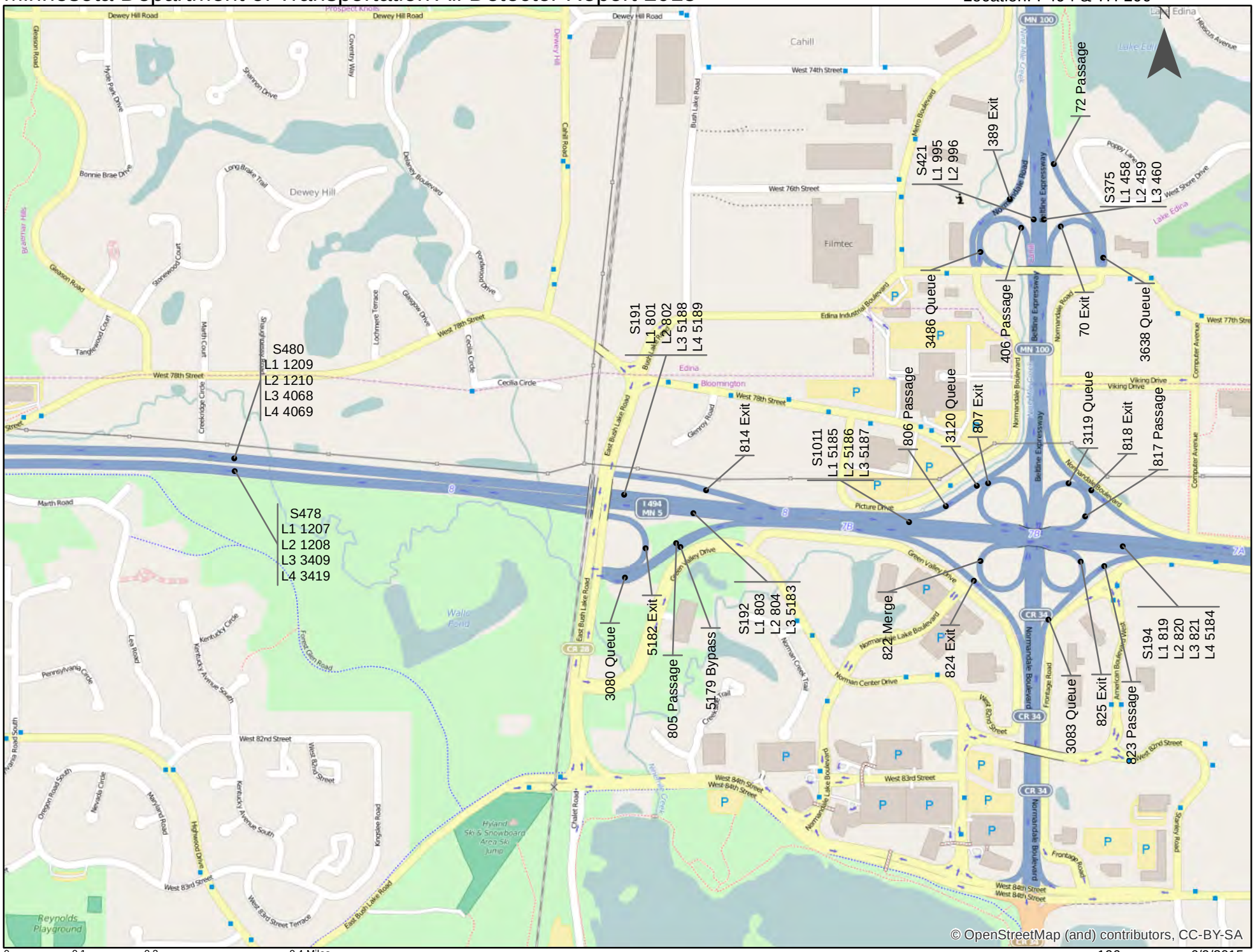

© OpenStreetMap (and) contributors, CC-BY-SA

Minnesota Department of Transportation All Detector Report 2015

Location: I-494 & France Ave

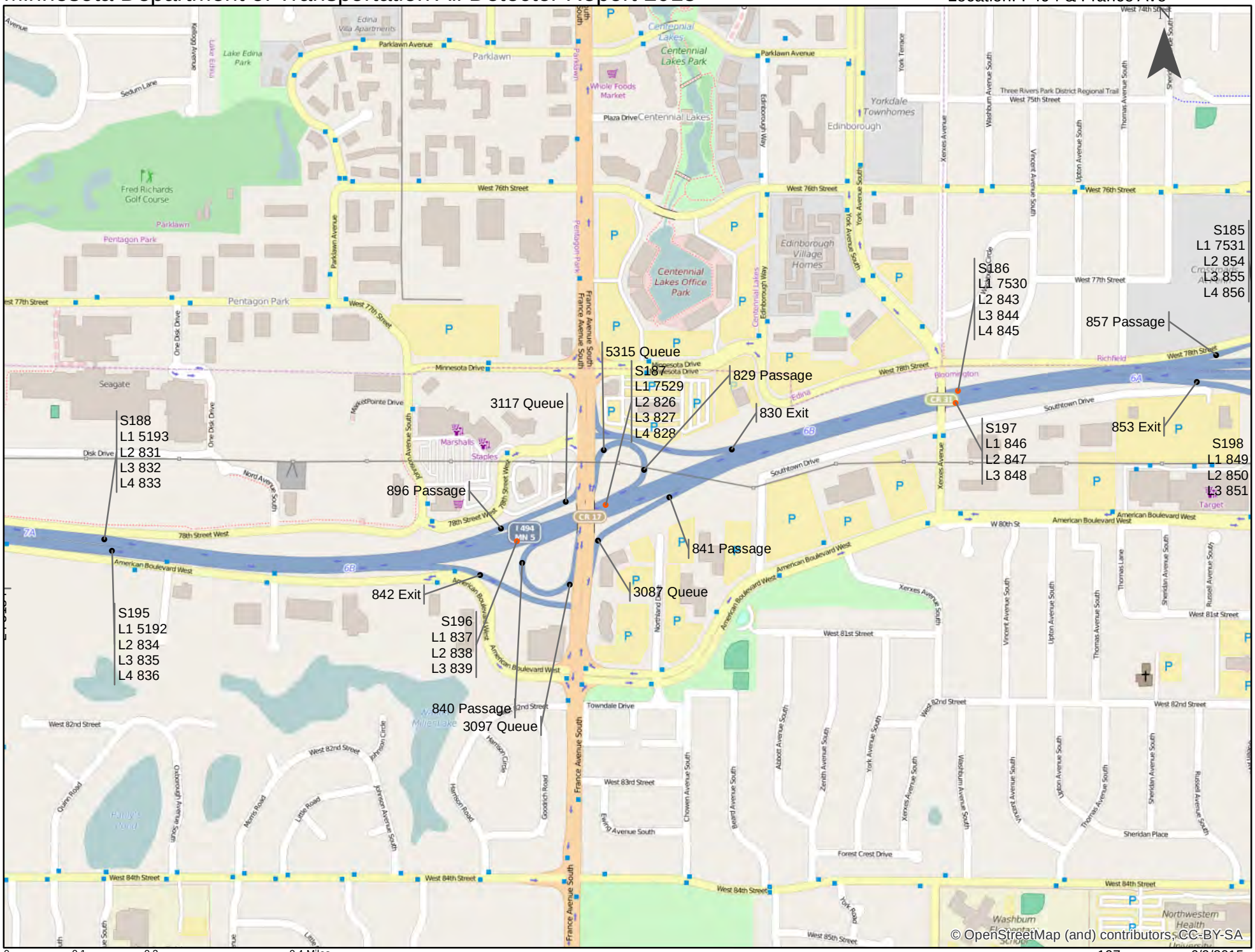

0 0.1 0.2 0.4 Miles

Minnesota Department of Transportation All Detector Report 2015

Location: I-494 & I-35W

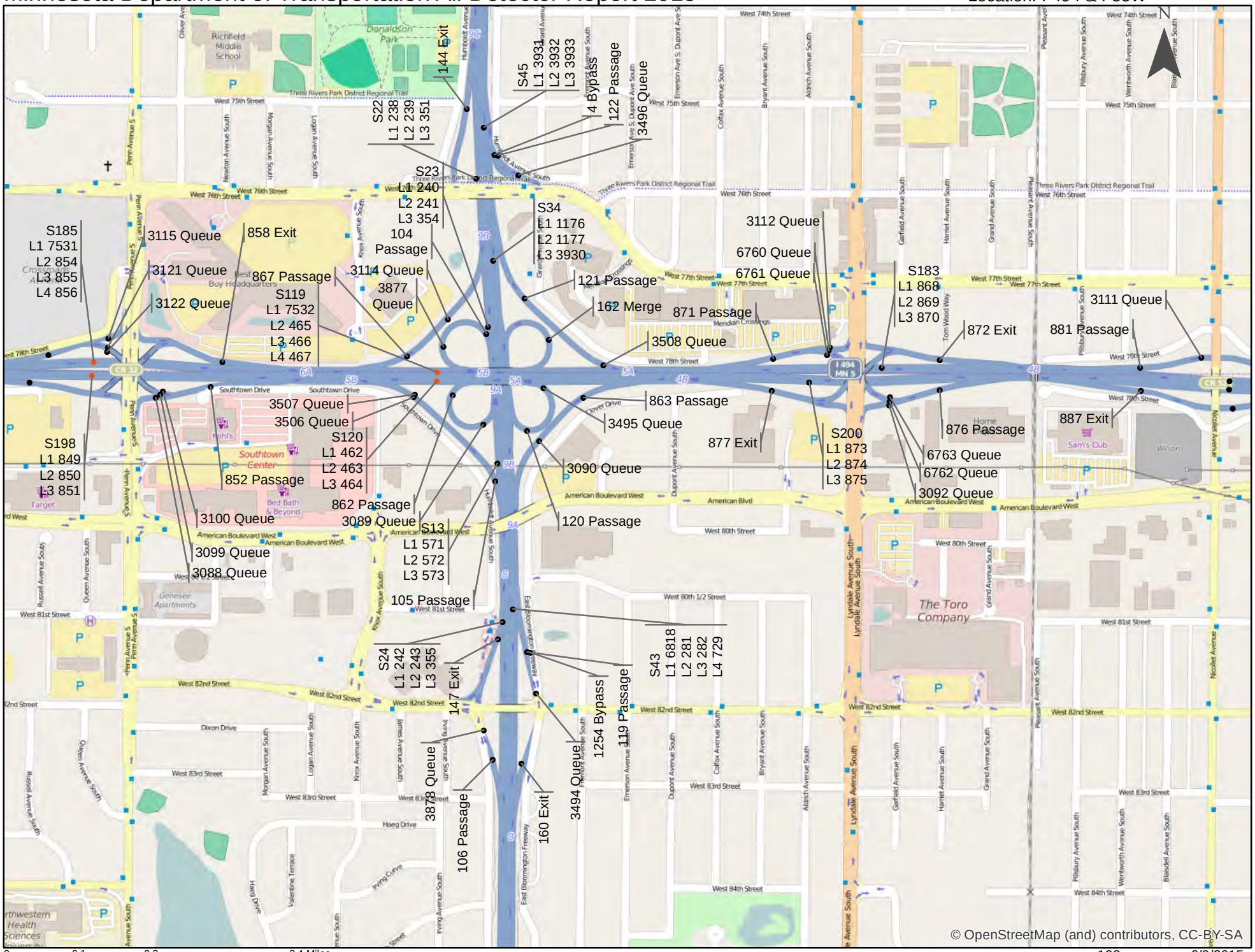

0 0.1 0.2 0.4 Miles

Minnesota Department of Transportation All Detector Report 2015

Location: I-494 & TH 77

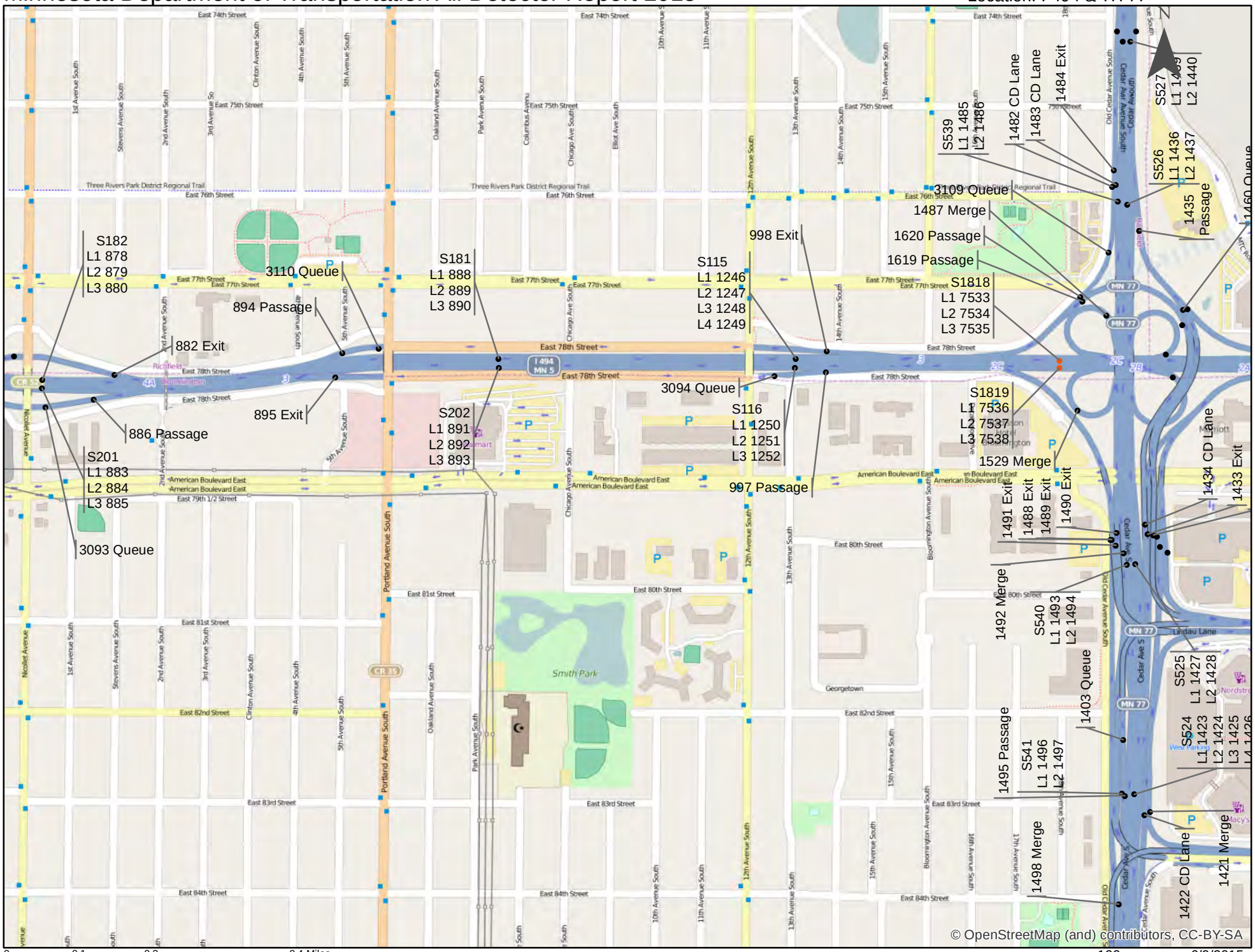

0 0.1 0.2 0.4 Miles

Minnesota Department of Transportation All Detector Report 2015

Location: I-494 & 34th Ave

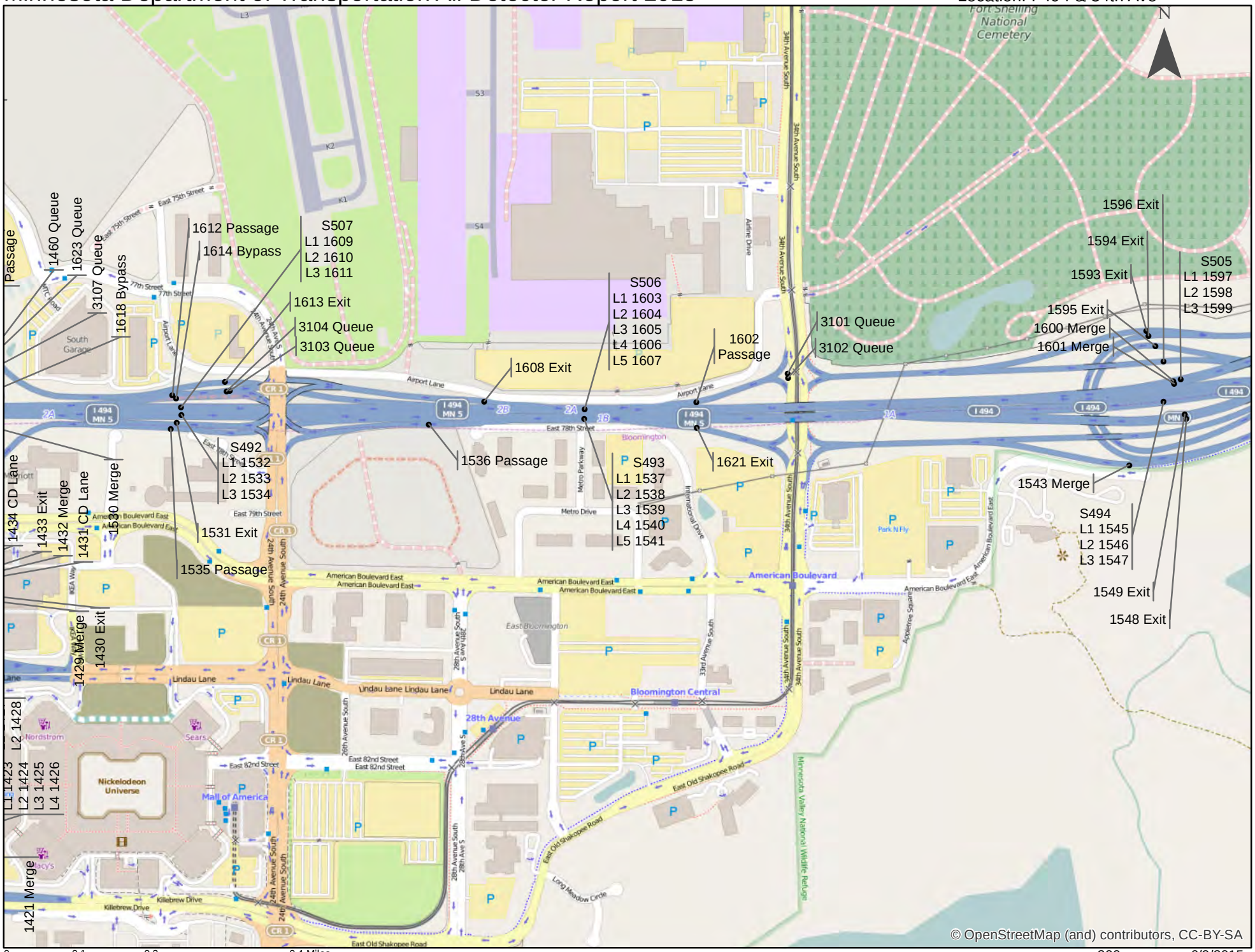

© OpenStreetMap (and) contributors, CC-BY-SA

Minnesota Department of Transportation All Detector Report 2015

Location: I-494 & TH 5

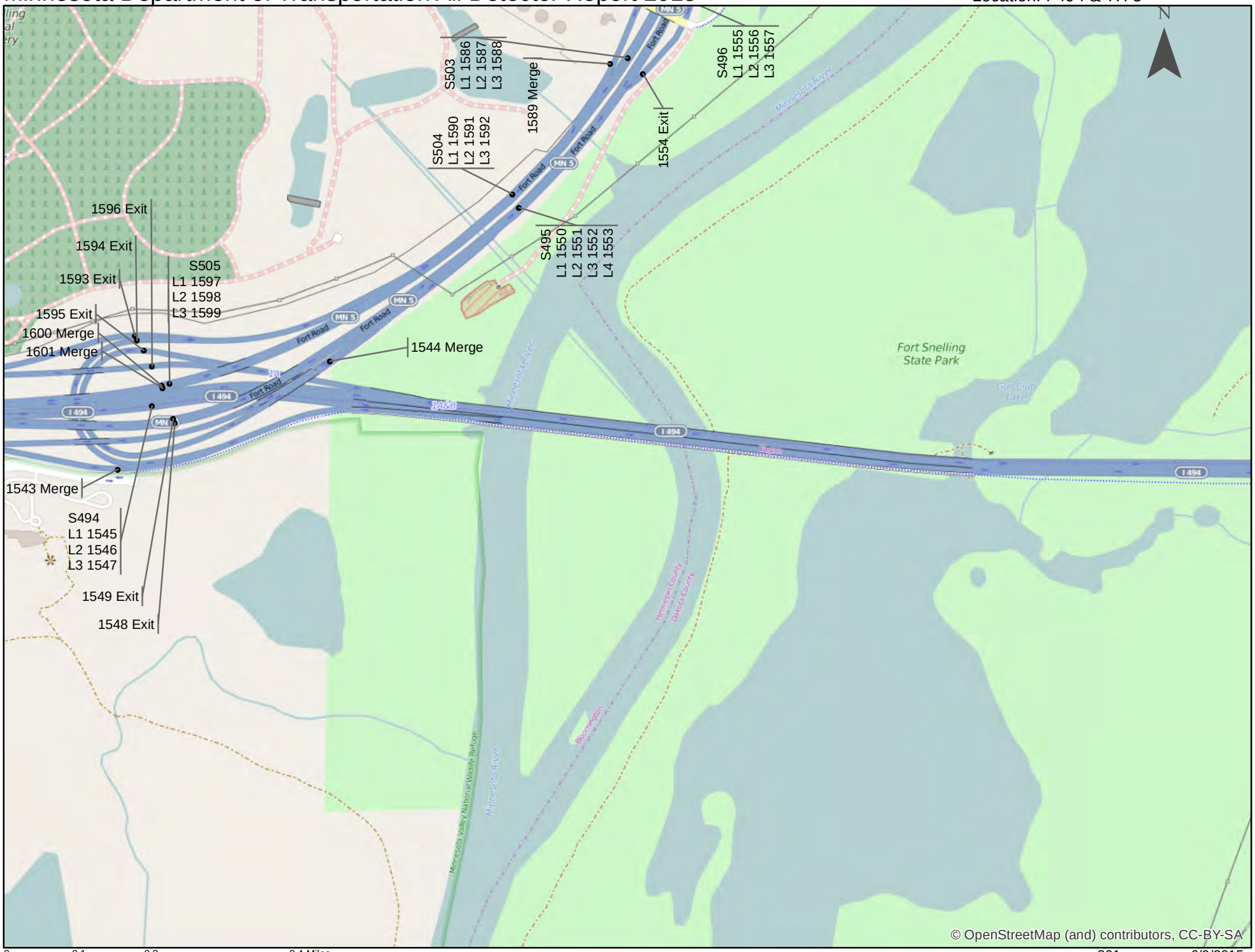

0 0.1 0.2 0.4 Miles

Minnesota Department of Transportation All Detector Report 2015

Location: I-494 & Pilot Knob Rd

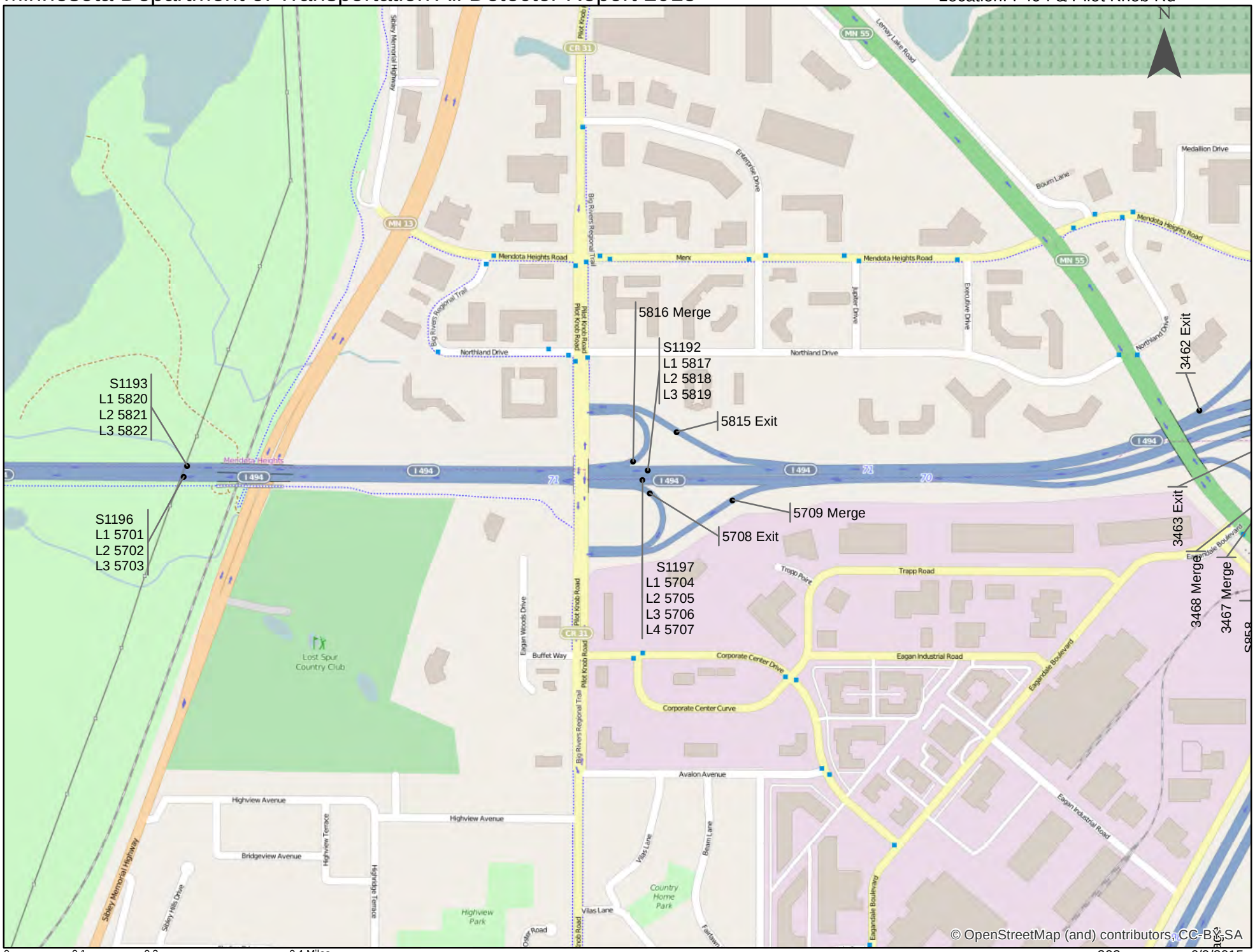

0 0.1 0.2 0.4 Miles

6/9/2015

Location: I-494 & I-35E

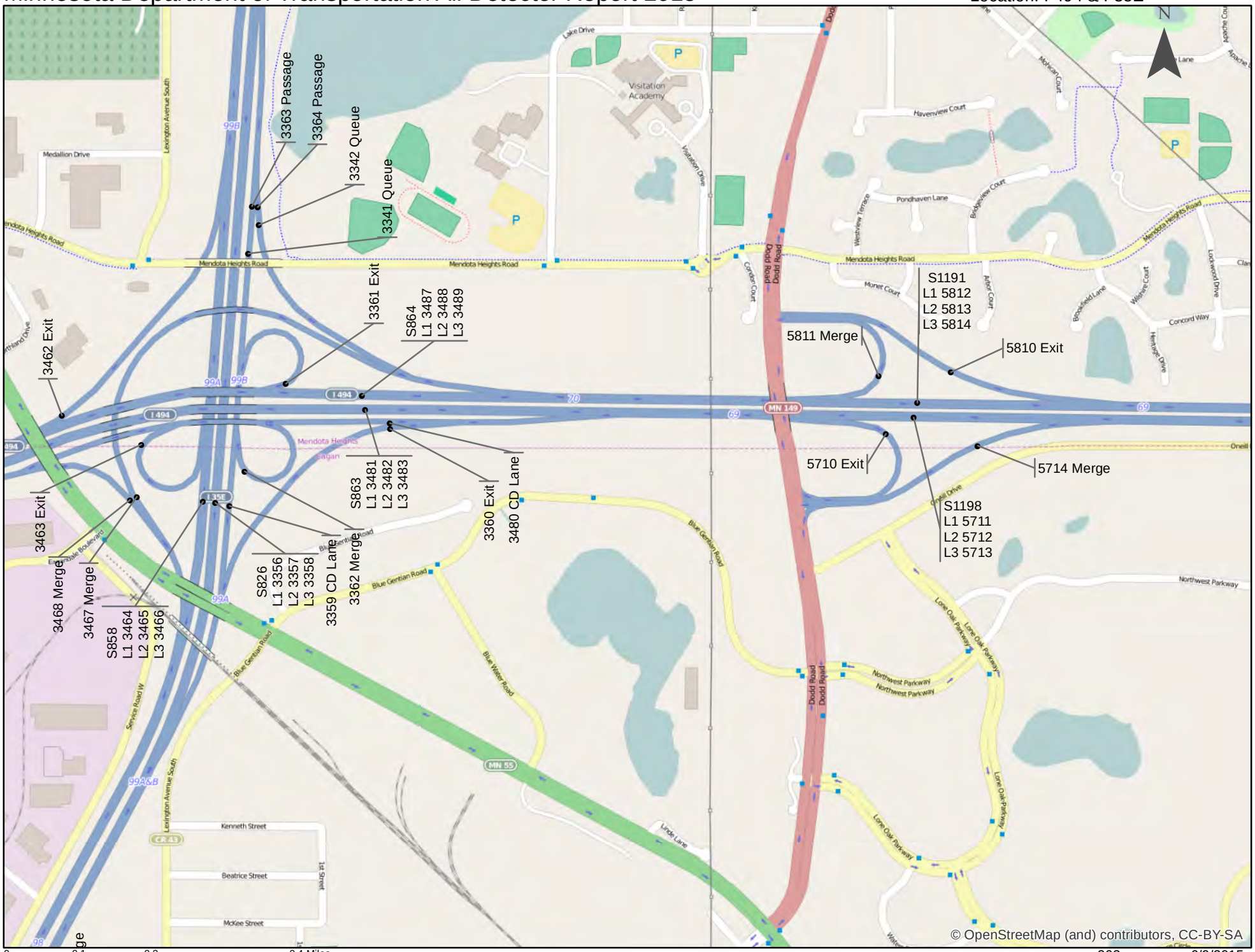

0 0.1 0.2 0.4 Miles

Minnesota Department of Transportation All Detector Report 2015

Location: I-494 & Delaware Ave

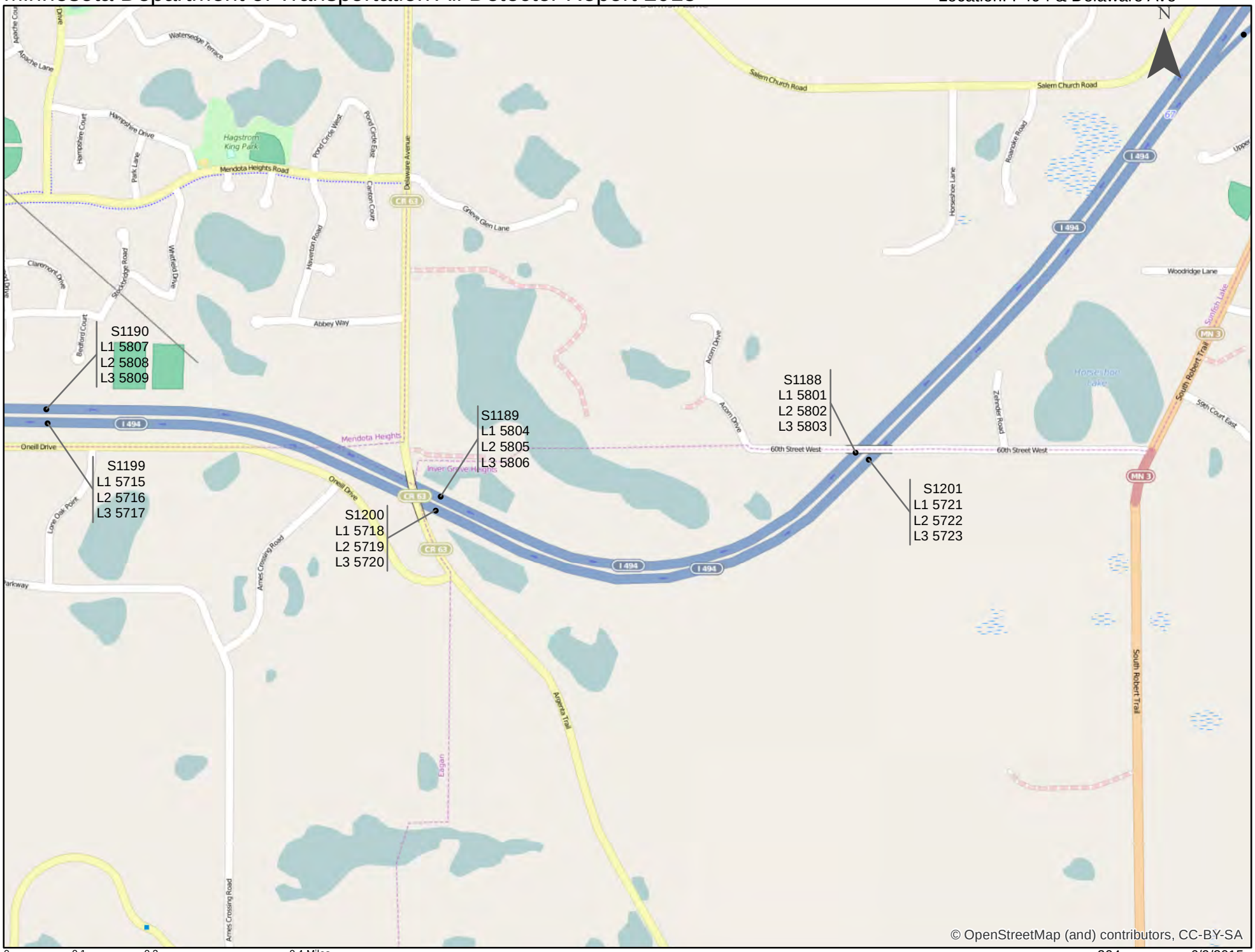

0 0.1 0.2 0.4 Miles

Location: I-494 & US 52

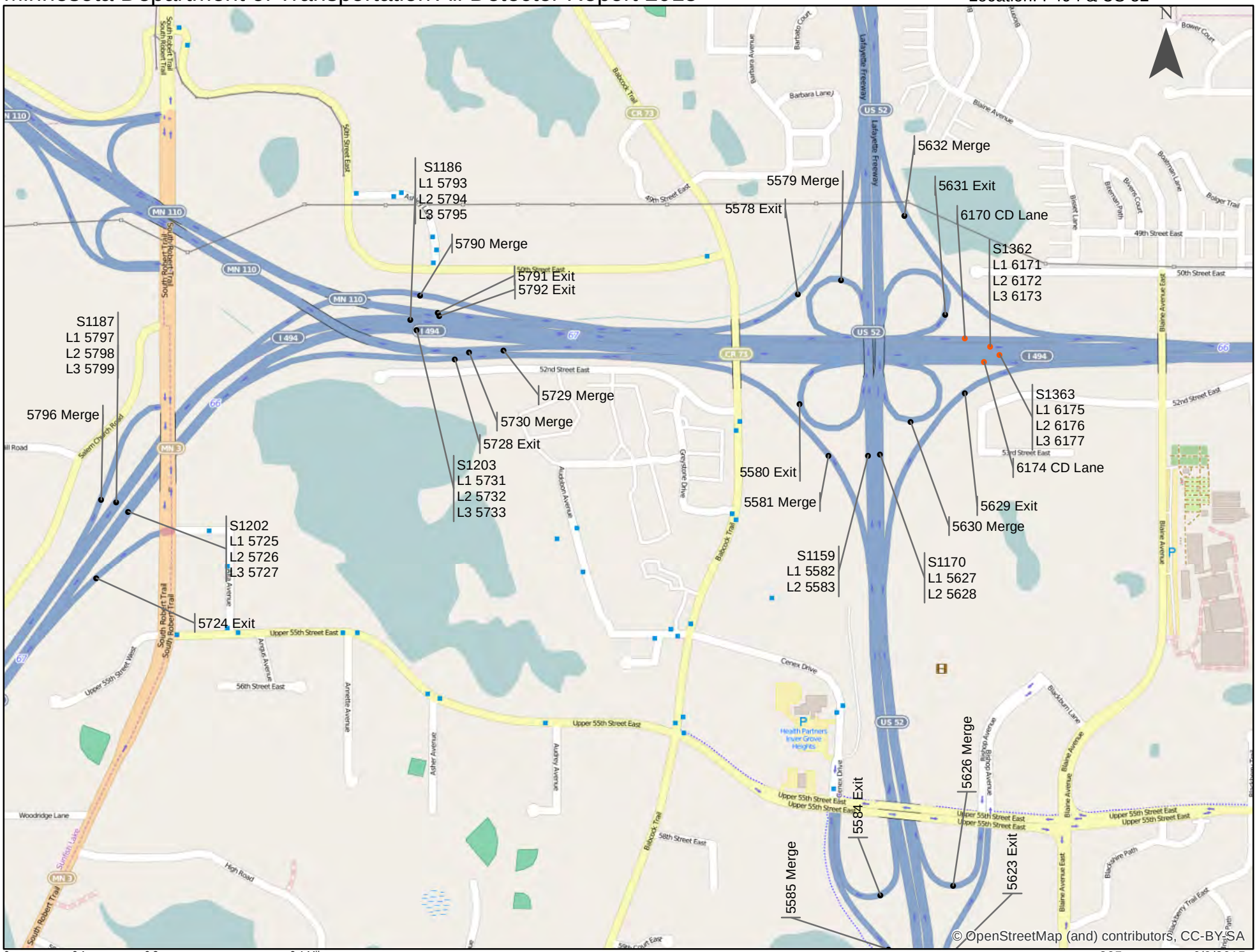

0 0.1 0.2 0.4 Miles

Minnesota Department of Transportation All Detector Report 2015

Location: I-494 & Hardman Ave

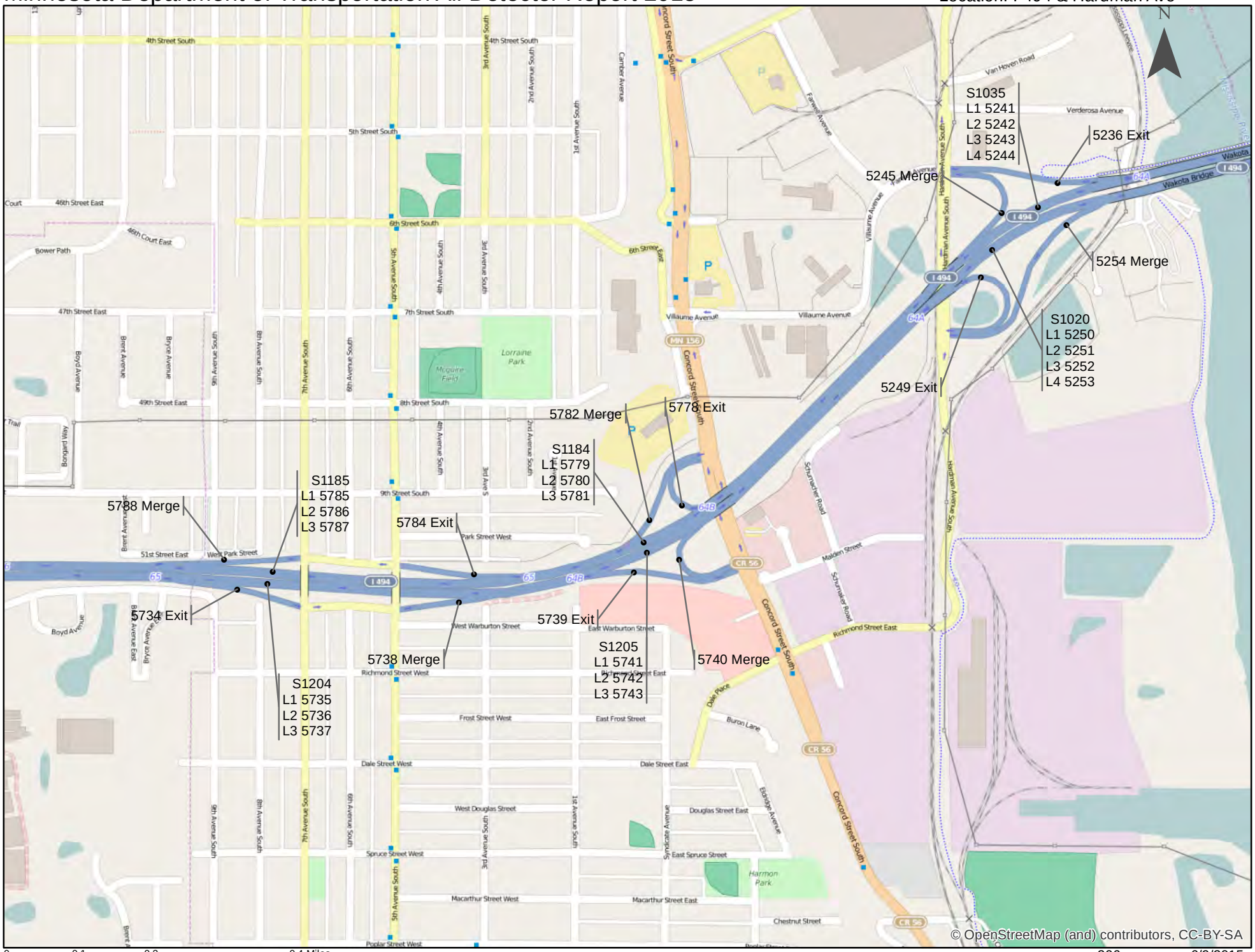

0 0.1 0.2 0.4 Miles

Minnesota Department of Transportation All Detector Report 2015

Location: I-494 & TH 61

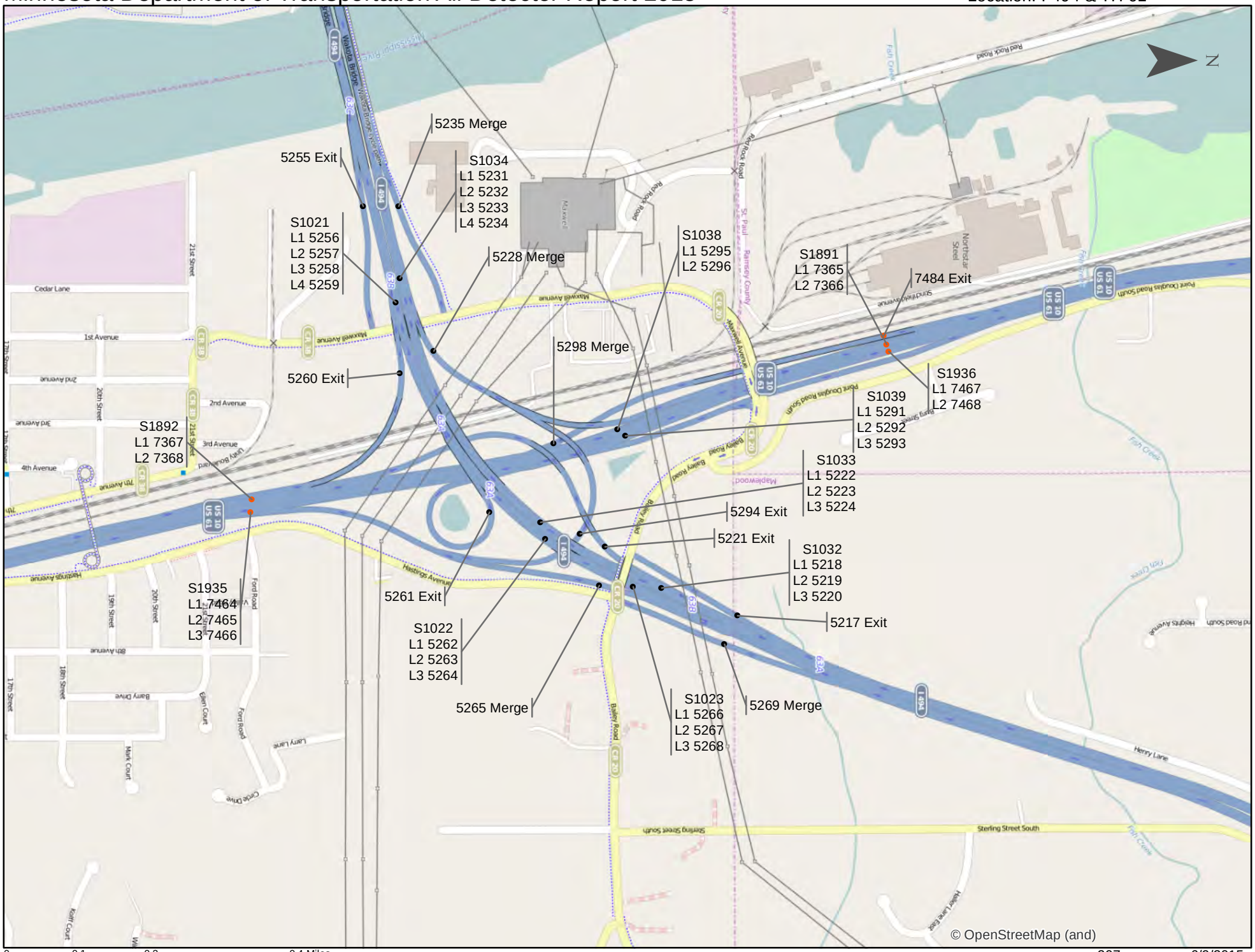

0 0.1 0.2 0.4 Miles

Minnesota Department of Transportation All Detector Report 2015

Location: I-494 & Lake Rd

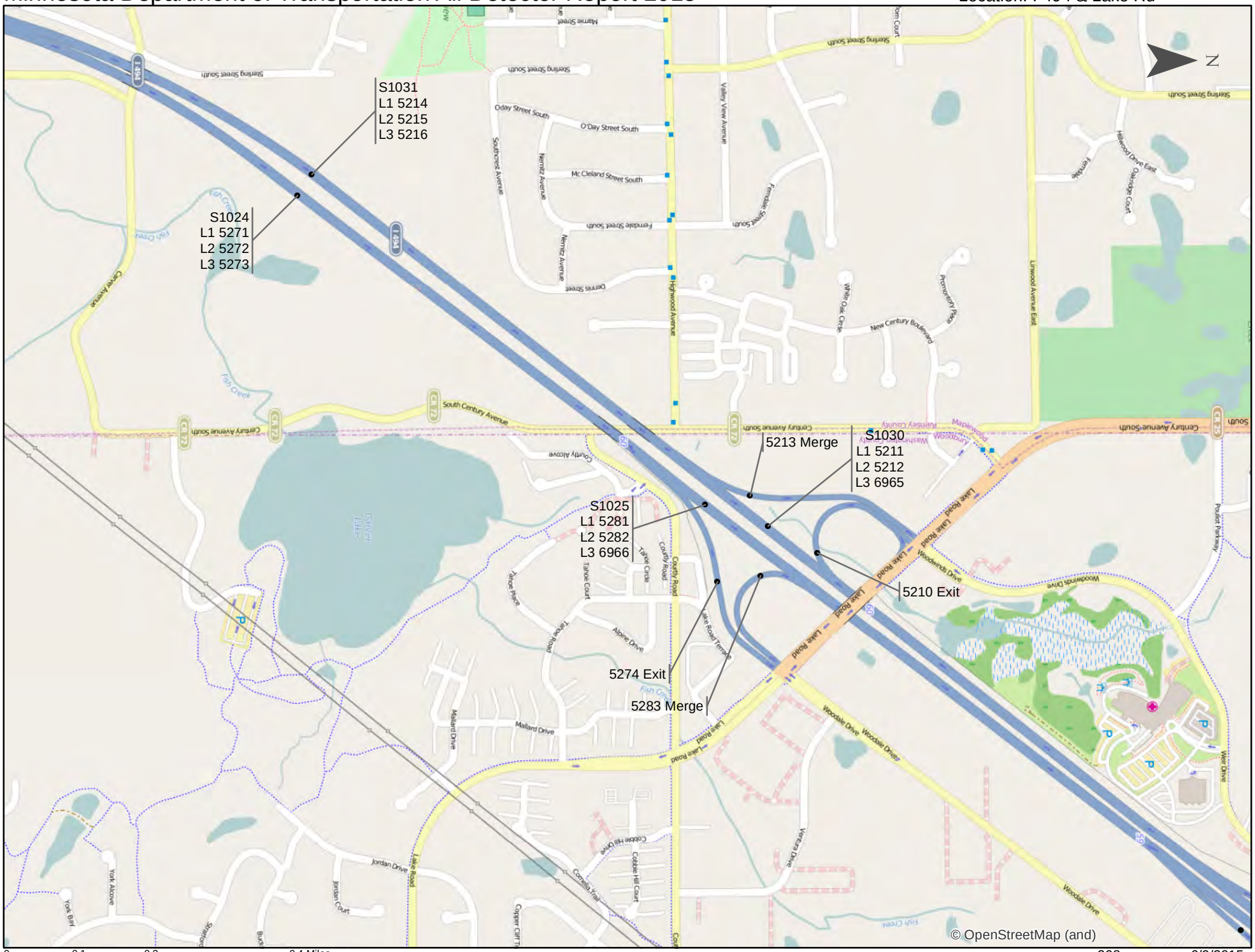

0 0.1 0.2 0.4 Miles

Location: I-494 & Tamarack Rd

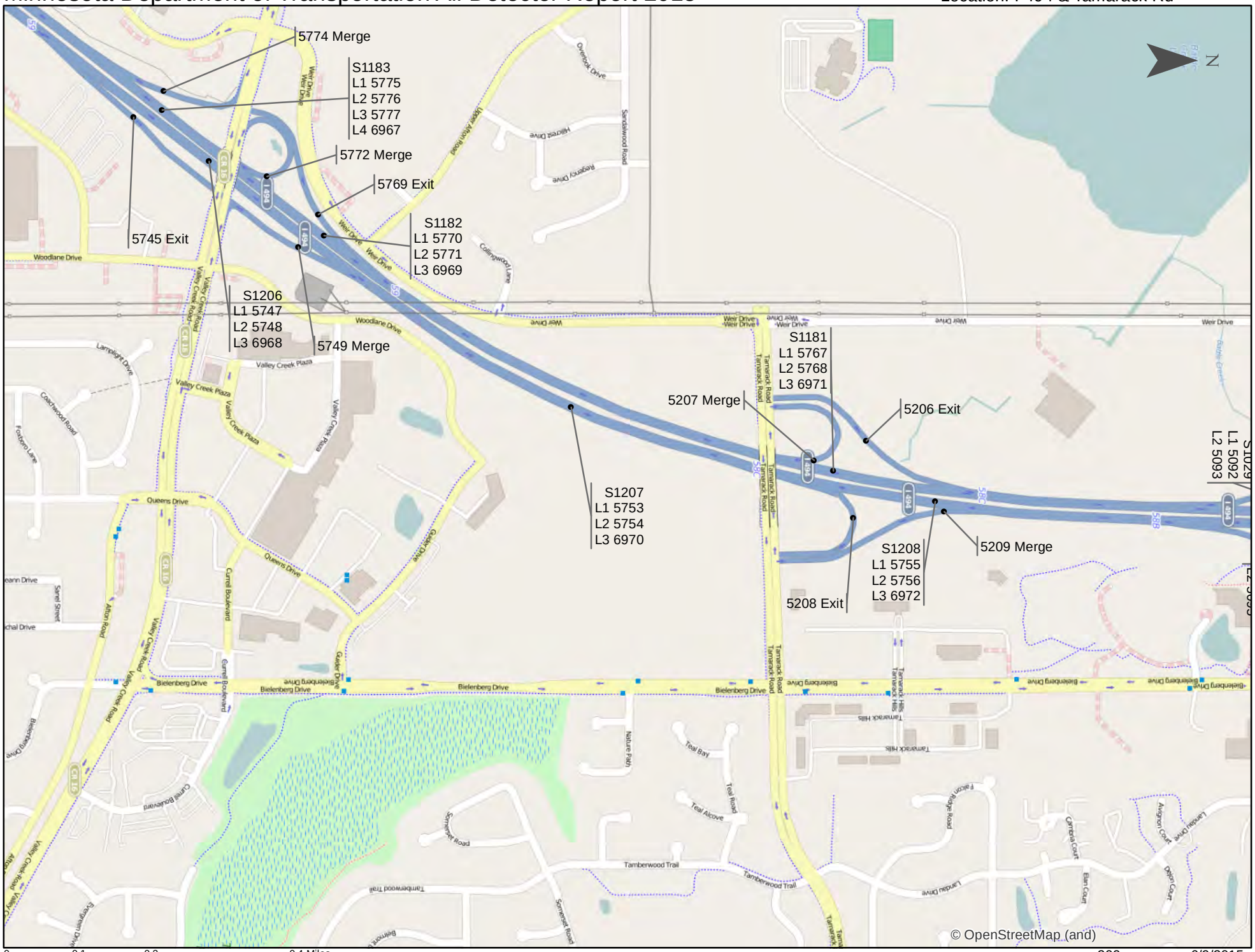

0 0.1 0.2 0.4 Miles

Location: TH 610 & Zachary Ln

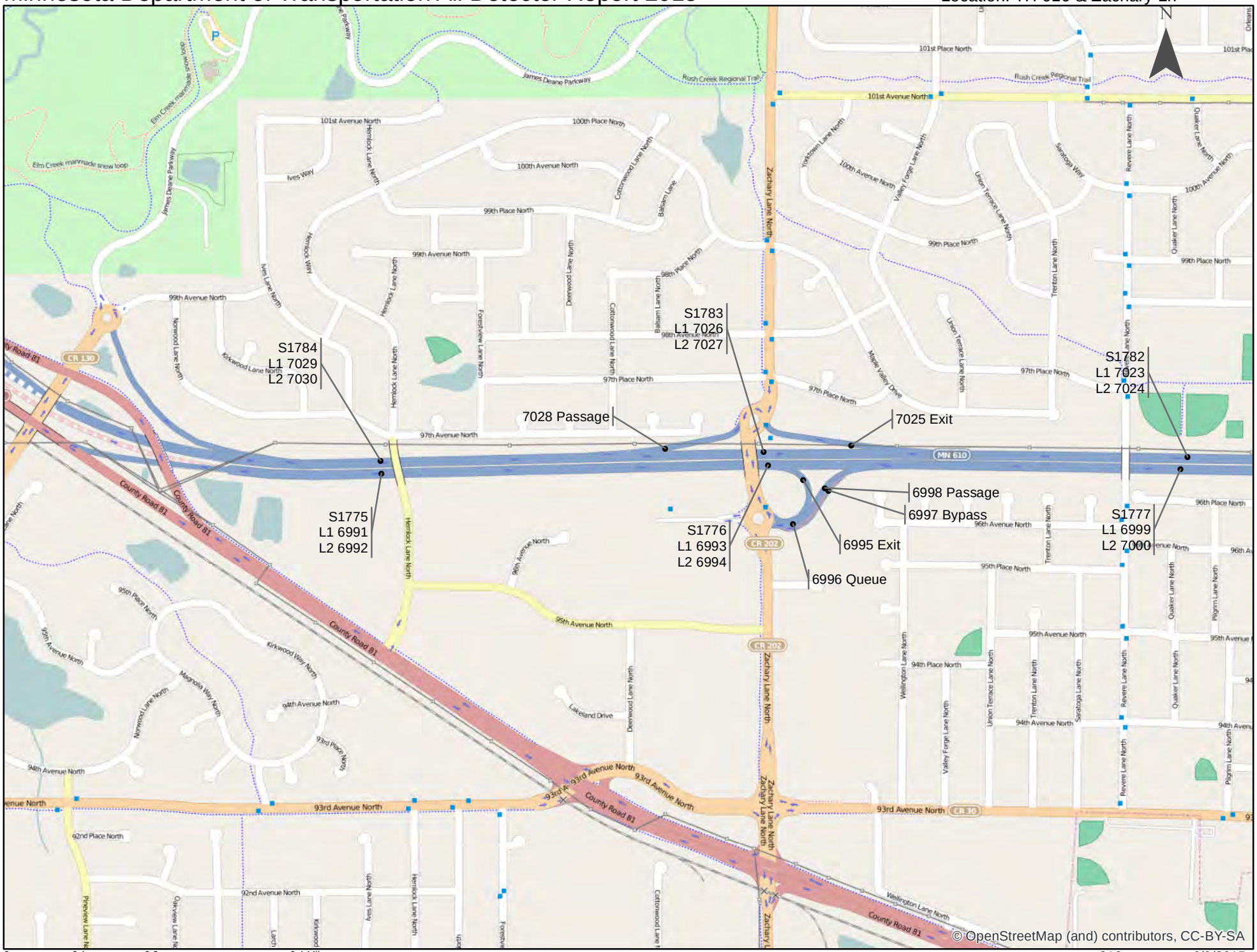

0 0.1 0.2 0.4 Miles

Location: TH 610 & US 169

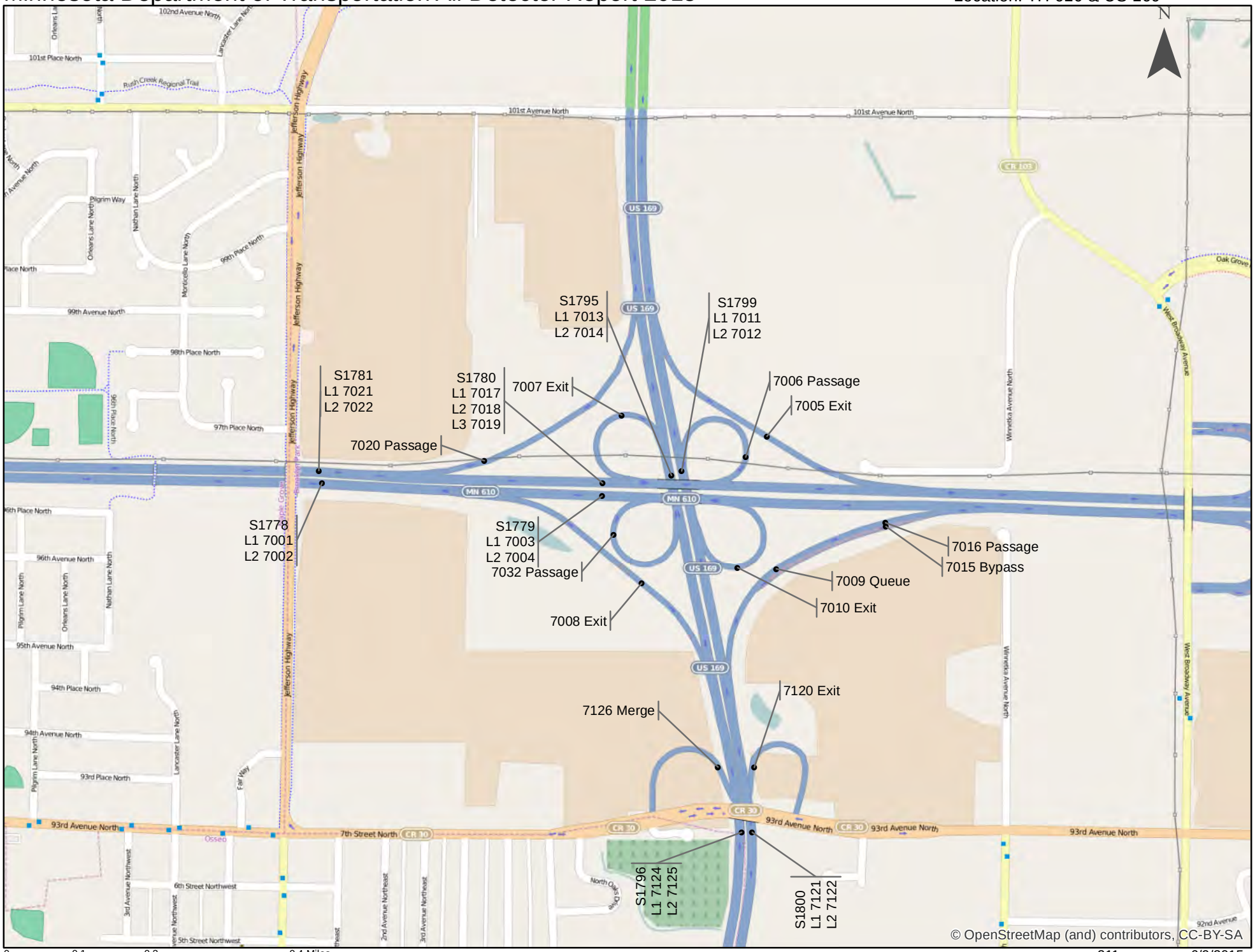

0 0.1 0.2 0.4 Miles

Location: I-694 & TH 47

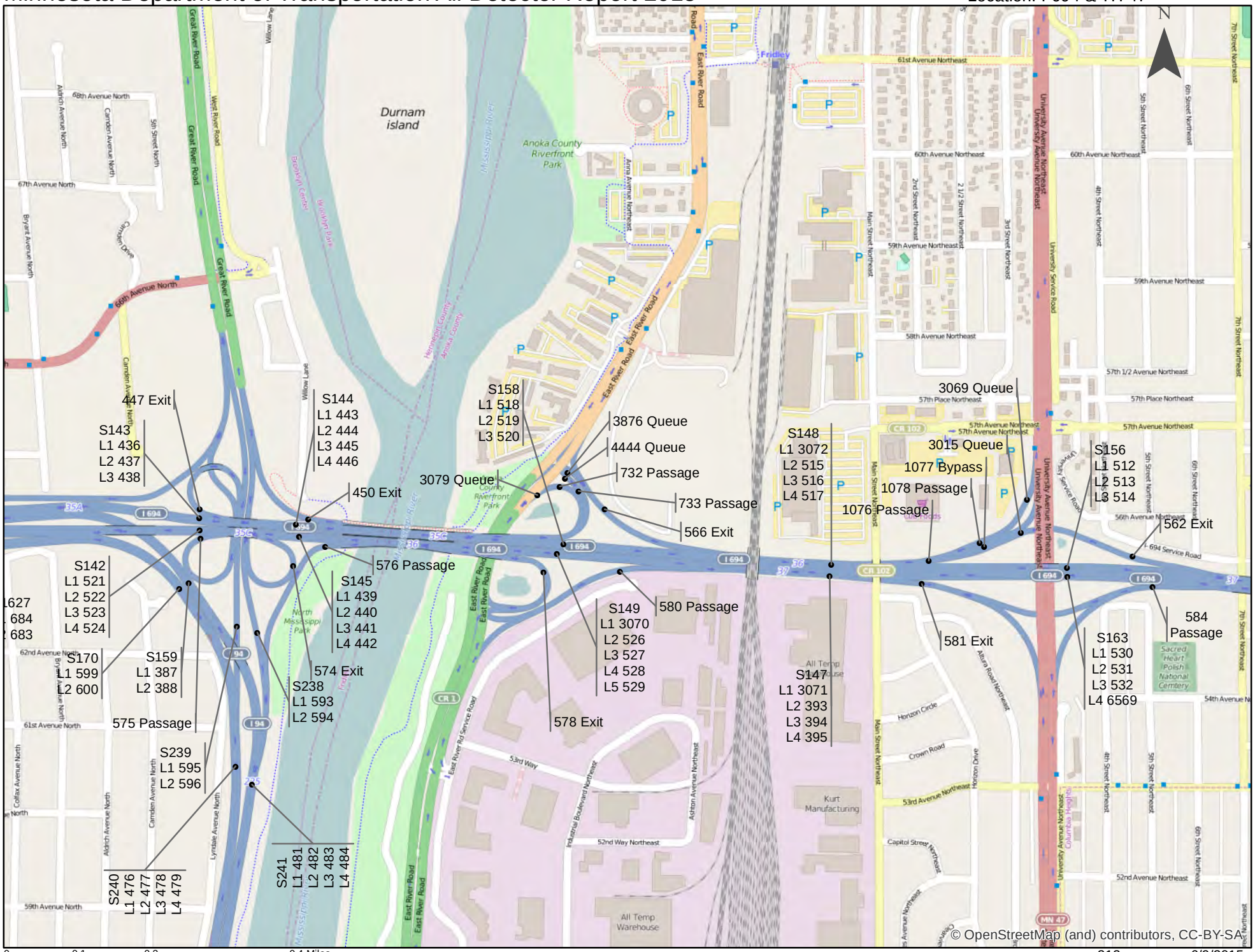

© OpenStreetMap (and) contributors, CC-BY-SA

0 0.1 0.2 0.4 Miles

Location: I-694 & TH 65

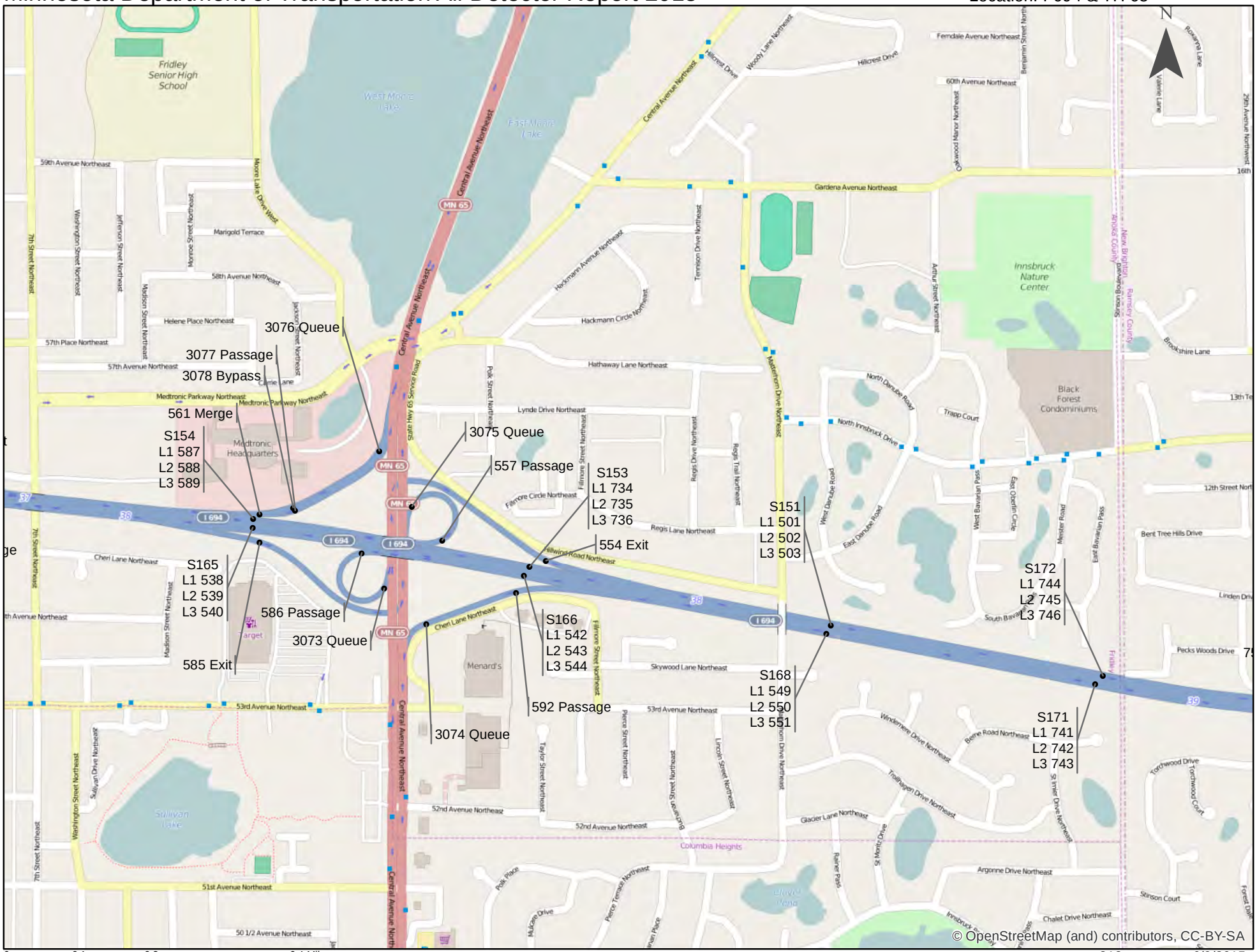

0 0.1 0.2 0.4 Miles

Minnesota Department of Transportation All Detector Report 2015

Location: I-694 & Silver Lake Rd

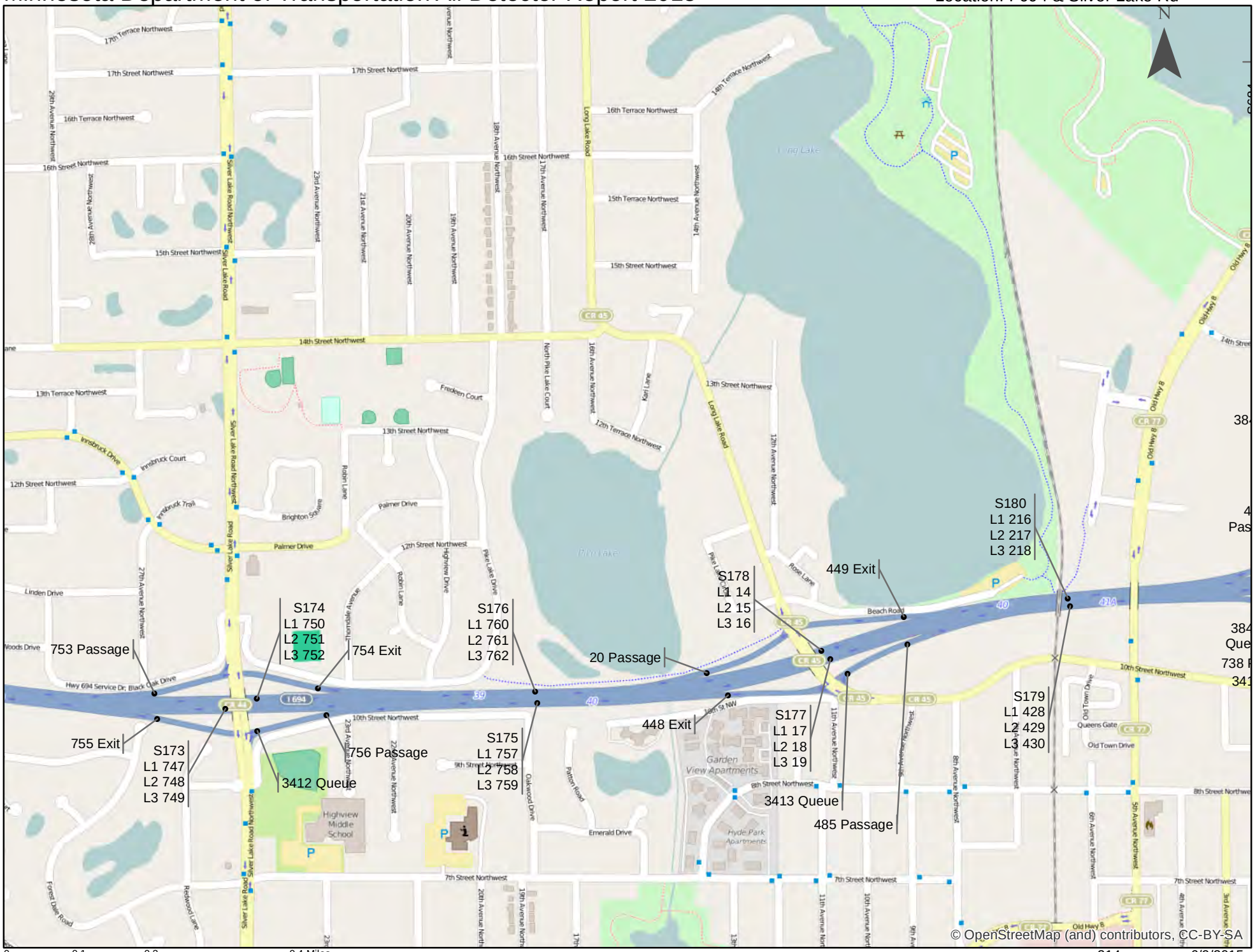

0 0.1 0.2 0.4 Miles

6/9/2015

Location: I-694 & I-35W

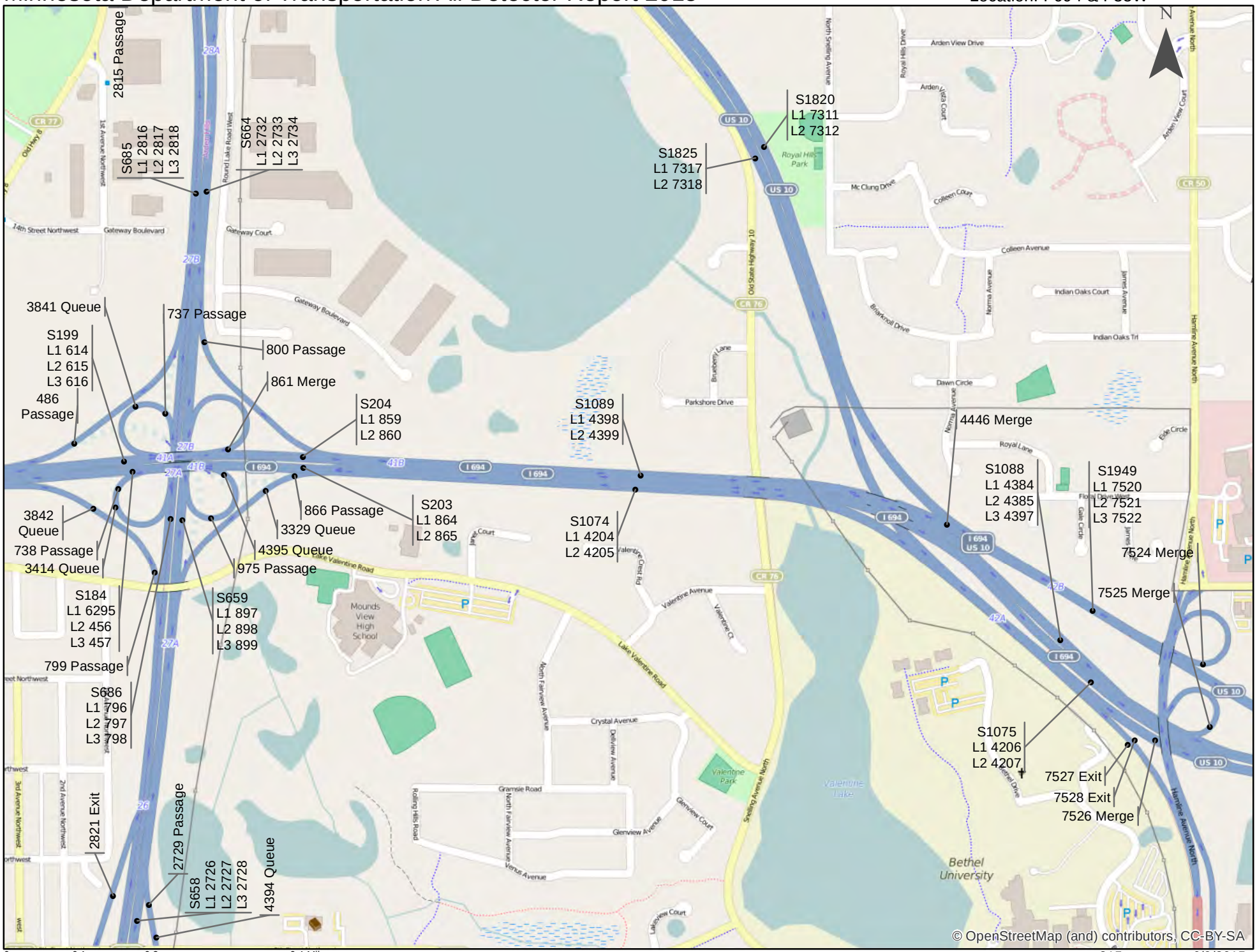

0 0.1 0.2 0.4 Miles

Location: I-694 & Victoria St

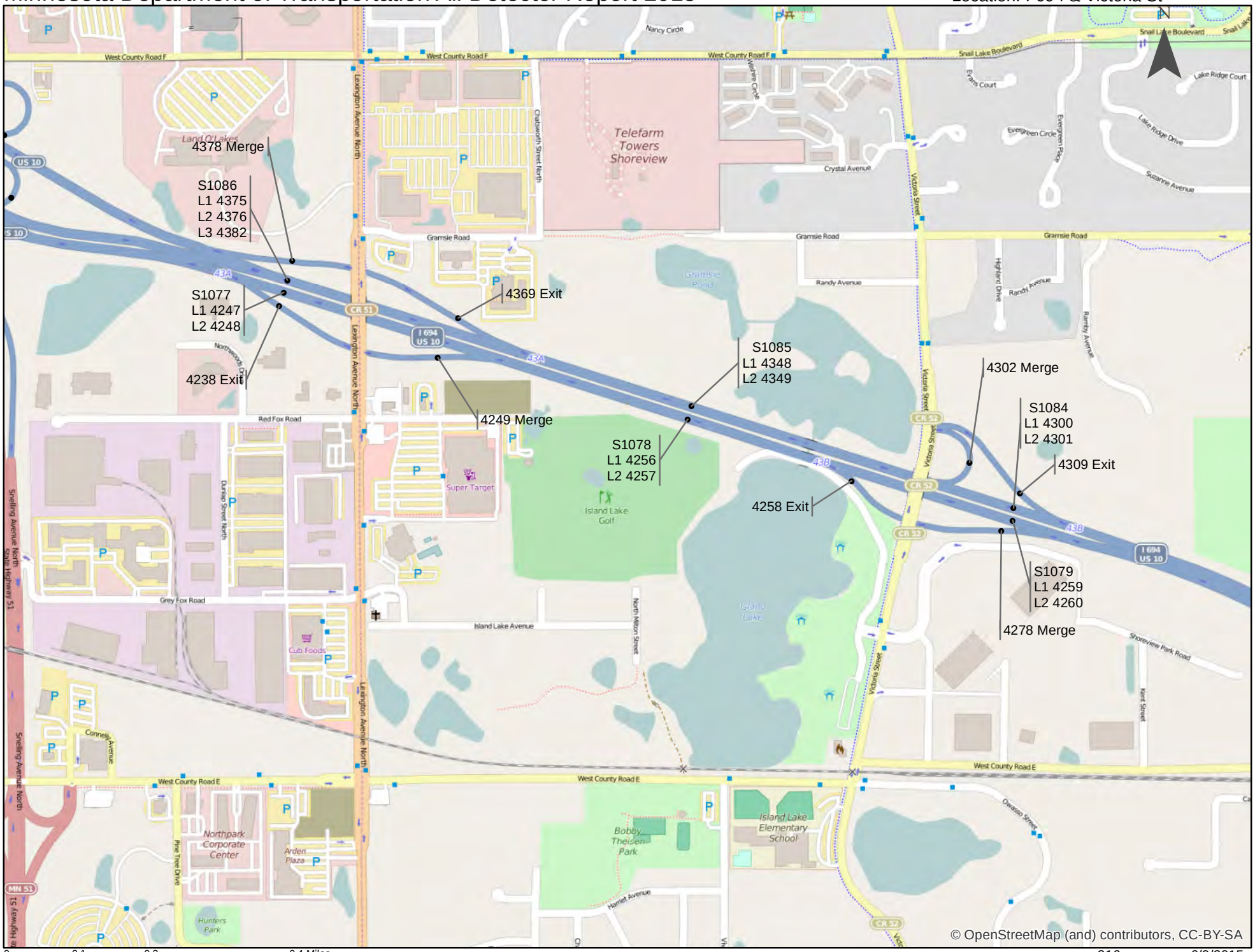

0 0.1 0.2 0.4 Miles

Location: I-694 & Rice St

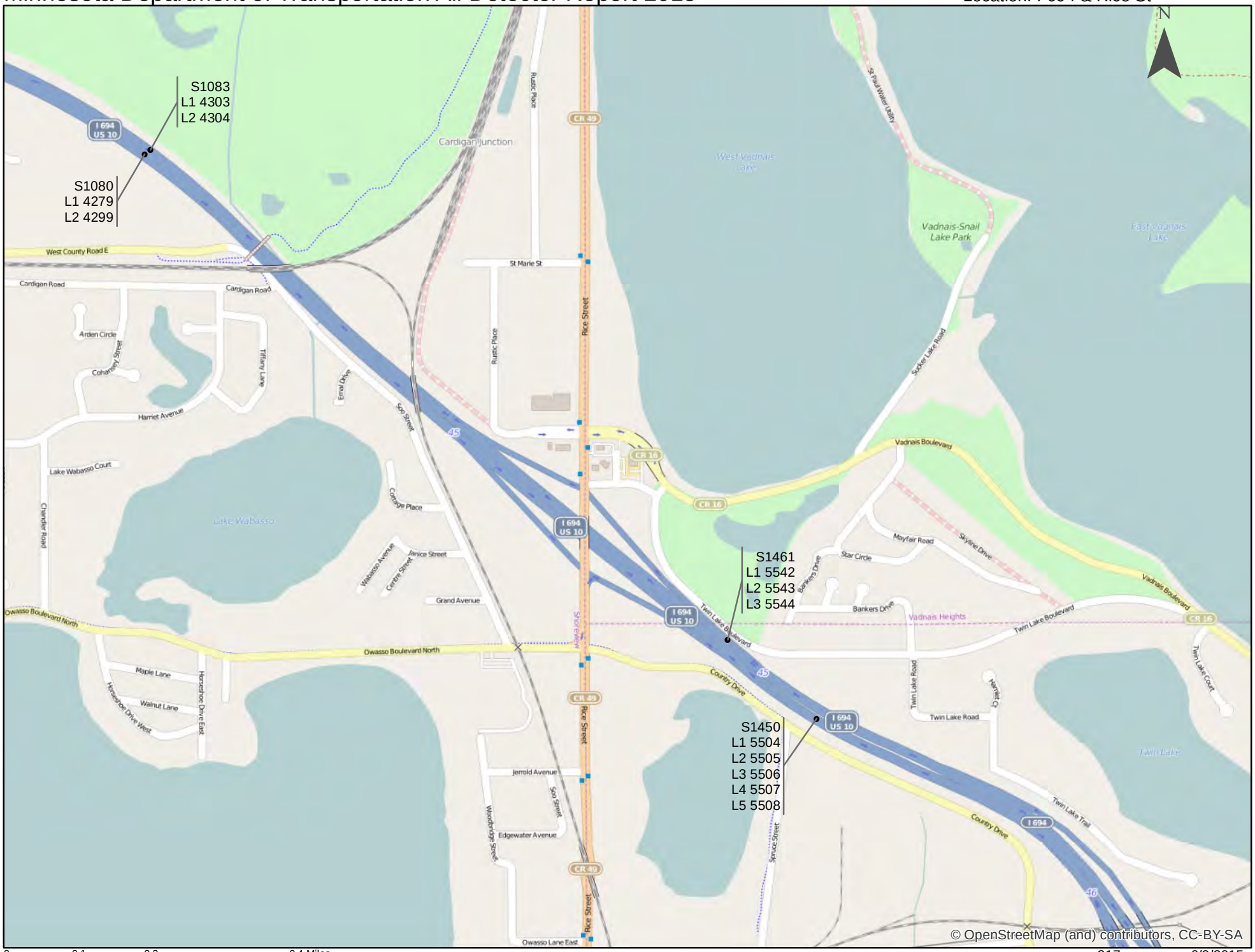

0 0.1 0.2 0.4 Miles

Location: I-694 & I-35E

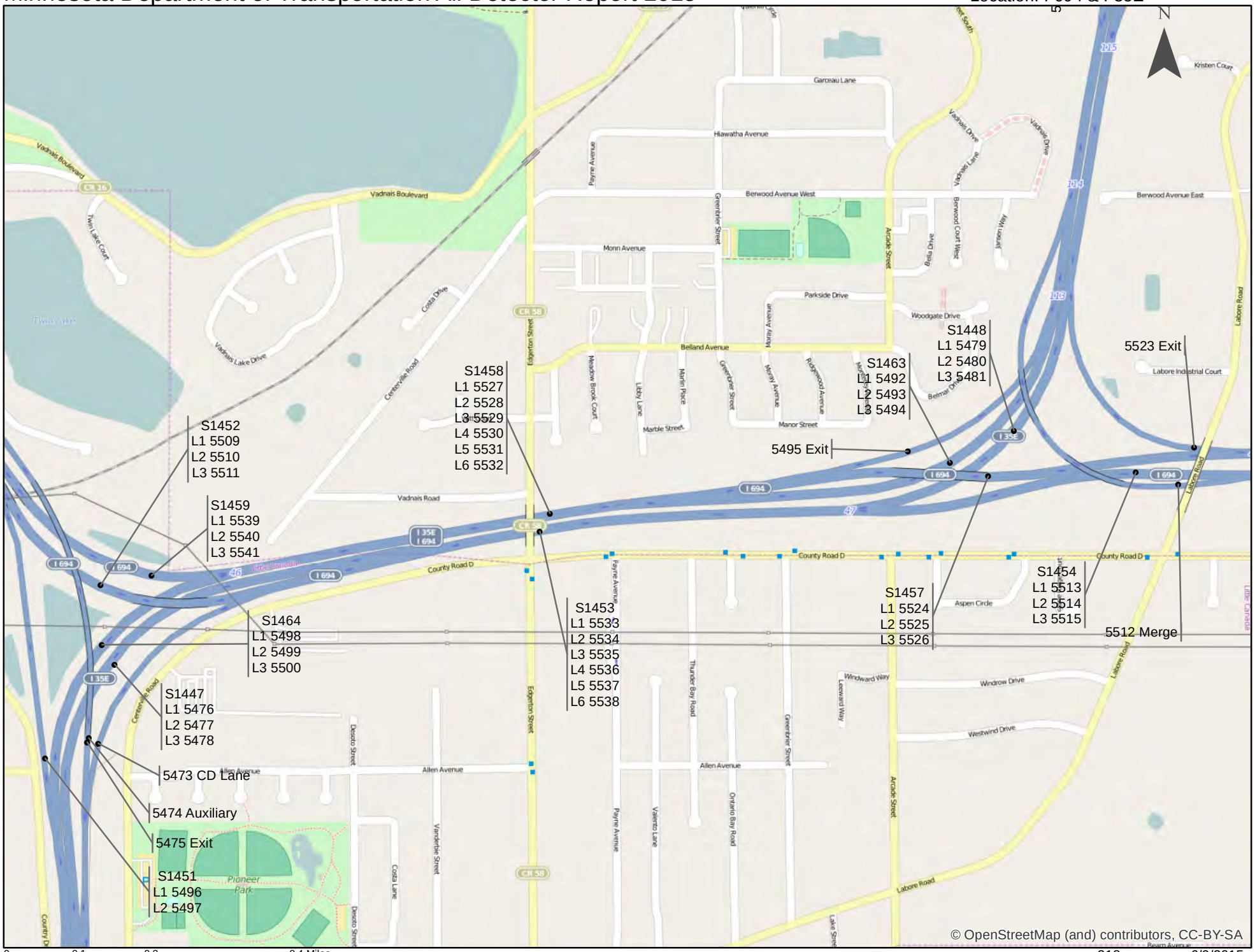

0 0.1 0.2 0.4 Miles

Location: I-694 & TH 61

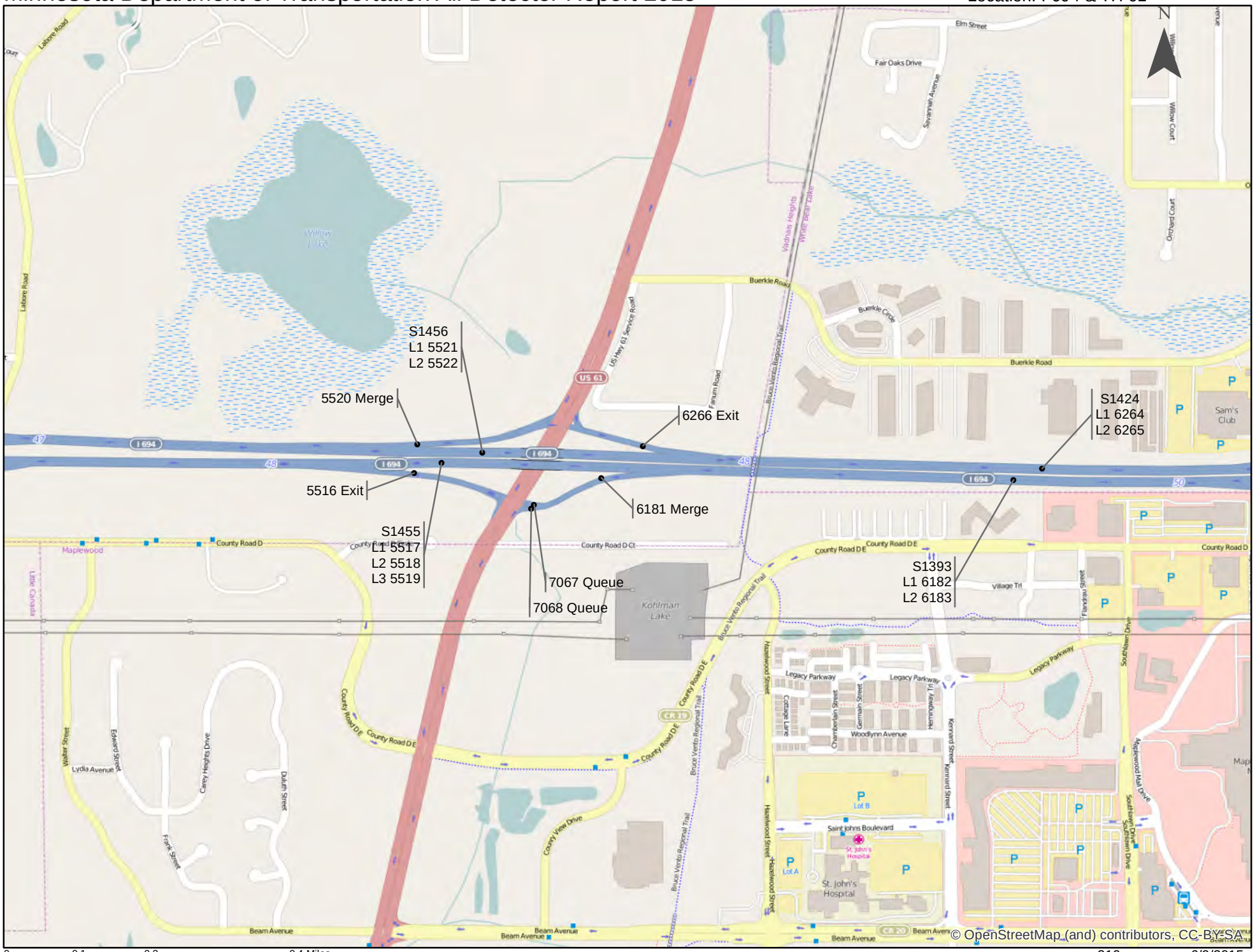

0 0.1 0.2 0.4 Miles

Location: I-694 & White Bear Ave

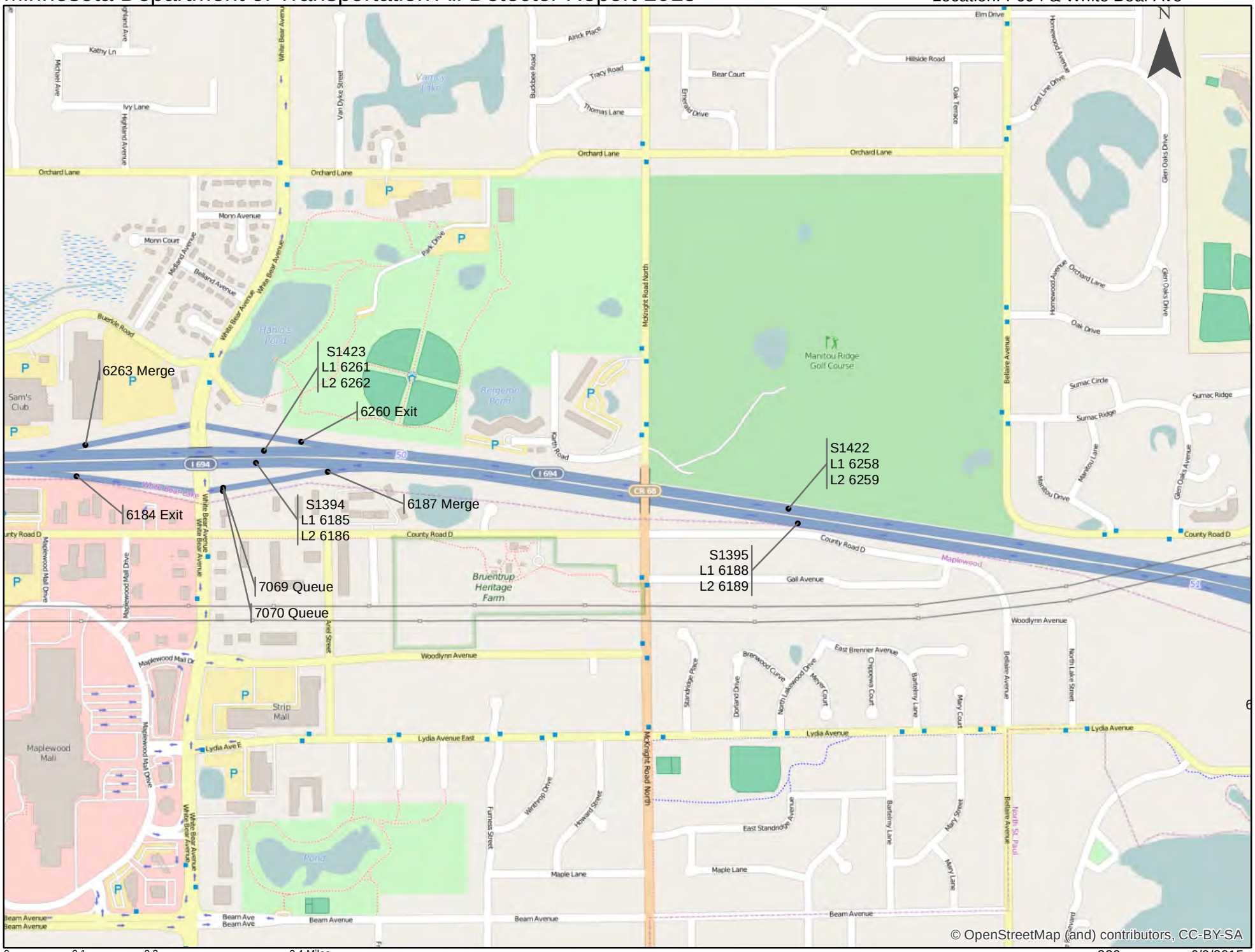

0 0.1 0.2 0.4 Miles

Location: I-694 & TH 36

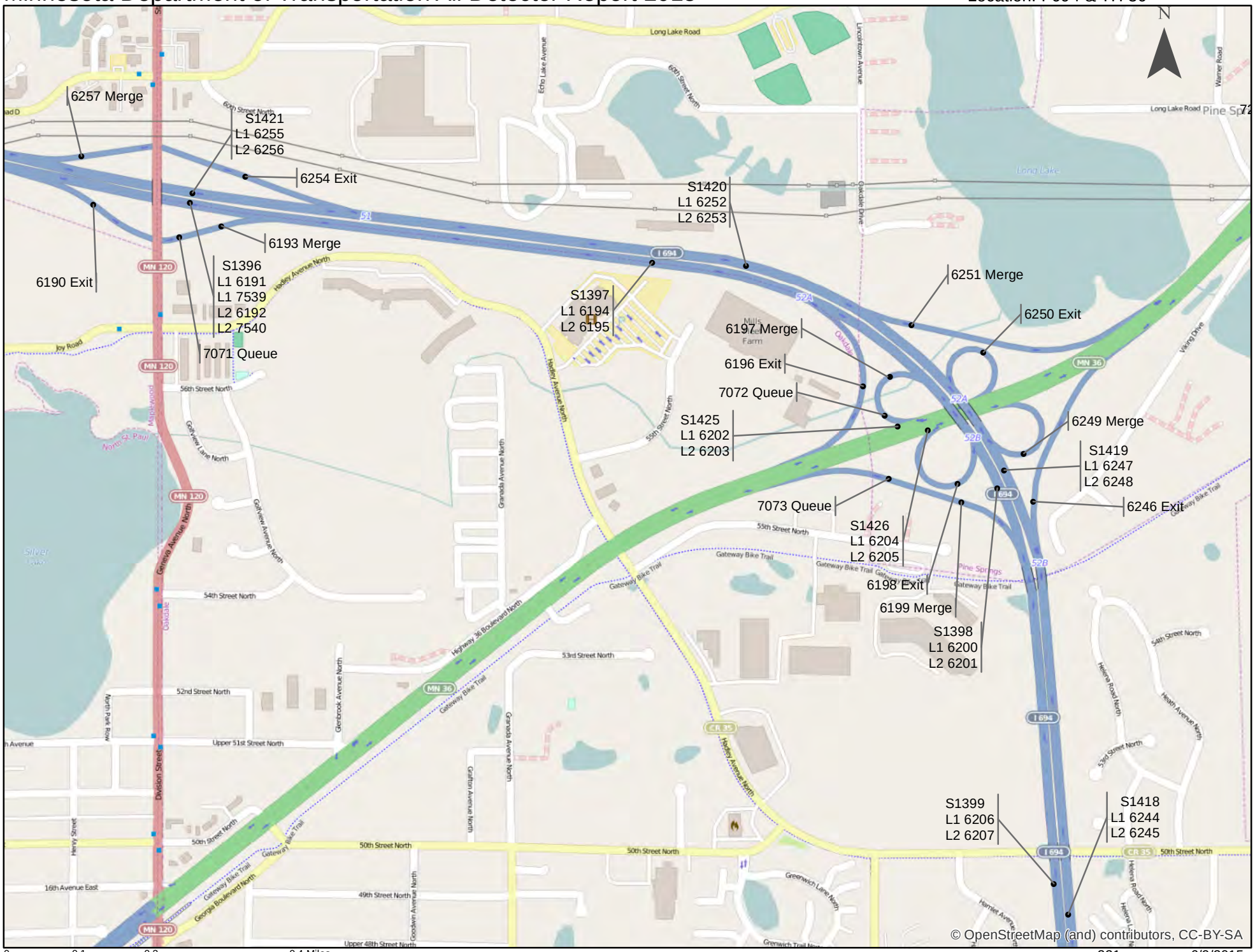

0 0.1 0.2 0.4 Miles

Location: I-694 & TH 5

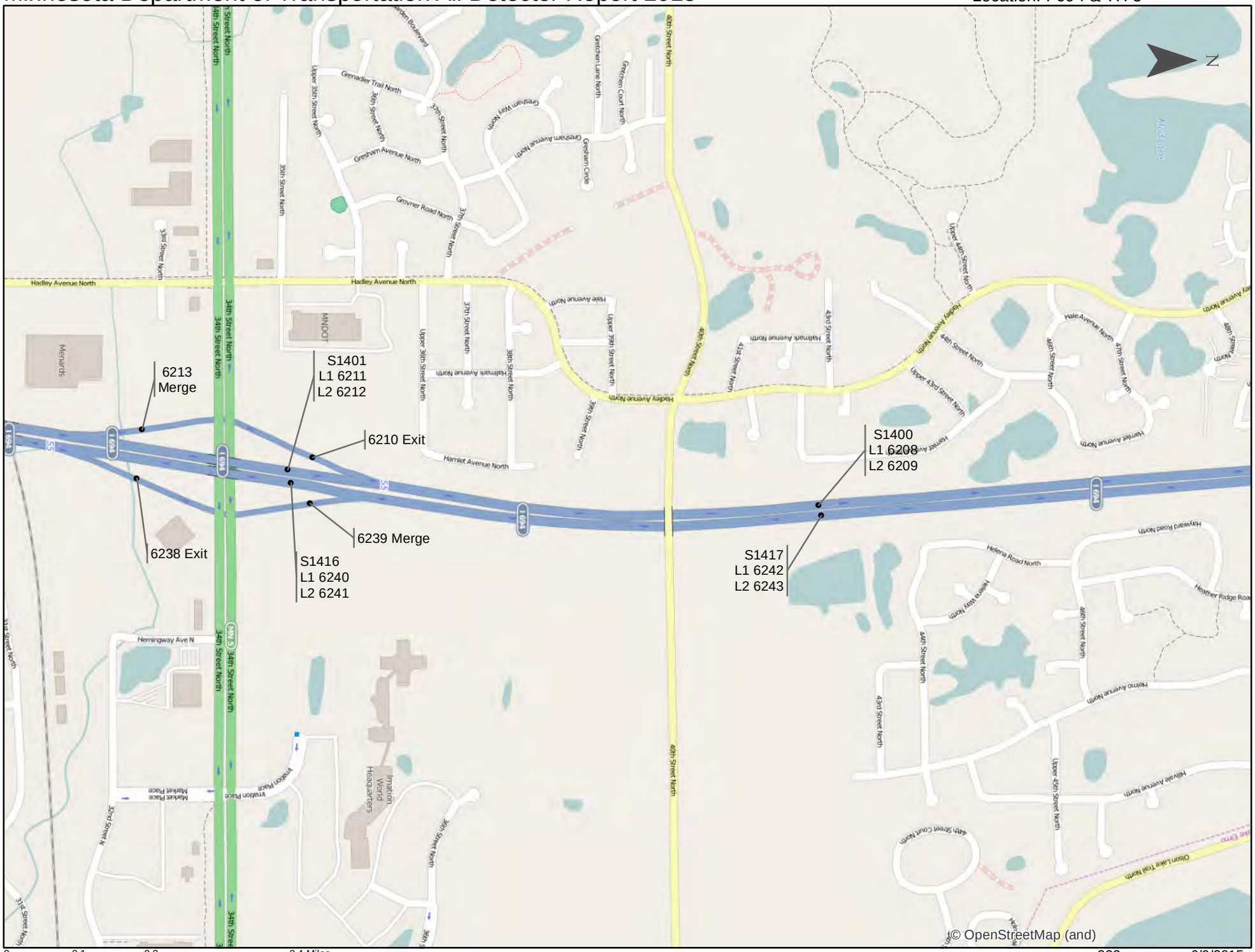

0 0.1 0.2 0.4 Miles

Location: I-694 & Stillwater Blvd

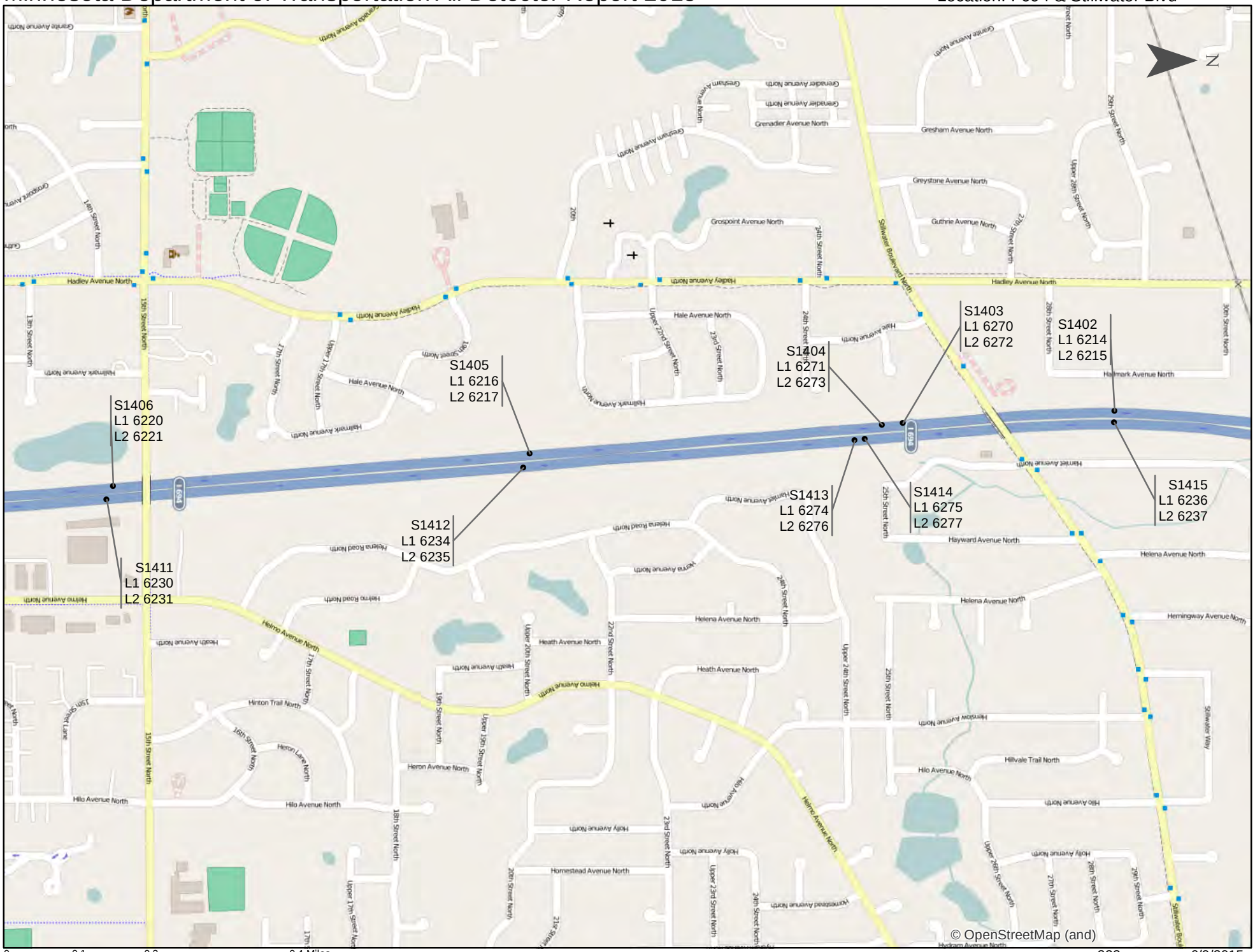

0 0.1 0.2 0.4 Miles

Minnesota Department of Transportation All Detector Report 2015

Location: I-694 & 10th St

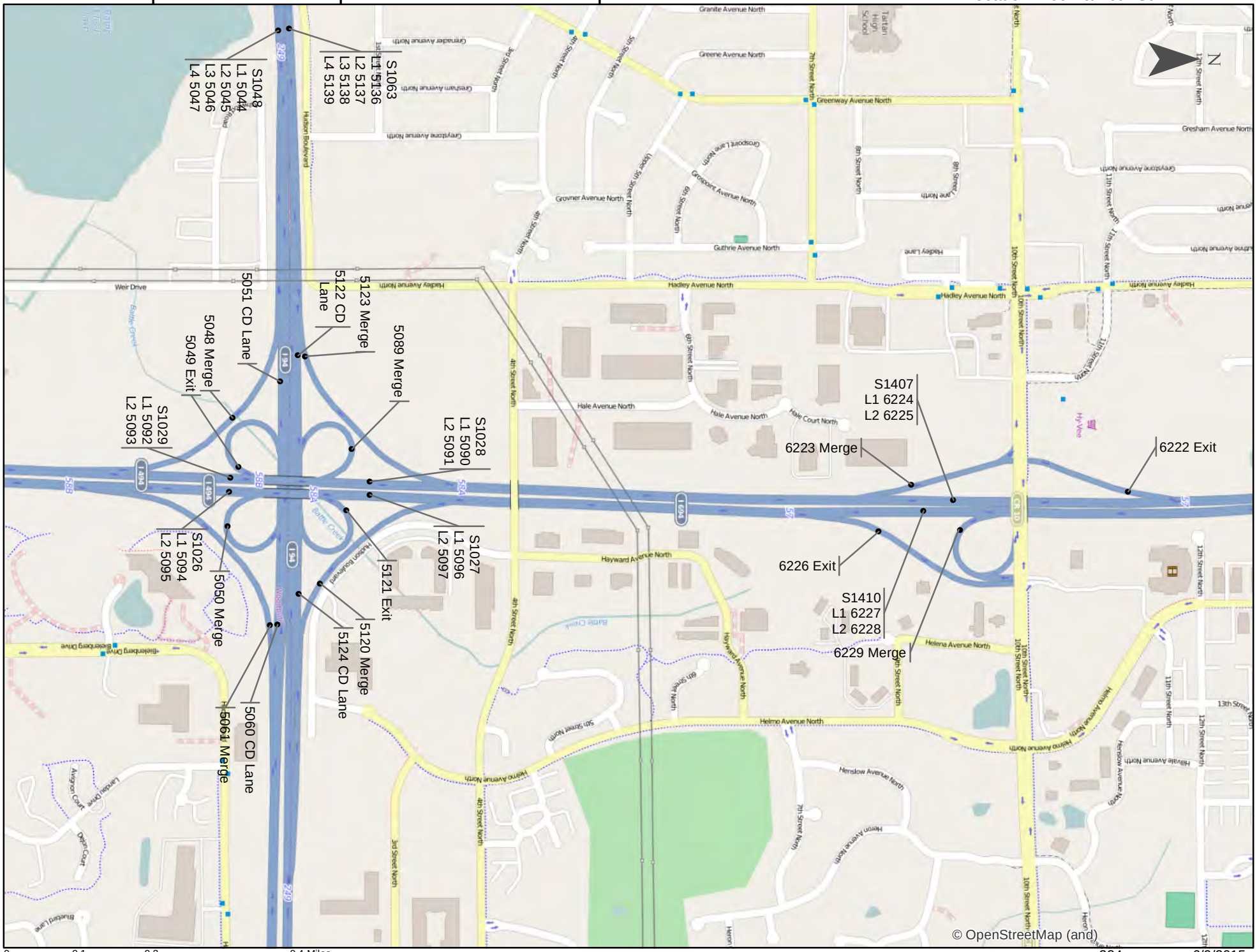

0 0.1 0.2 0.4 Miles

6/9/2015